Kansas Statewide Percent Inactive

Allen County Percent Inactive

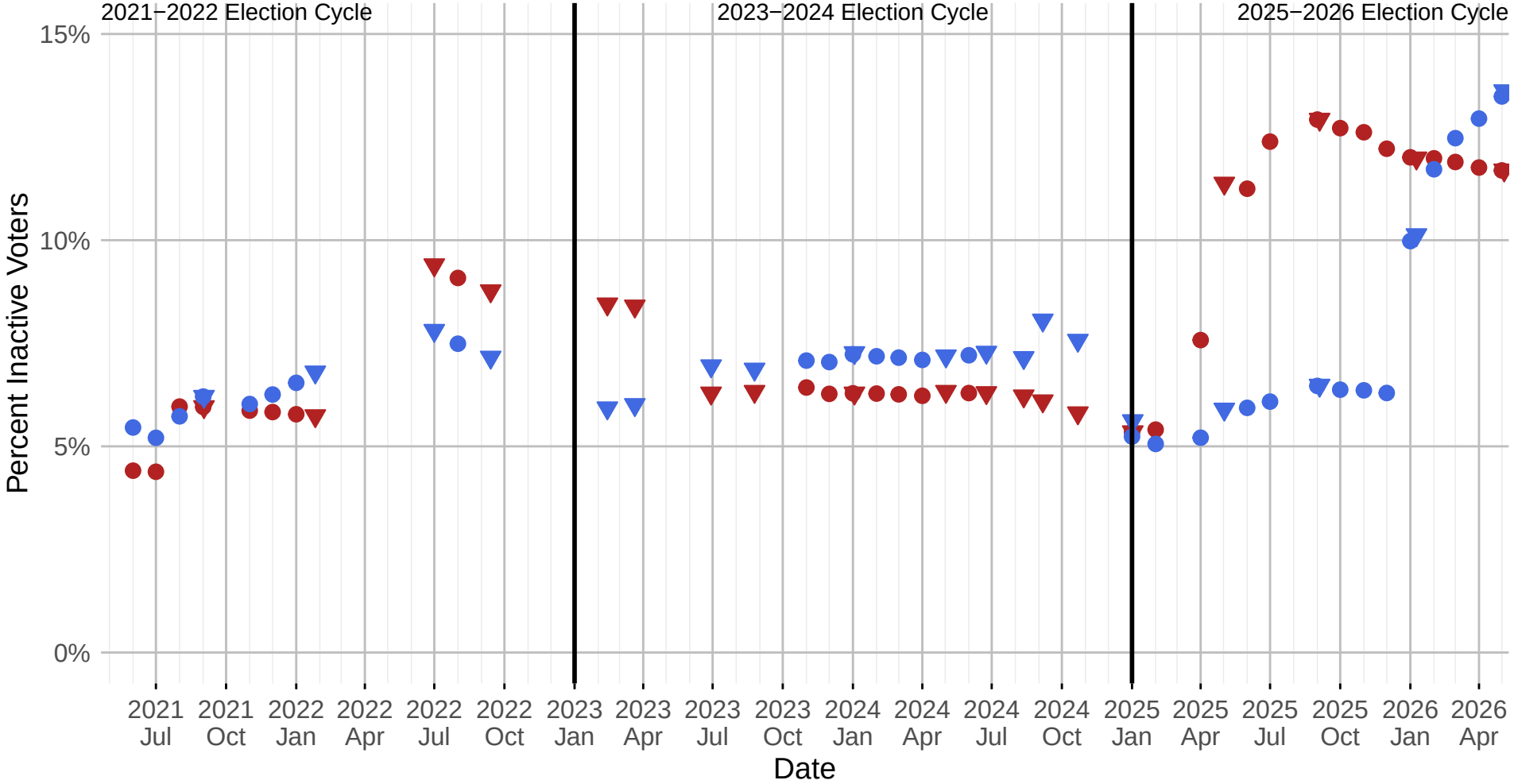

Source: Kansas Secretary of State Online Voter Registration Statistics Dashboard (circles); Voter Files (triangles)

efg 2026−05−21

Kansas Statewide Percent Inactive

Anderson County Percent Inactive

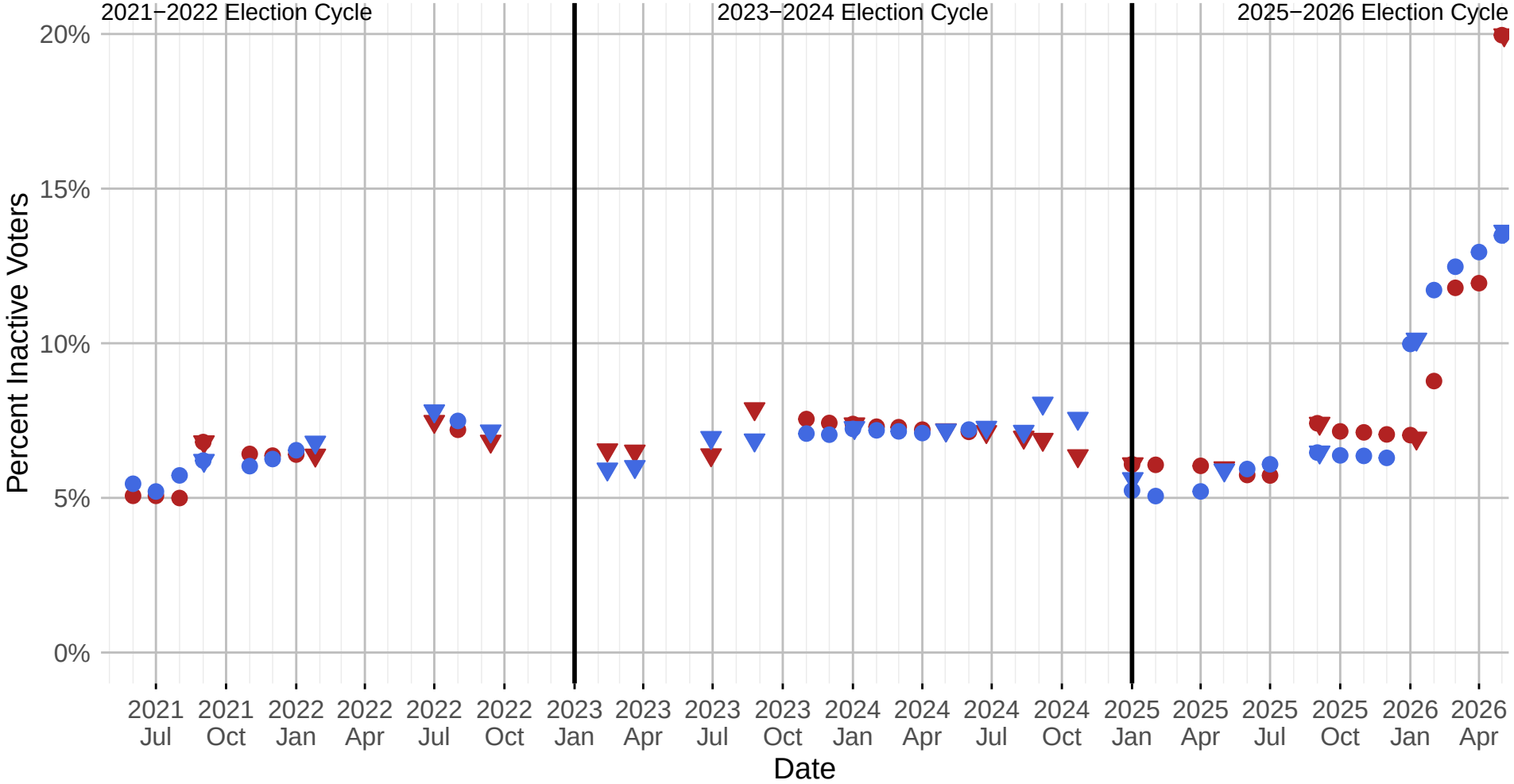

Source: Kansas Secretary of State Online Voter Registration Statistics Dashboard (circles); Voter Files (triangles)

efg 2026−05−21

Kansas Statewide Percent Inactive

Atchison County Percent Inactive

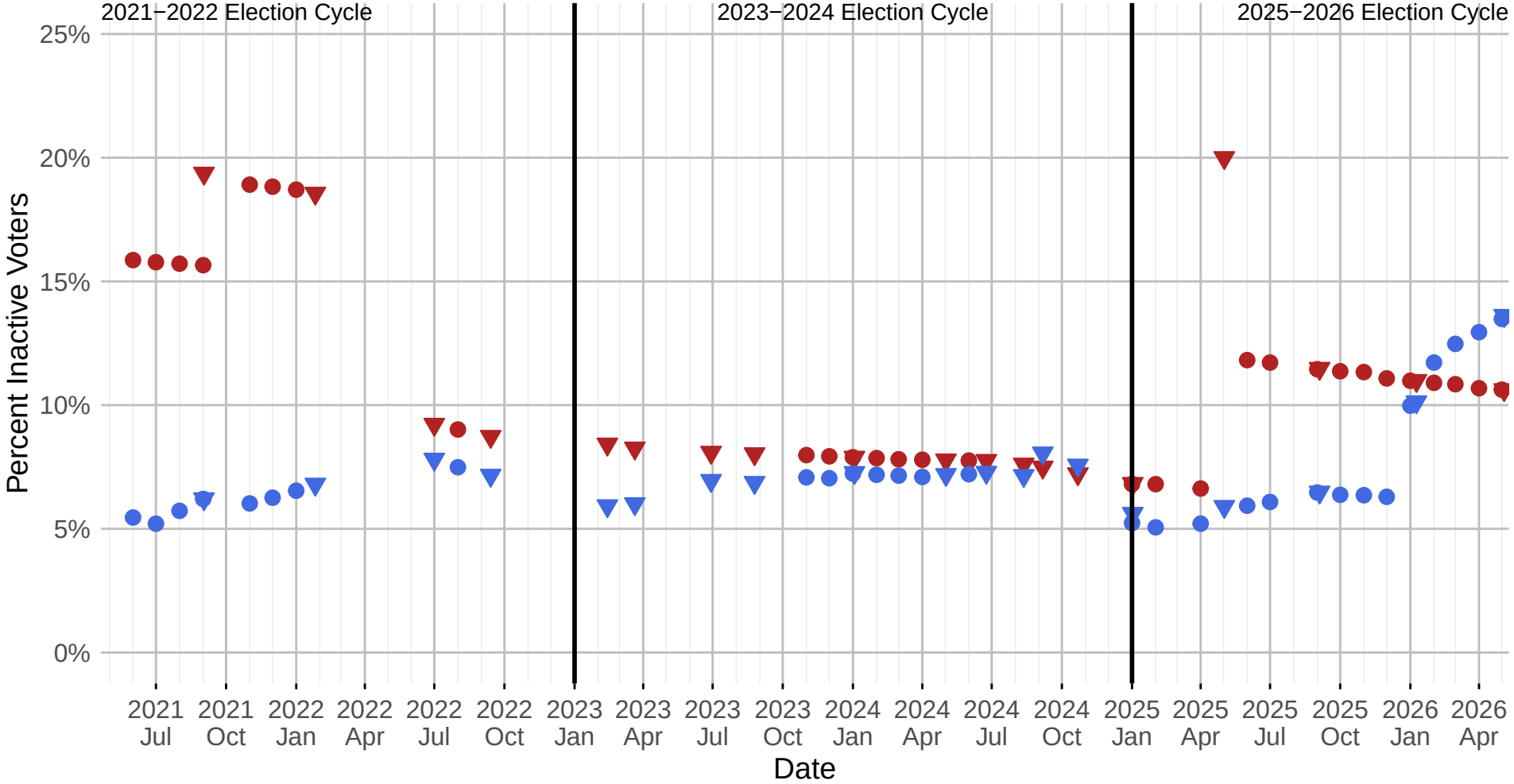

Source: Kansas Secretary of State Online Voter Registration Statistics Dashboard (circles); Voter Files (triangles)

efg 2026−05−21

Kansas Statewide Percent Inactive

Barber County Percent Inactive

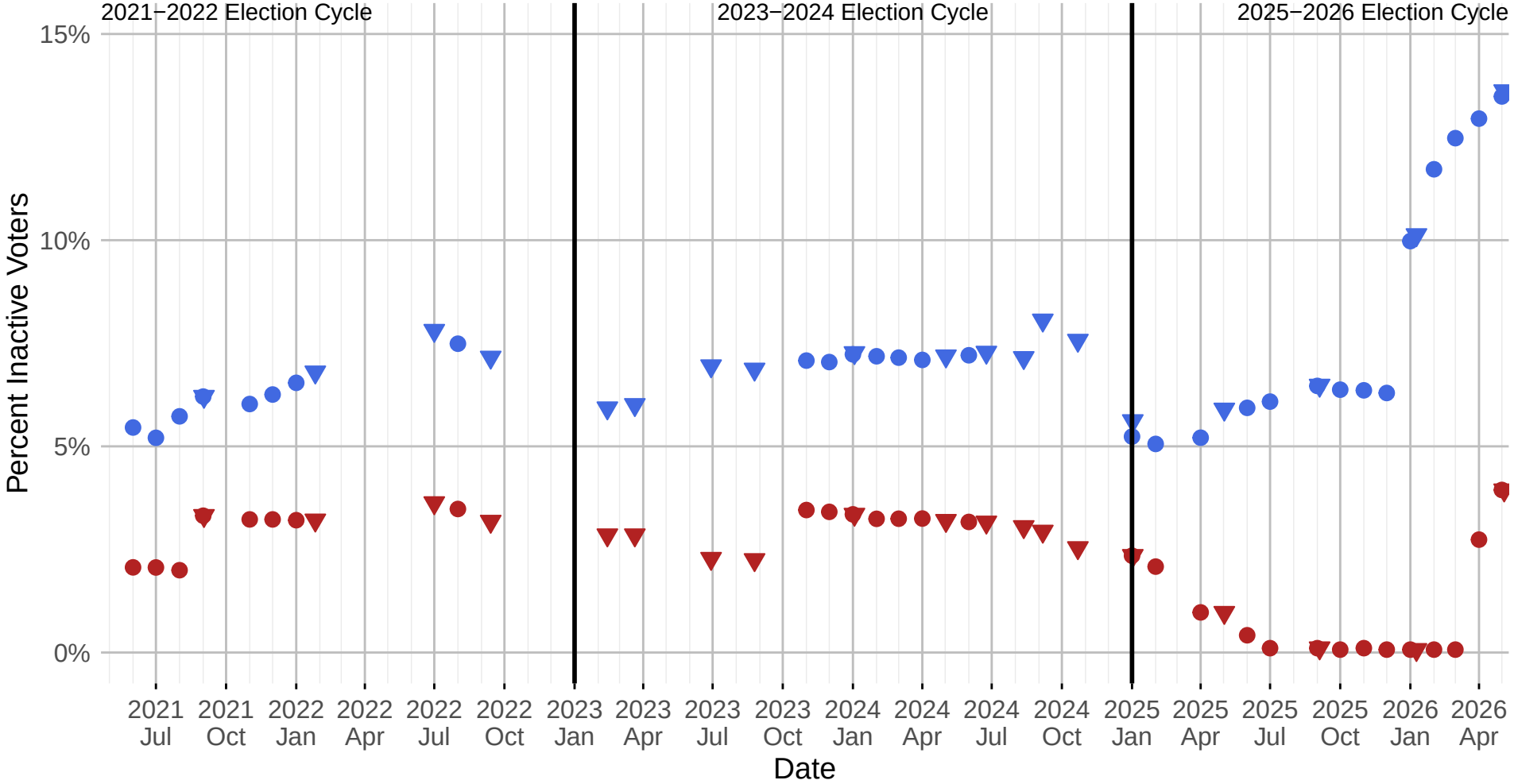

Source: Kansas Secretary of State Online Voter Registration Statistics Dashboard (circles); Voter Files (triangles)

efg 2026−05−21

Kansas Statewide Percent Inactive

Barton County Percent Inactive

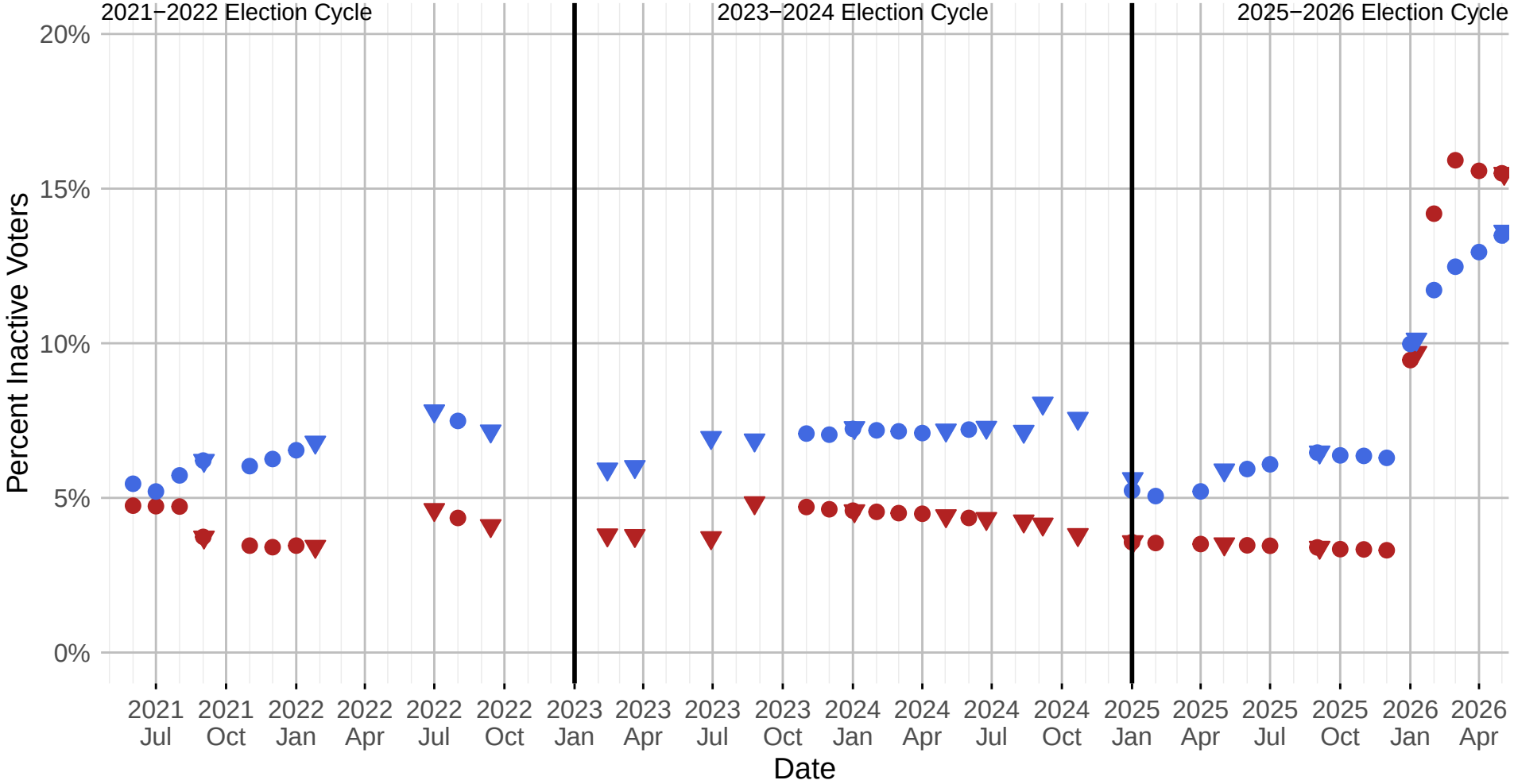

Source: Kansas Secretary of State Online Voter Registration Statistics Dashboard (circles); Voter Files (triangles)

efg 2026−05−21

Kansas Statewide Percent Inactive

Bourbon County Percent Inactive

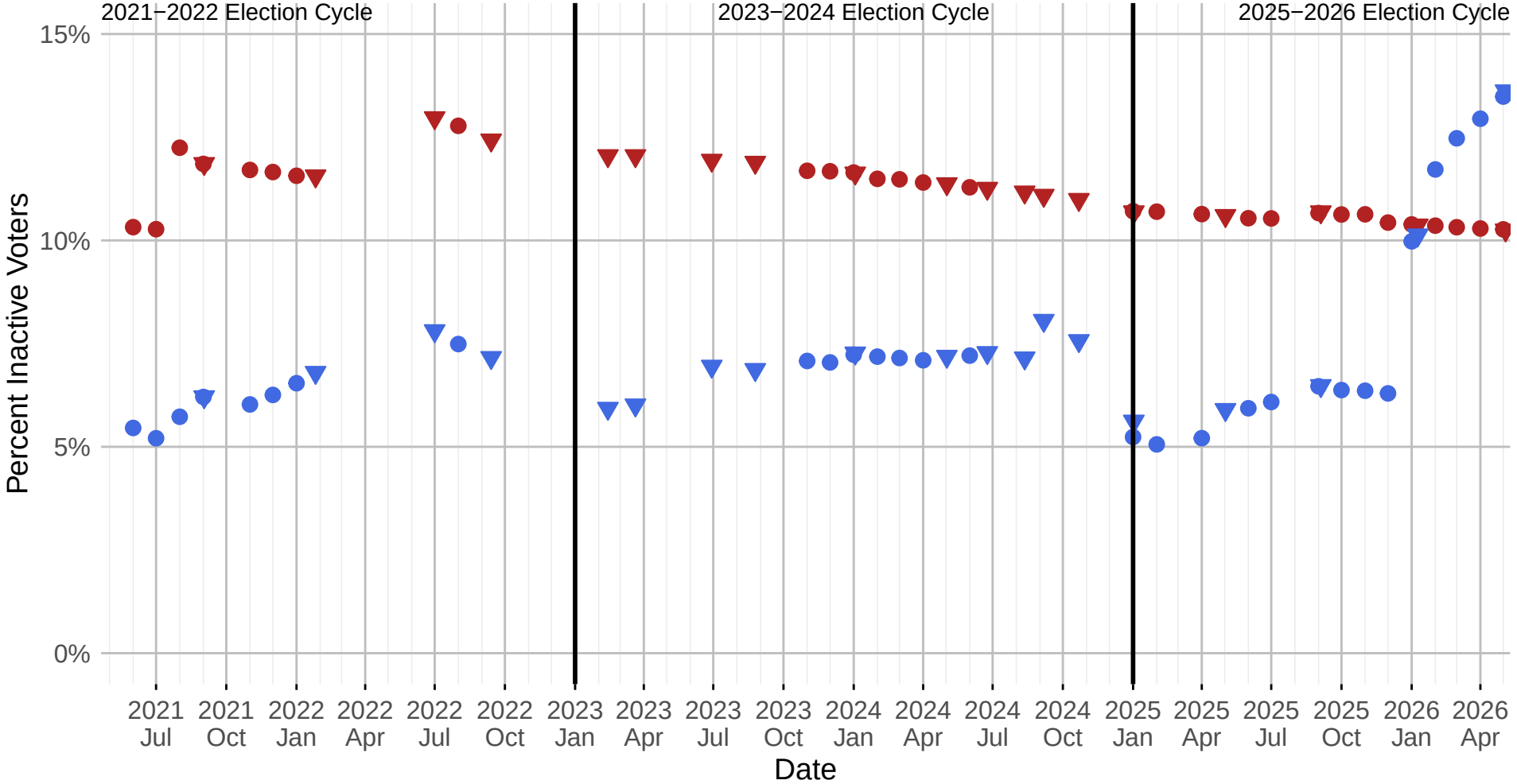

Source: Kansas Secretary of State Online Voter Registration Statistics Dashboard (circles); Voter Files (triangles)

efg 2026−05−21

Kansas Statewide Percent Inactive

Brown County Percent Inactive

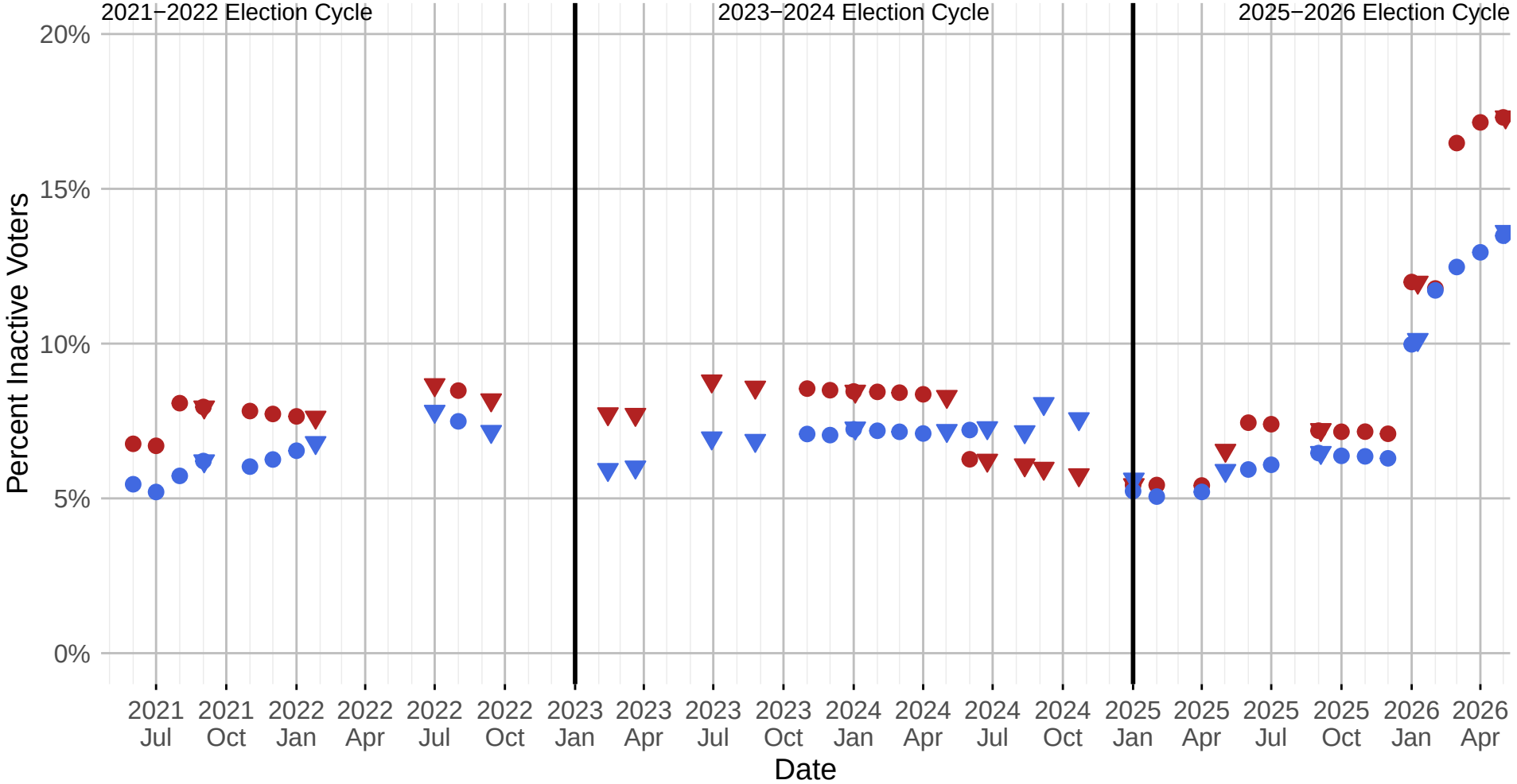

Source: Kansas Secretary of State Online Voter Registration Statistics Dashboard (circles); Voter Files (triangles)

efg 2026−05−21

Kansas Statewide Percent Inactive

Butler County Percent Inactive

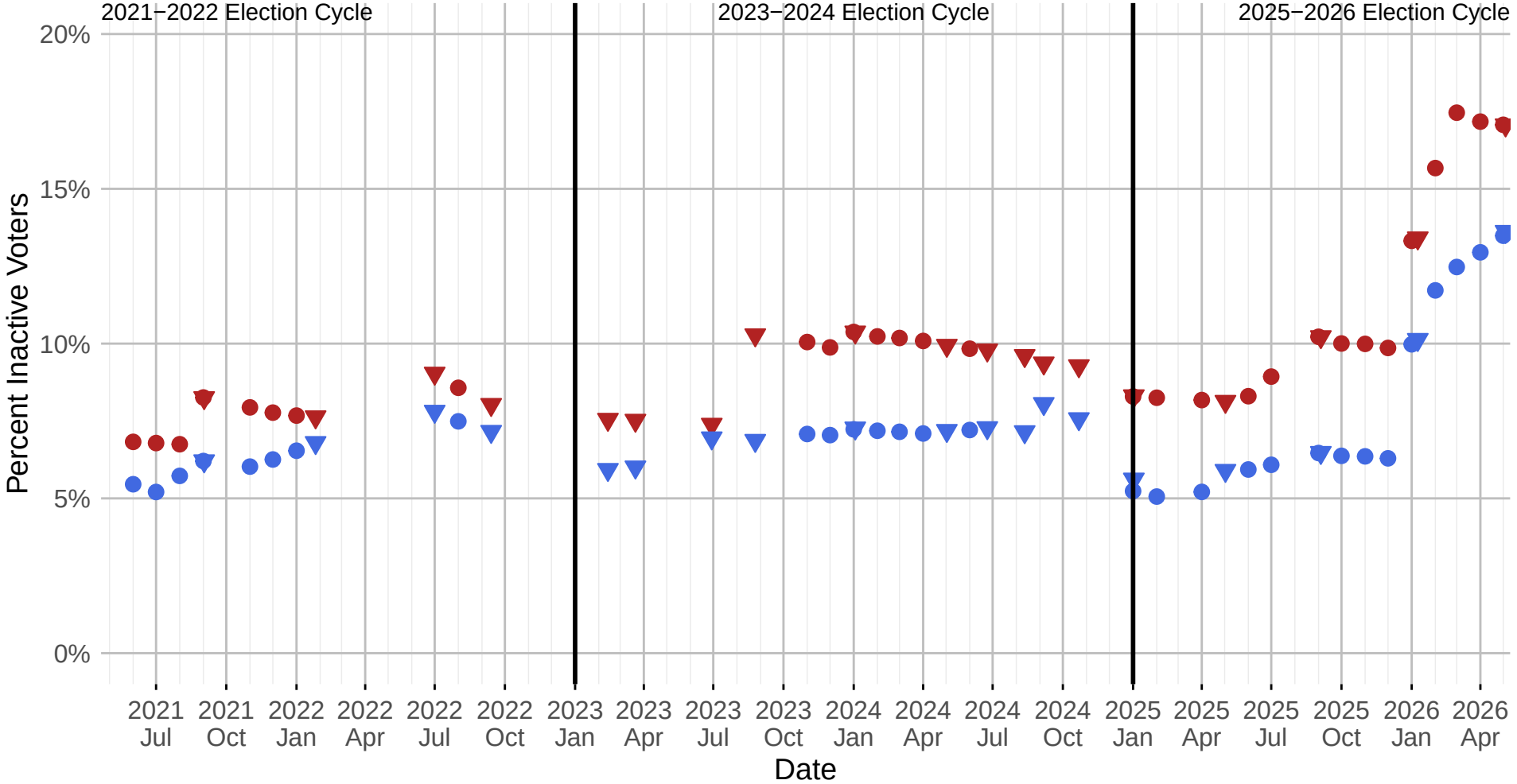

Source: Kansas Secretary of State Online Voter Registration Statistics Dashboard (circles); Voter Files (triangles)

efg 2026−05−21

Kansas Statewide Percent Inactive

Chase County Percent Inactive

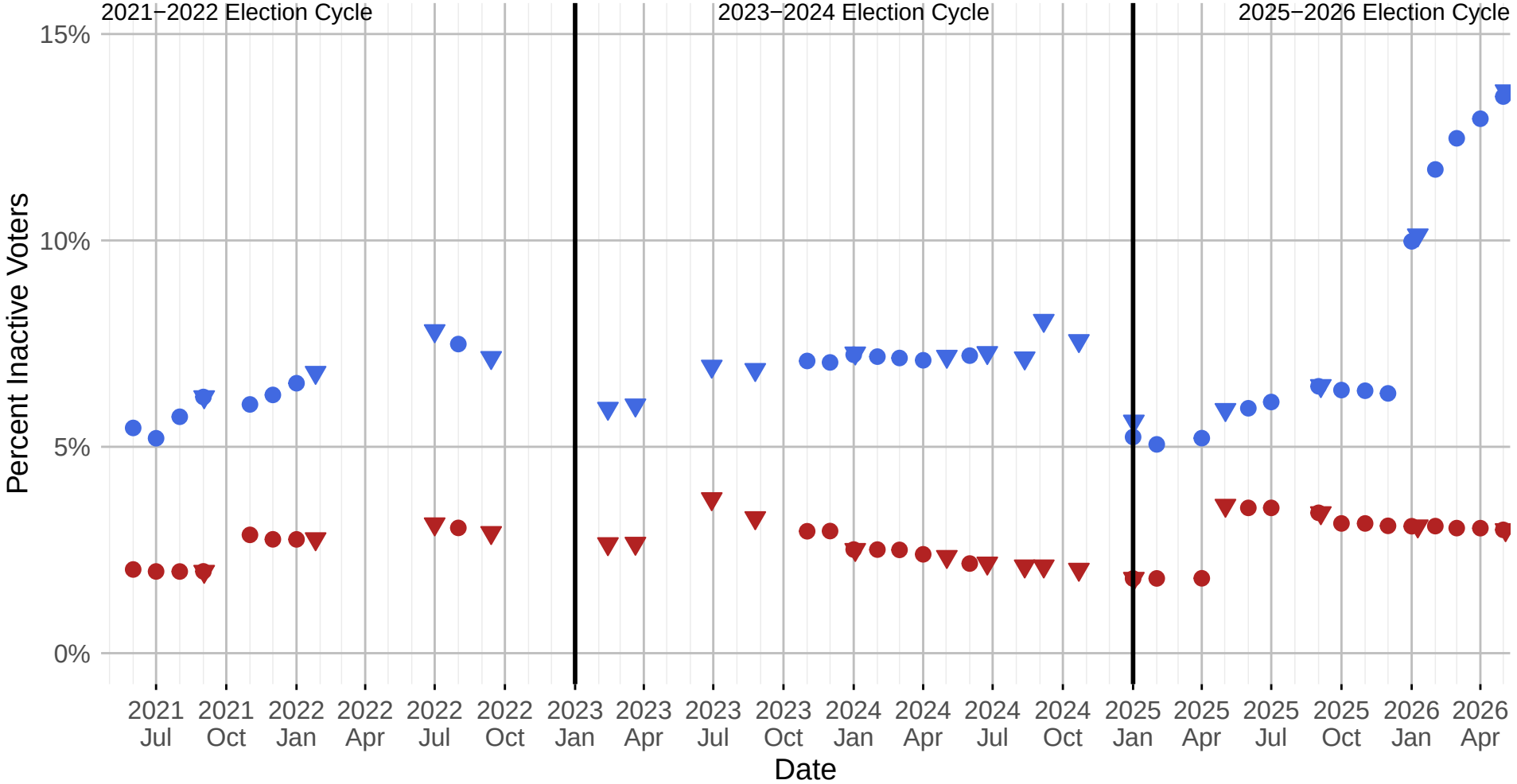

Source: Kansas Secretary of State Online Voter Registration Statistics Dashboard (circles); Voter Files (triangles)

efg 2026−05−21

Kansas Statewide Percent Inactive

Chautauqua County Percent Inactive

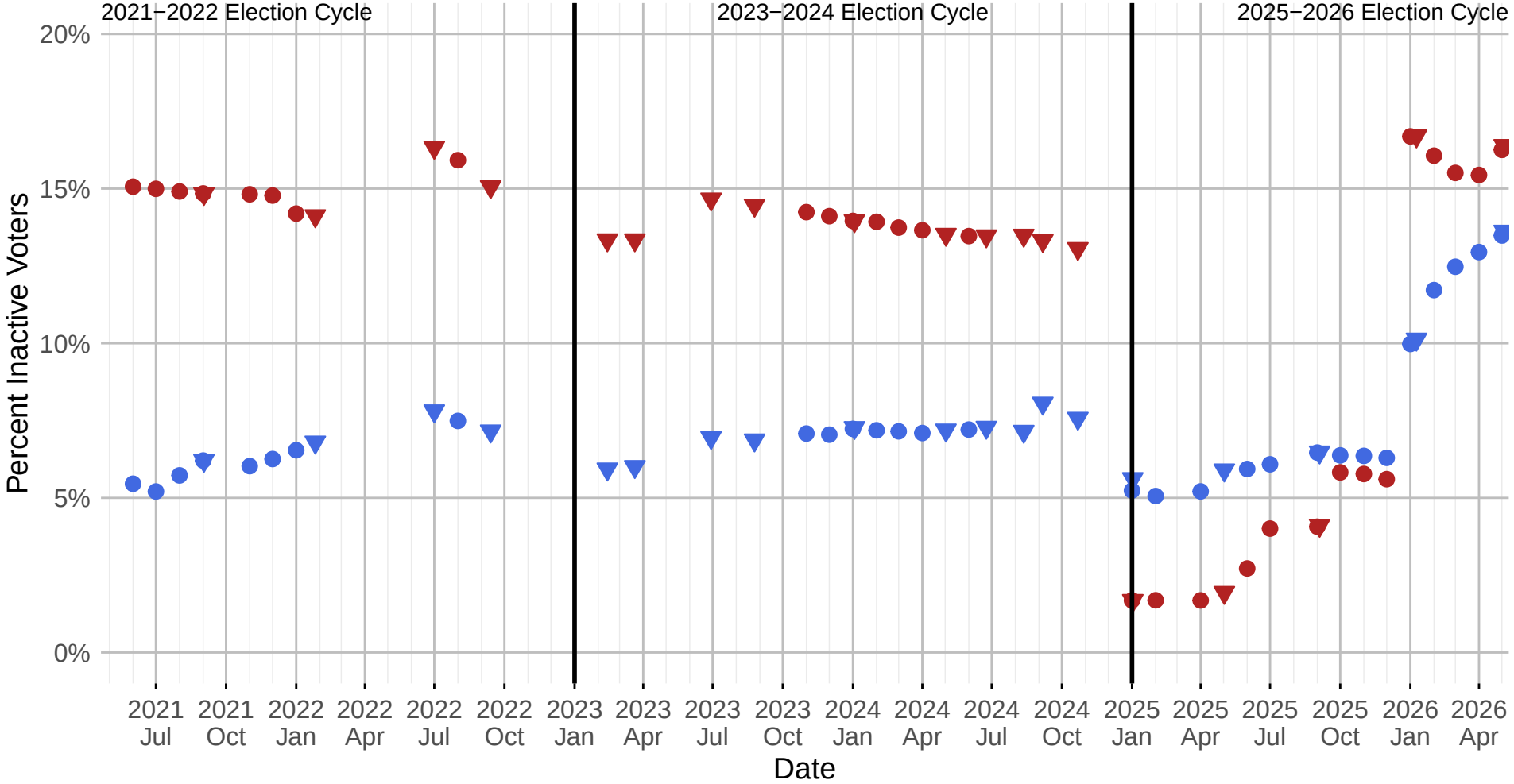

Source: Kansas Secretary of State Online Voter Registration Statistics Dashboard (circles); Voter Files (triangles)

efg 2026−05−21

Kansas Statewide Percent Inactive

Cherokee County Percent Inactive

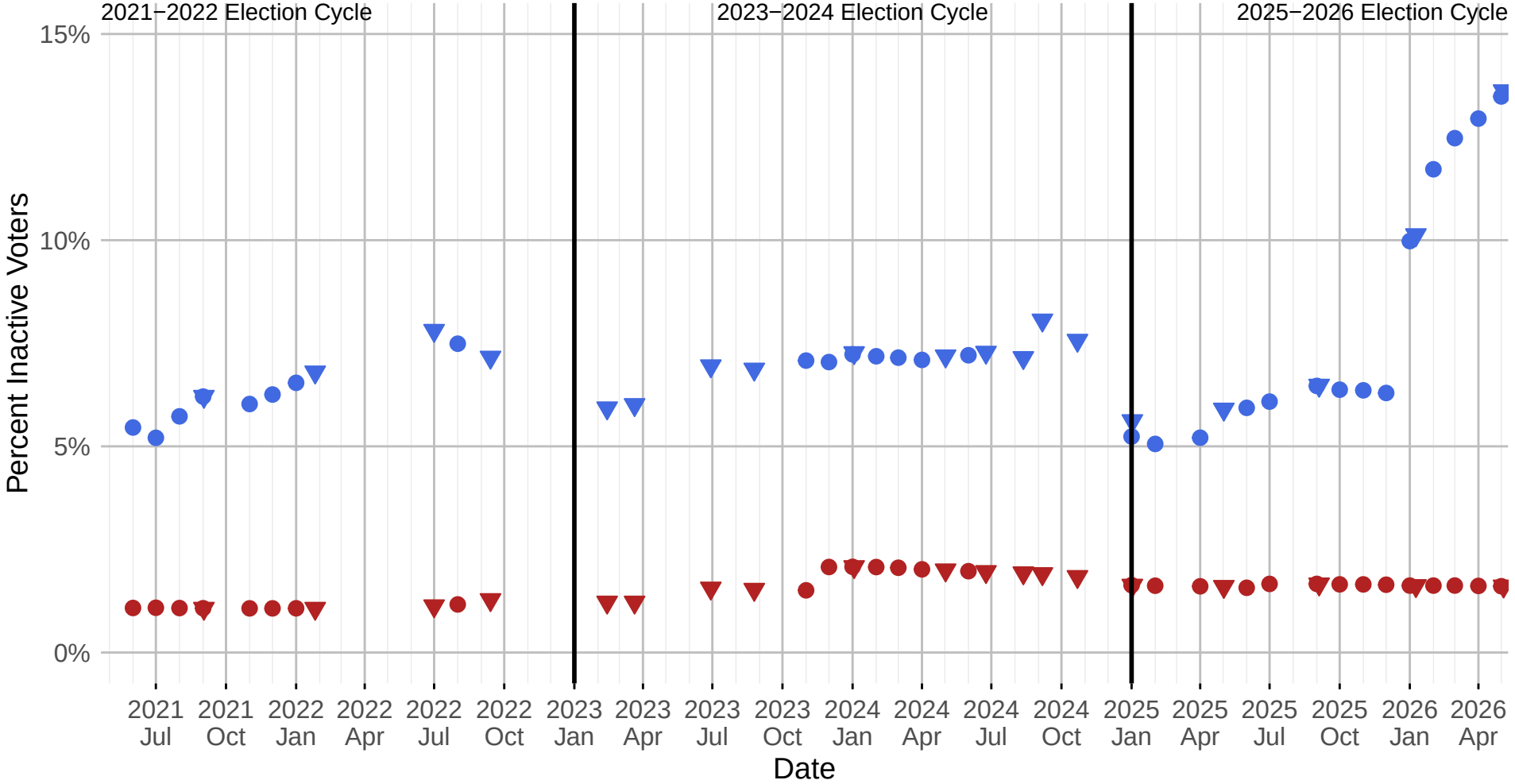

Source: Kansas Secretary of State Online Voter Registration Statistics Dashboard (circles); Voter Files (triangles)

efg 2026−05−21

Kansas Statewide Percent Inactive

Cheyenne County Percent Inactive

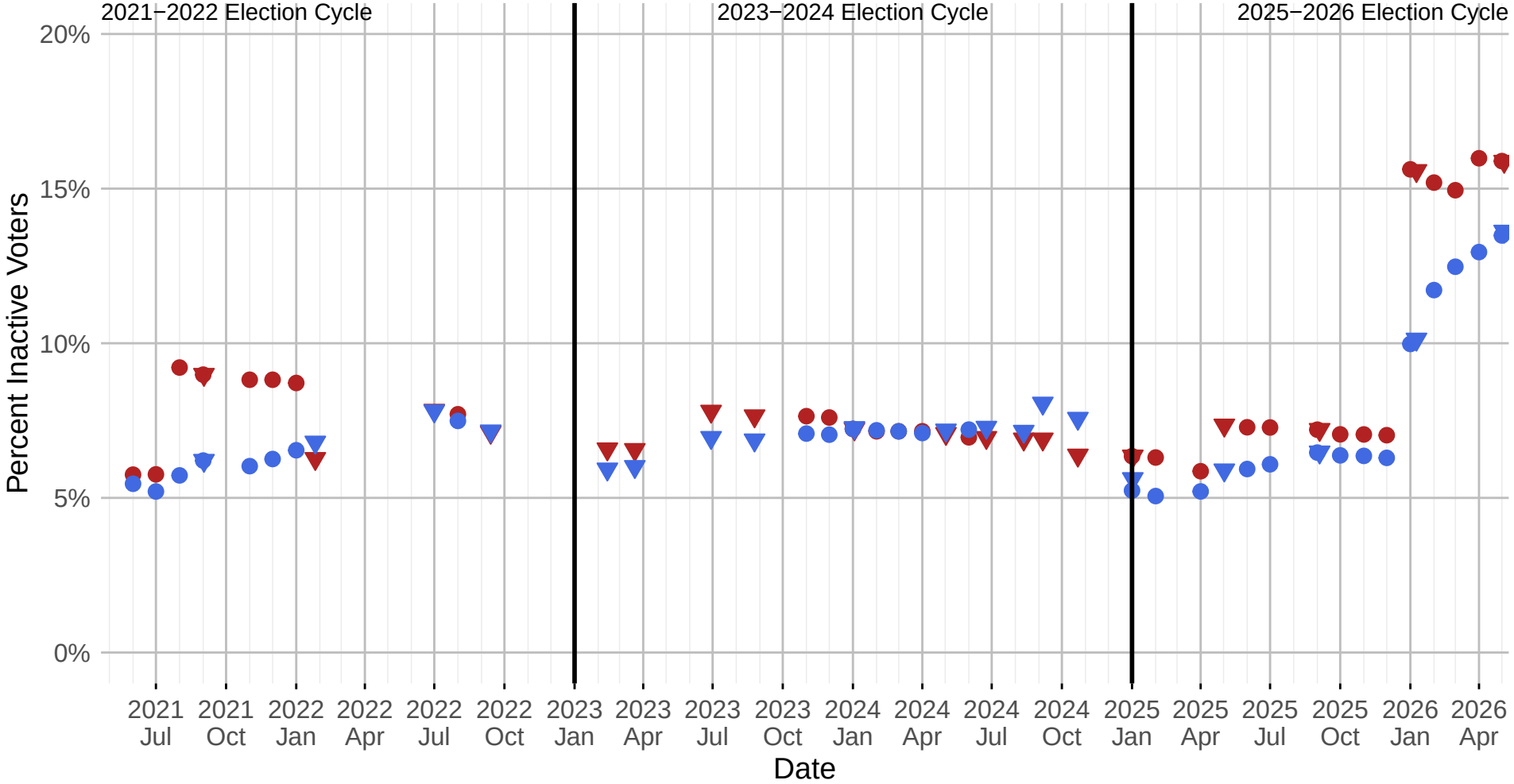

Source: Kansas Secretary of State Online Voter Registration Statistics Dashboard (circles); Voter Files (triangles)

efg 2026−05−21

Kansas Statewide Percent Inactive

Clark County Percent Inactive

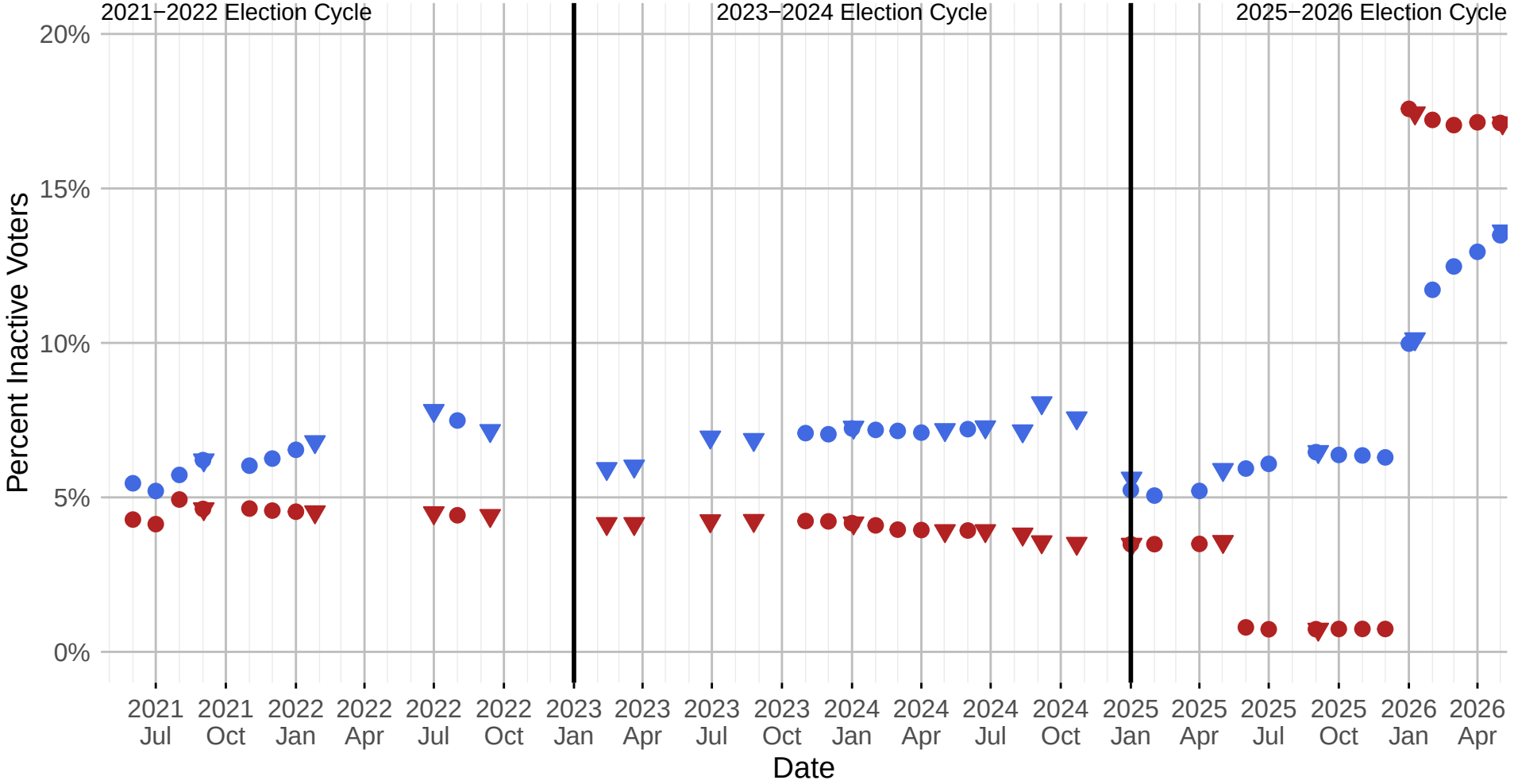

Source: Kansas Secretary of State Online Voter Registration Statistics Dashboard (circles); Voter Files (triangles)

efg 2026−05−21

Kansas Statewide Percent Inactive

Clay County Percent Inactive

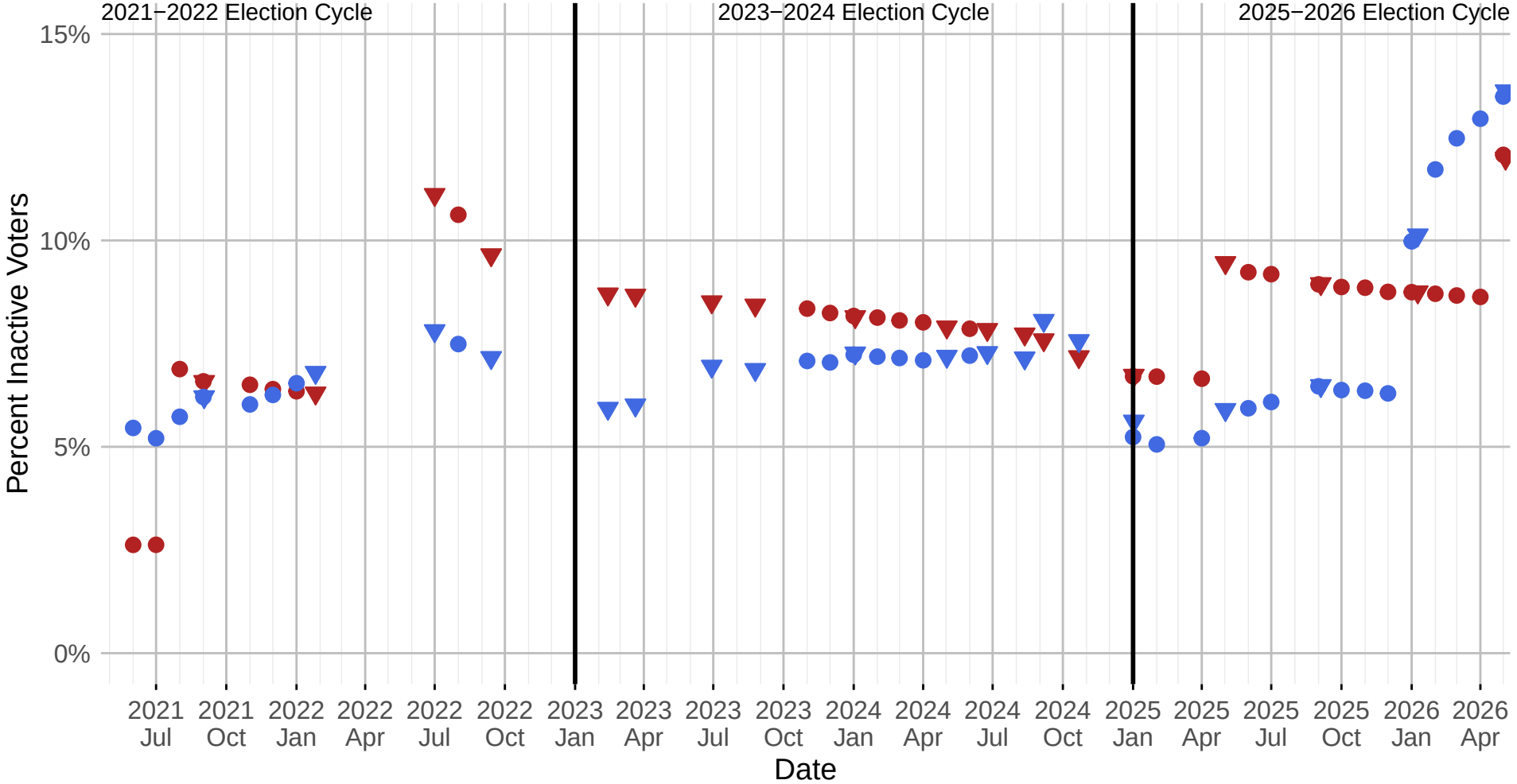

Source: Kansas Secretary of State Online Voter Registration Statistics Dashboard (circles); Voter Files (triangles)

efg 2026−05−21

Kansas Statewide Percent Inactive

Cloud County Percent Inactive

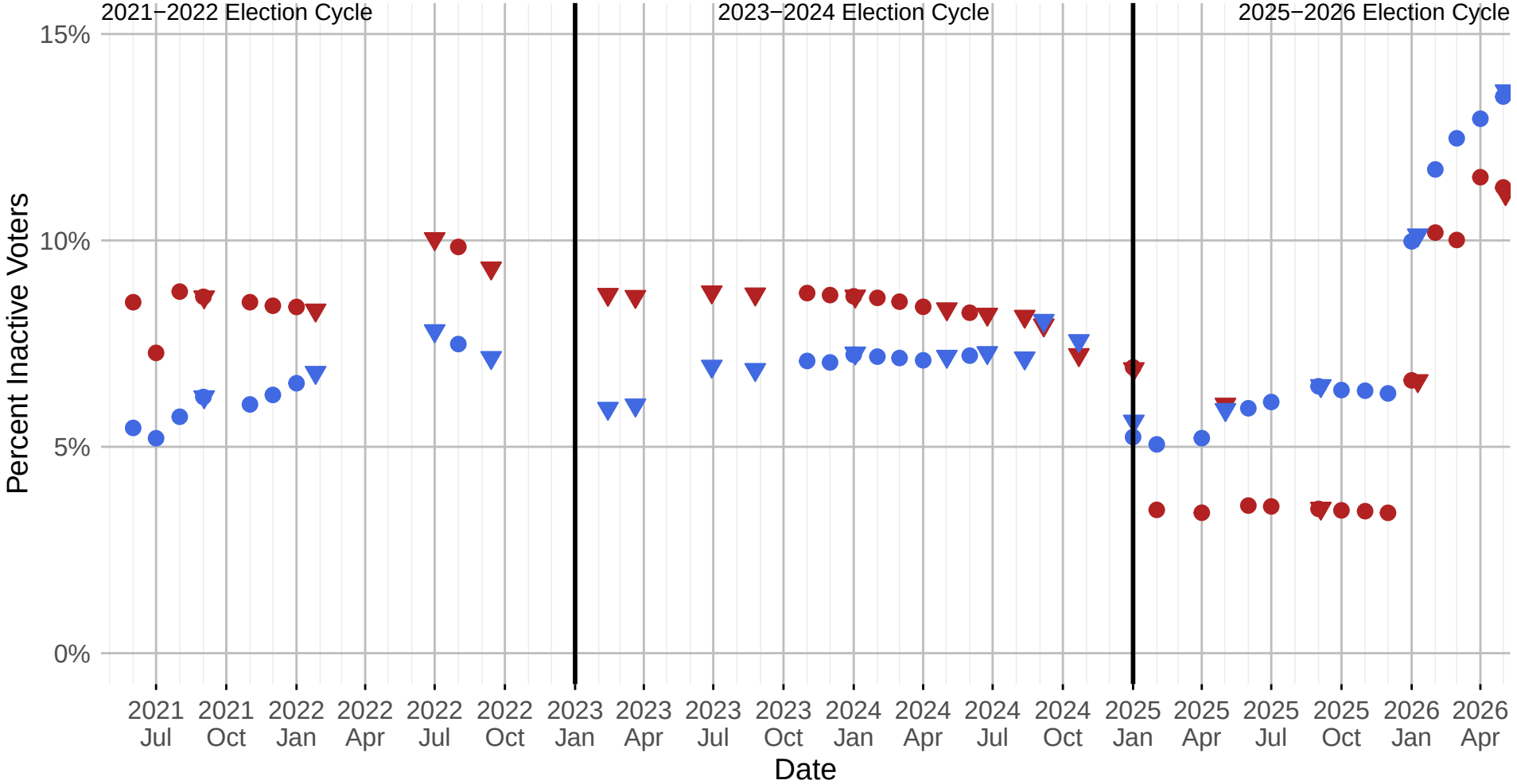

Source: Kansas Secretary of State Online Voter Registration Statistics Dashboard (circles); Voter Files (triangles)

efg 2026−05−21

Kansas Statewide Percent Inactive

Coffey County Percent Inactive

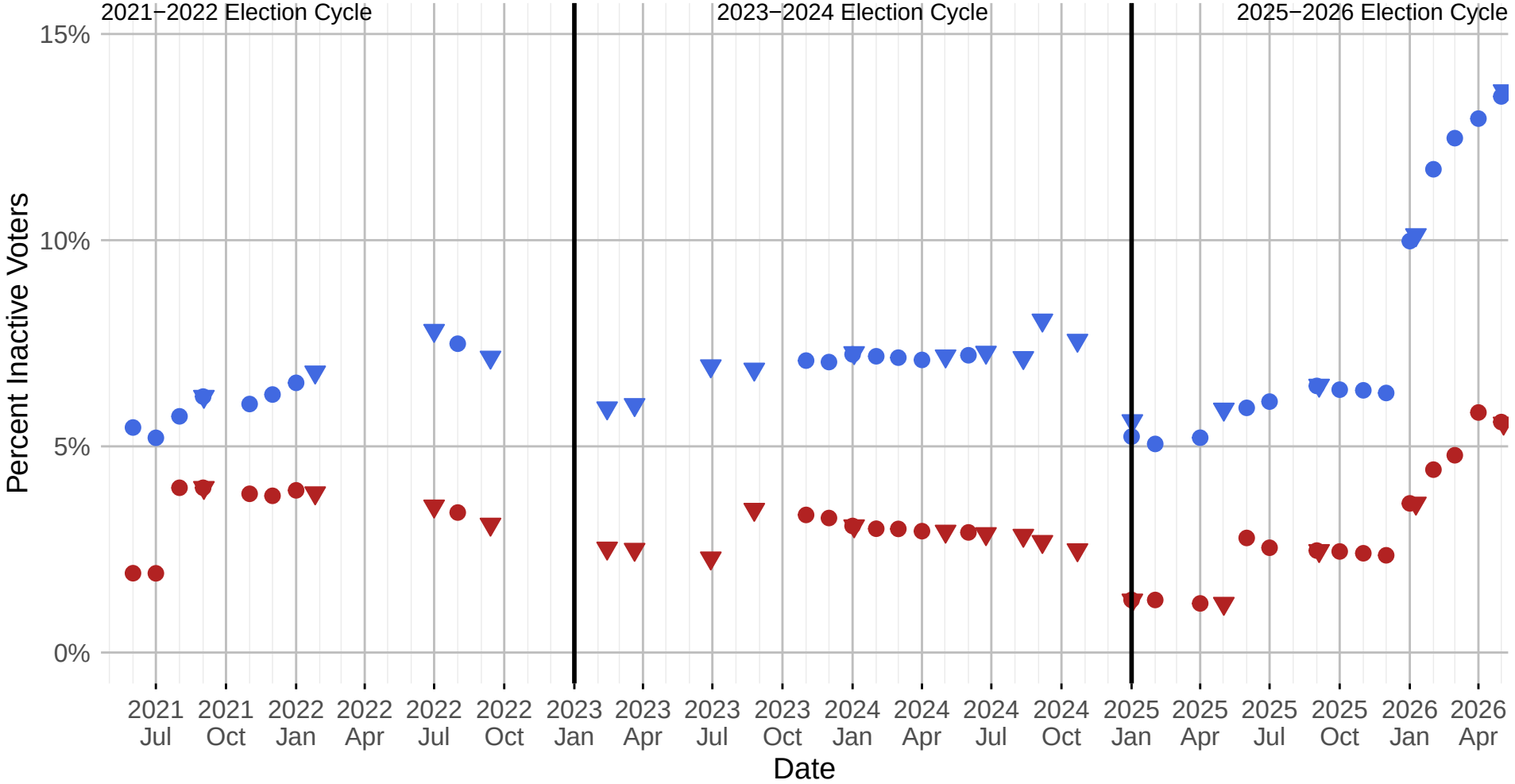

Source: Kansas Secretary of State Online Voter Registration Statistics Dashboard (circles); Voter Files (triangles)

efg 2026−05−21

Kansas Statewide Percent Inactive

Comanche County Percent Inactive

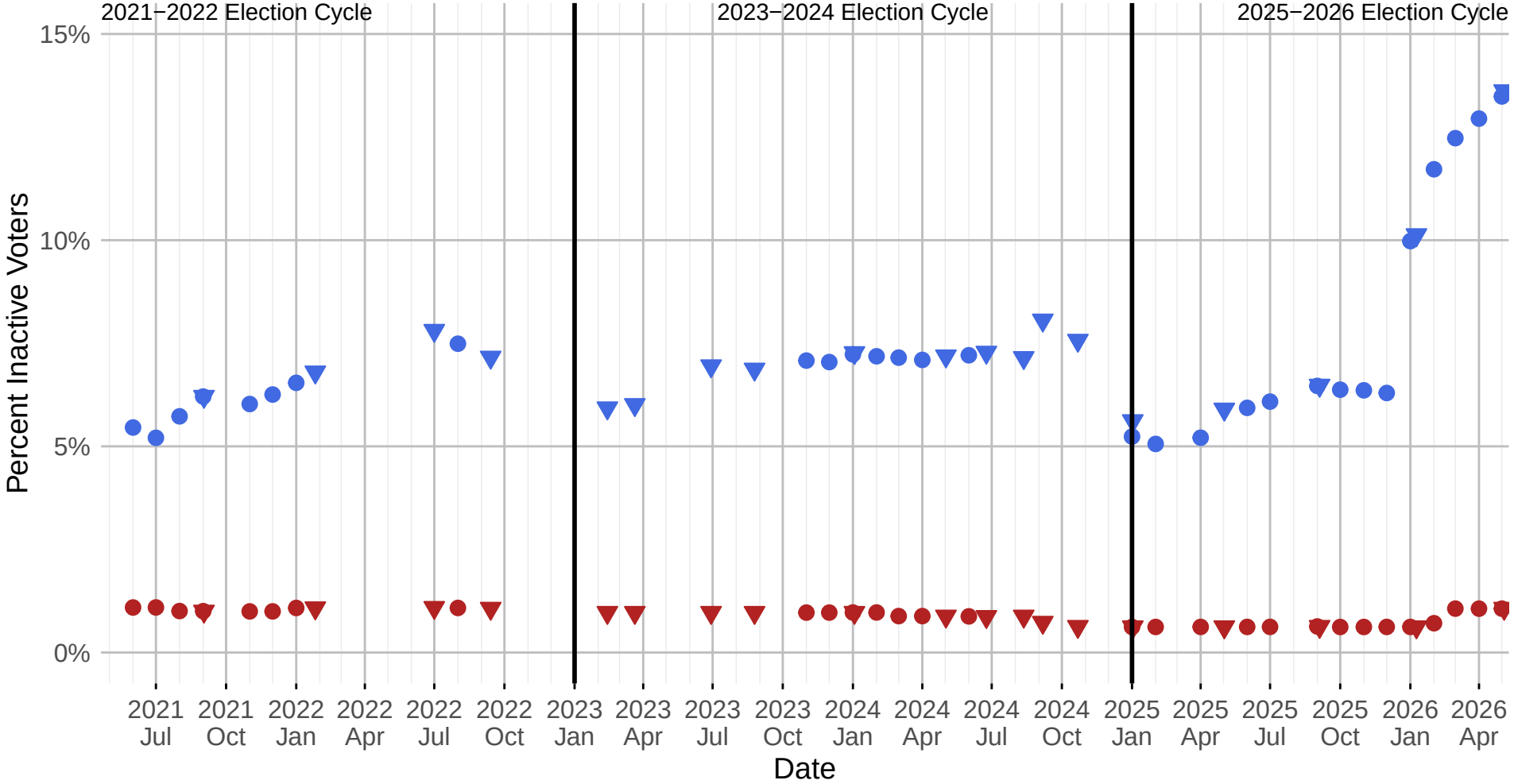

Source: Kansas Secretary of State Online Voter Registration Statistics Dashboard (circles); Voter Files (triangles)

efg 2026−05−21

Kansas Statewide Percent Inactive

Cowley County Percent Inactive

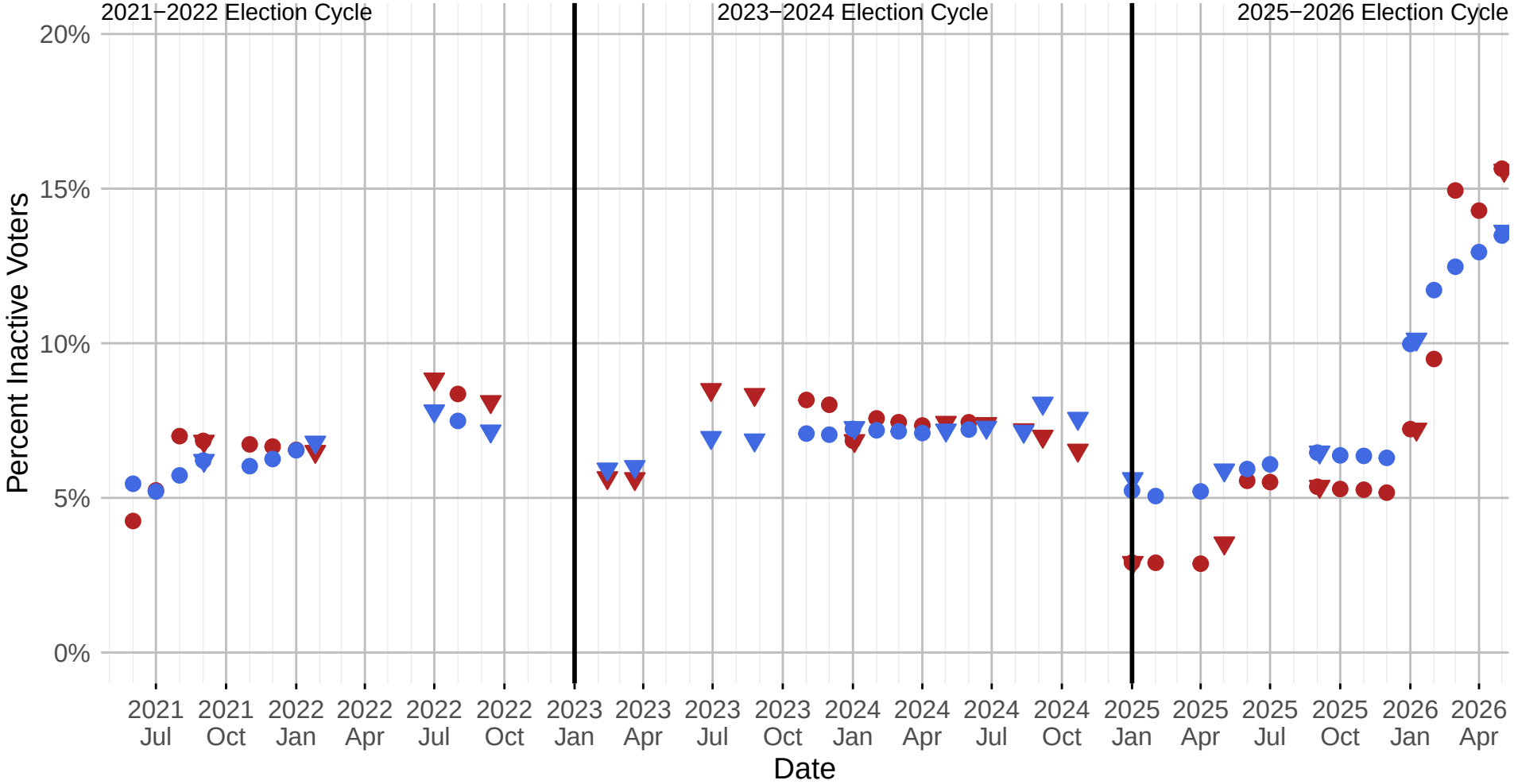

Source: Kansas Secretary of State Online Voter Registration Statistics Dashboard (circles); Voter Files (triangles)

efg 2026−05−21

Kansas Statewide Percent Inactive

Crawford County Percent Inactive

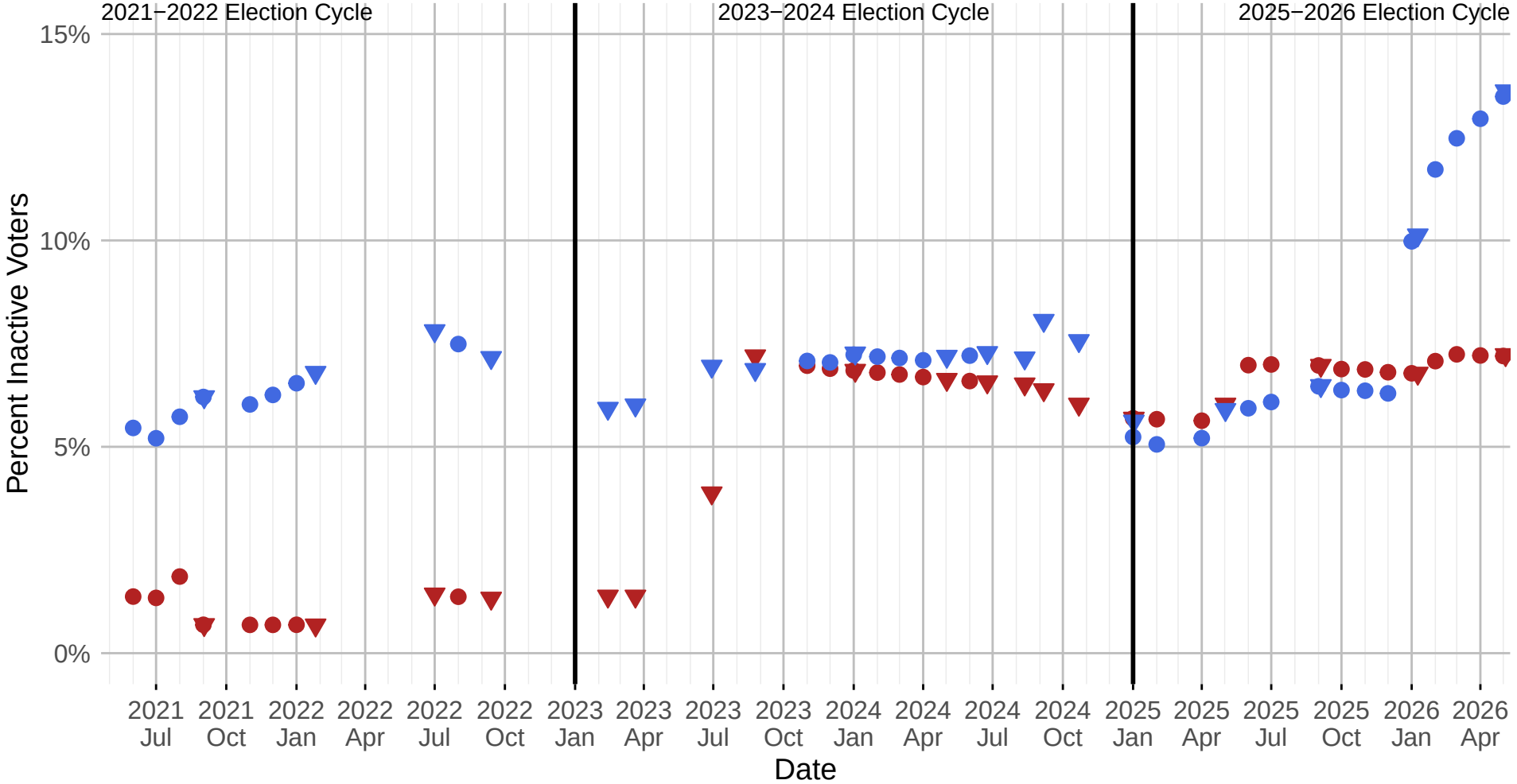

Source: Kansas Secretary of State Online Voter Registration Statistics Dashboard (circles); Voter Files (triangles)

efg 2026−05−21

Kansas Statewide Percent Inactive

Decatur County Percent Inactive

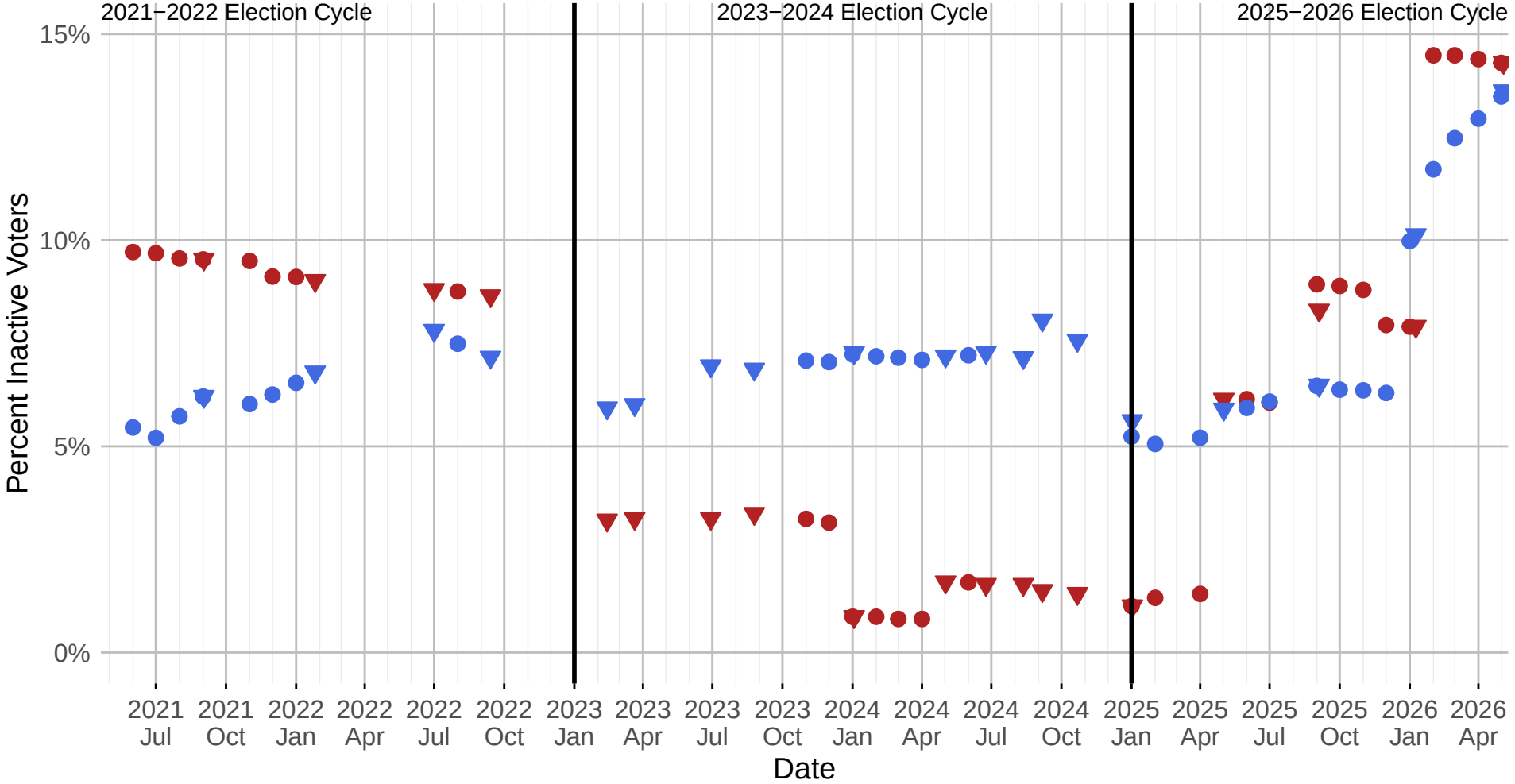

Source: Kansas Secretary of State Online Voter Registration Statistics Dashboard (circles); Voter Files (triangles)

efg 2026−05−21

Kansas Statewide Percent Inactive

Dickinson County Percent Inactive

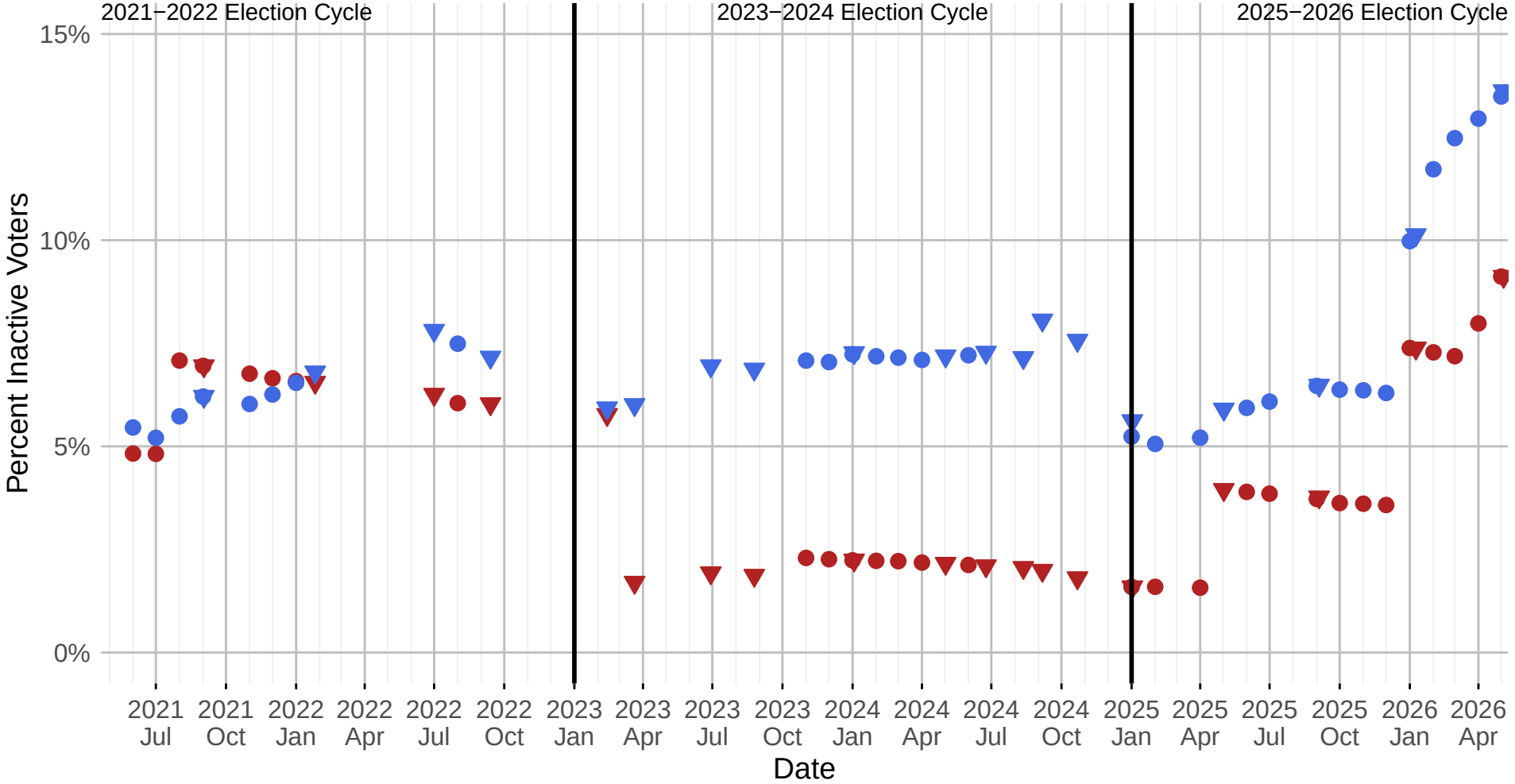

Source: Kansas Secretary of State Online Voter Registration Statistics Dashboard (circles); Voter Files (triangles)

efg 2026−05−21

Kansas Statewide Percent Inactive

Doniphan County Percent Inactive

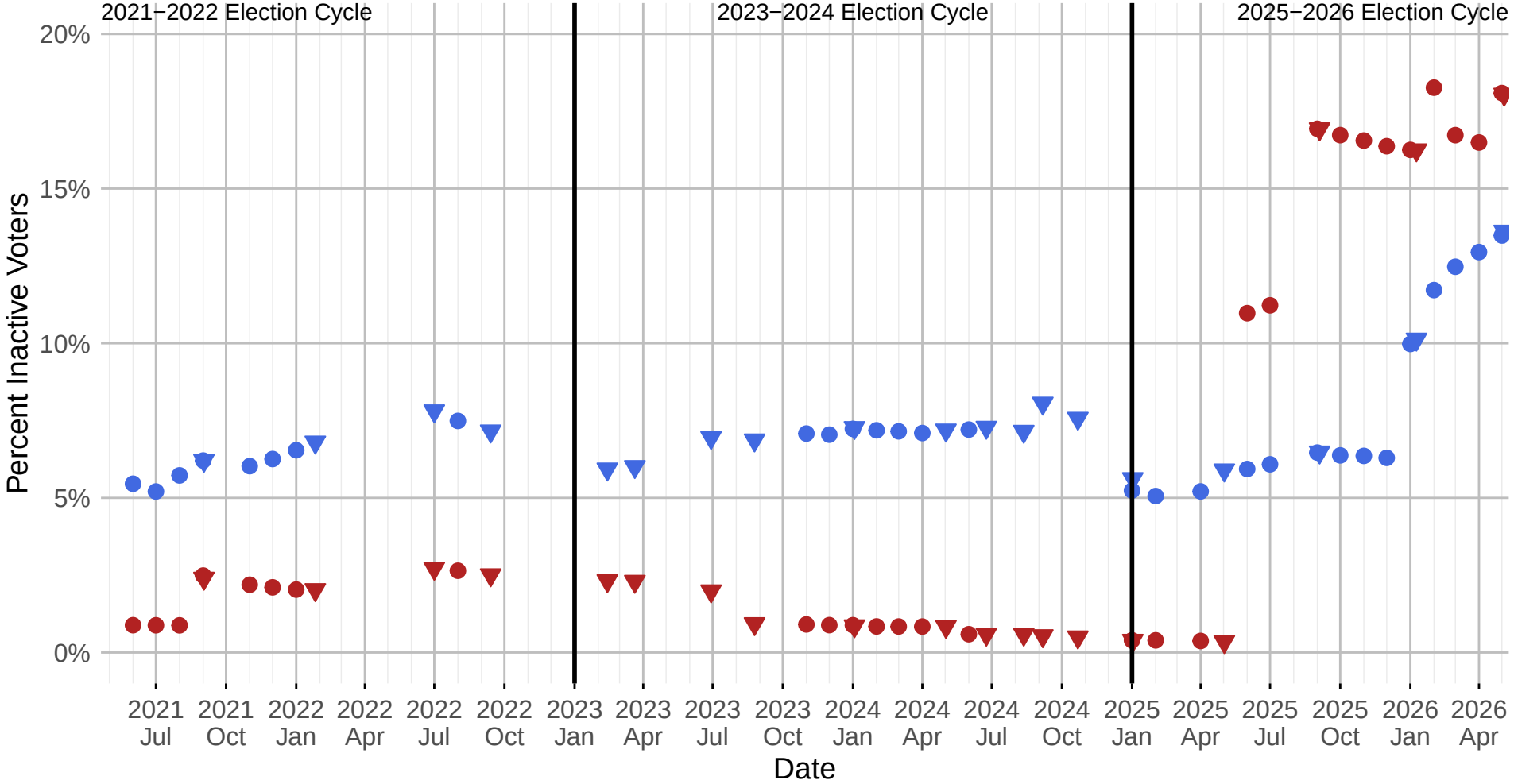

Source: Kansas Secretary of State Online Voter Registration Statistics Dashboard (circles); Voter Files (triangles)

efg 2026−05−21

Kansas Statewide Percent Inactive

Douglas County Percent Inactive

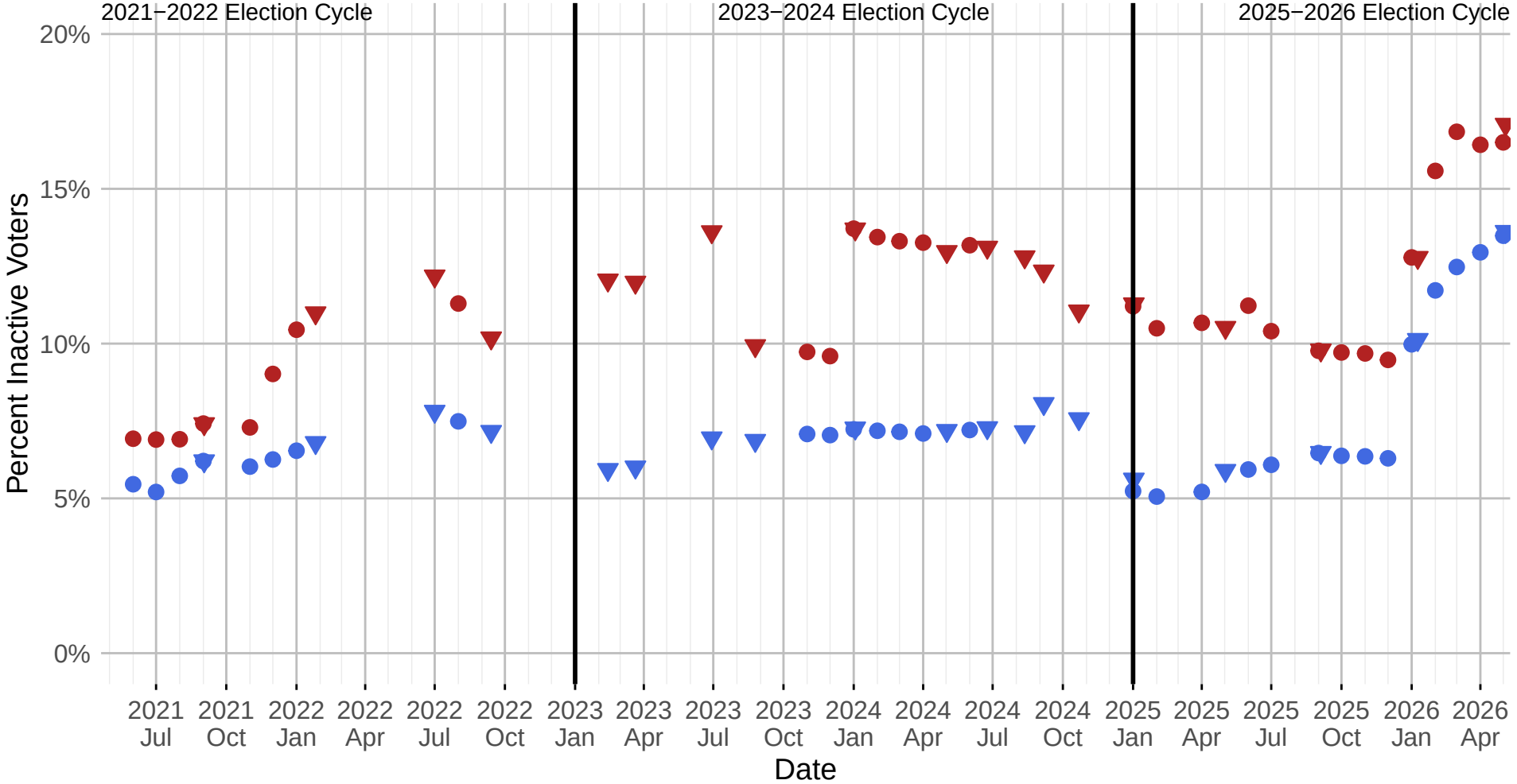

Source: Kansas Secretary of State Online Voter Registration Statistics Dashboard (circles); Voter Files (triangles)

efg 2026−05−21

Kansas Statewide Percent Inactive

Edwards County Percent Inactive

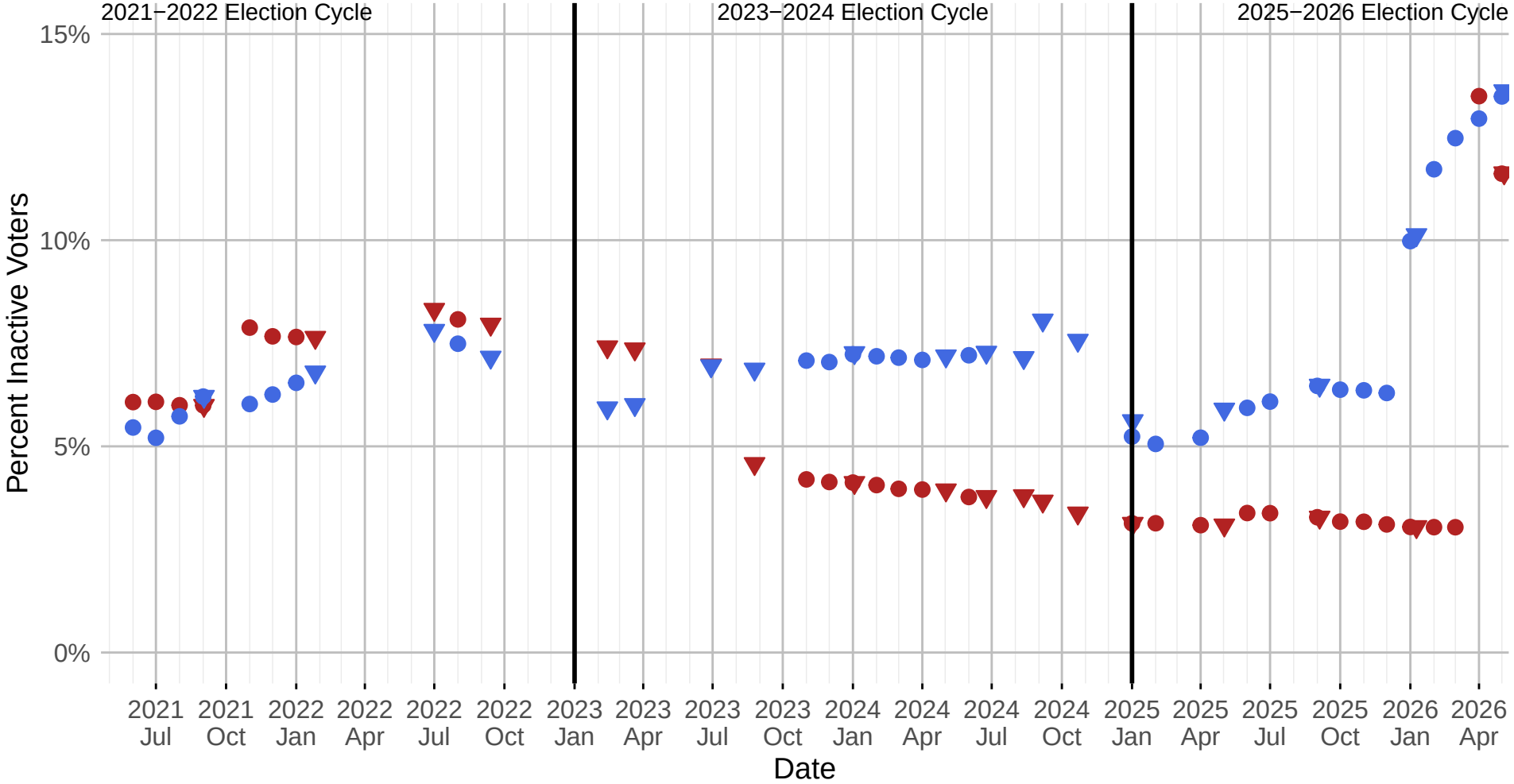

Source: Kansas Secretary of State Online Voter Registration Statistics Dashboard (circles); Voter Files (triangles)

efg 2026−05−21

Kansas Statewide Percent Inactive

Elk County Percent Inactive

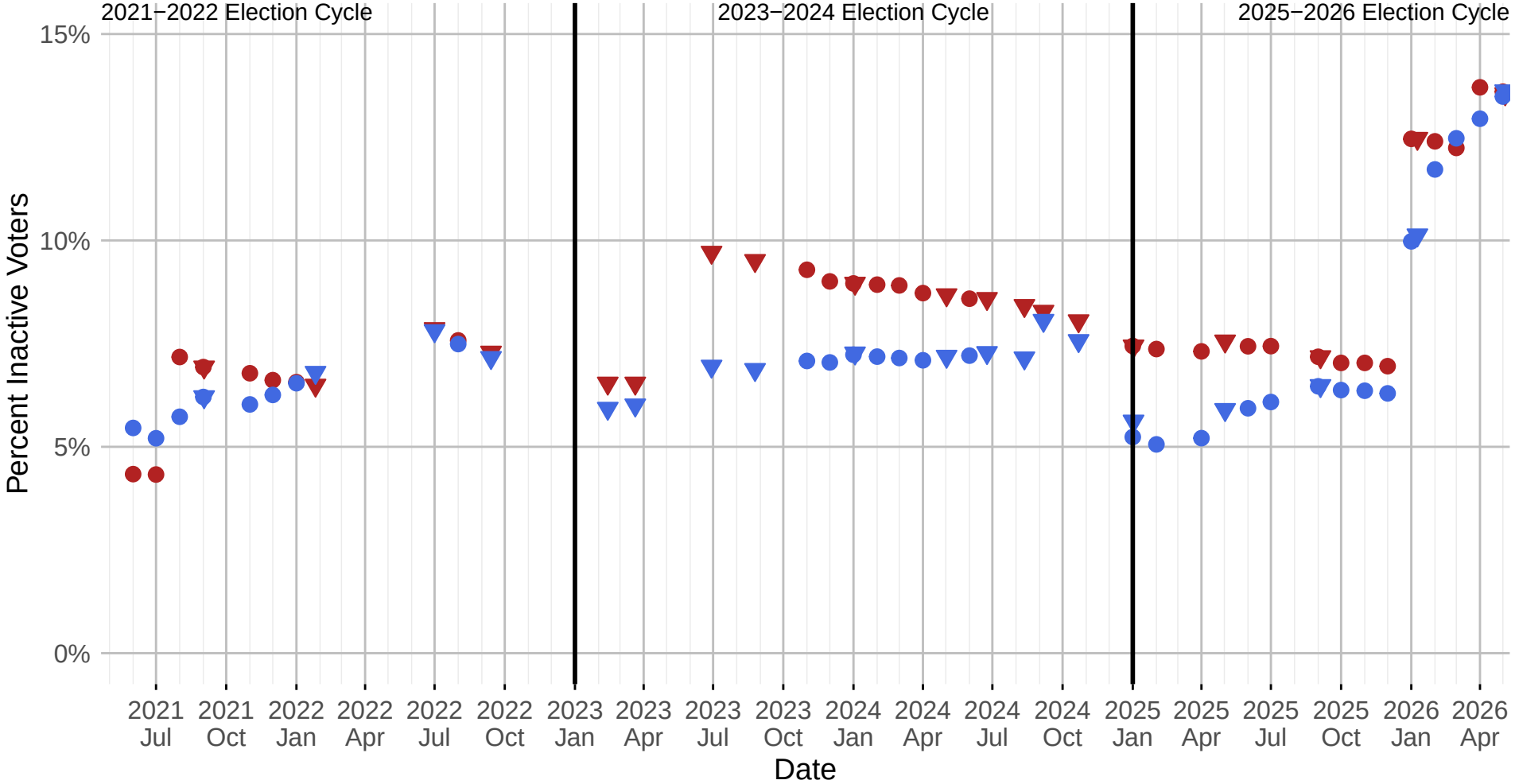

Source: Kansas Secretary of State Online Voter Registration Statistics Dashboard (circles); Voter Files (triangles)

efg 2026−05−21

Kansas Statewide Percent Inactive

Ellis County Percent Inactive

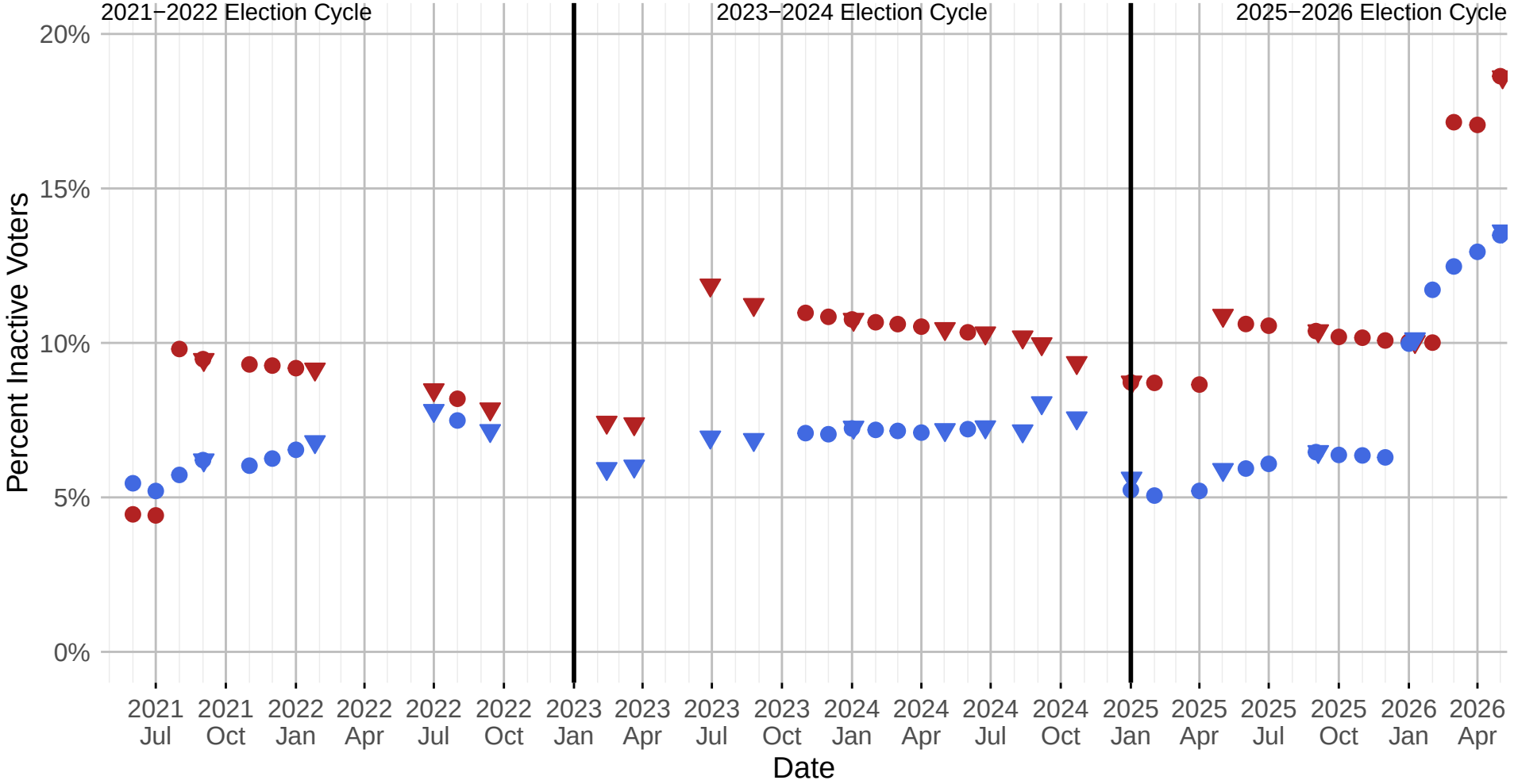

Source: Kansas Secretary of State Online Voter Registration Statistics Dashboard (circles); Voter Files (triangles)

efg 2026−05−21

Kansas Statewide Percent Inactive

Ellsworth County Percent Inactive

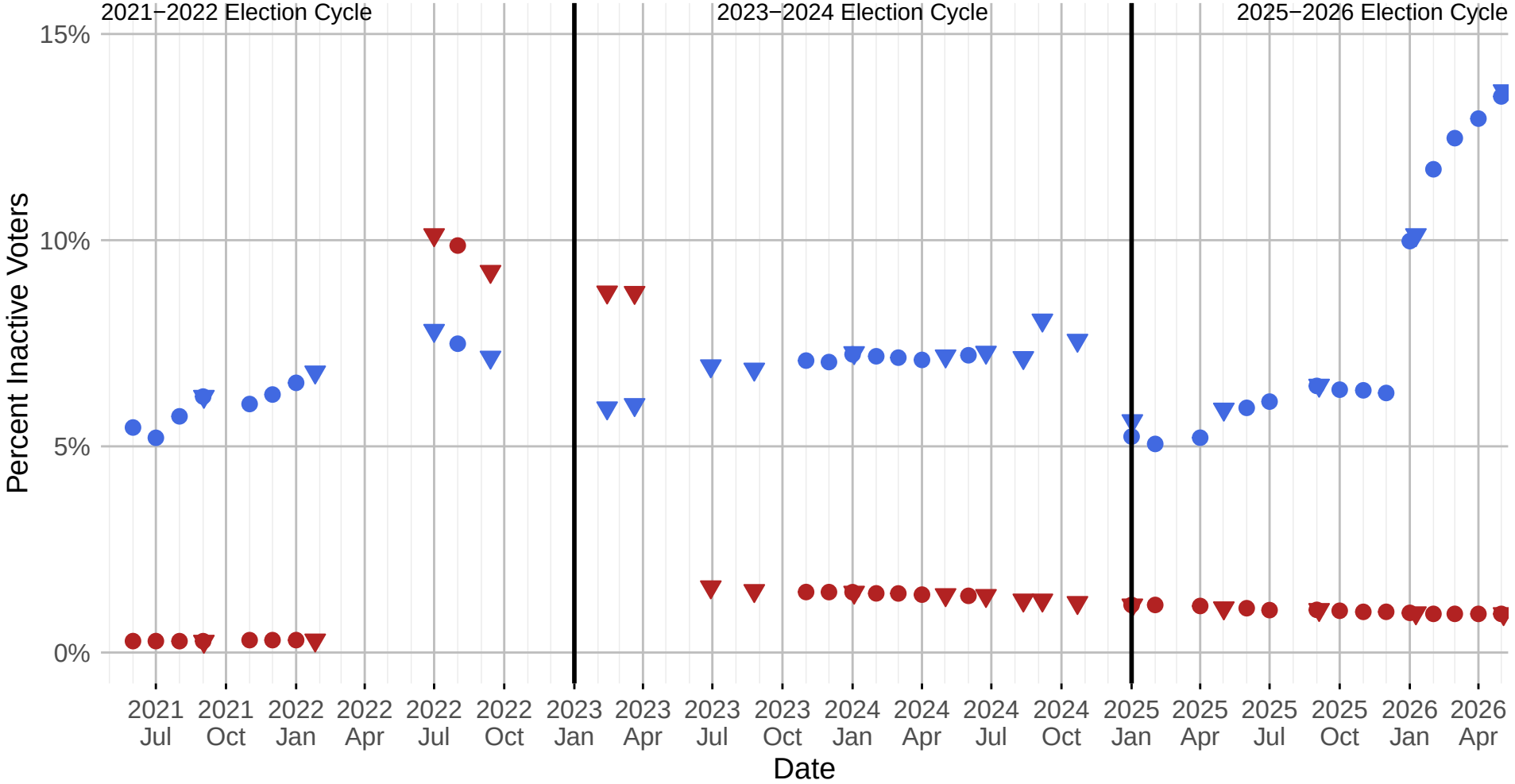

Source: Kansas Secretary of State Online Voter Registration Statistics Dashboard (circles); Voter Files (triangles)

efg 2026−05−21

Kansas Statewide Percent Inactive

Finney County Percent Inactive

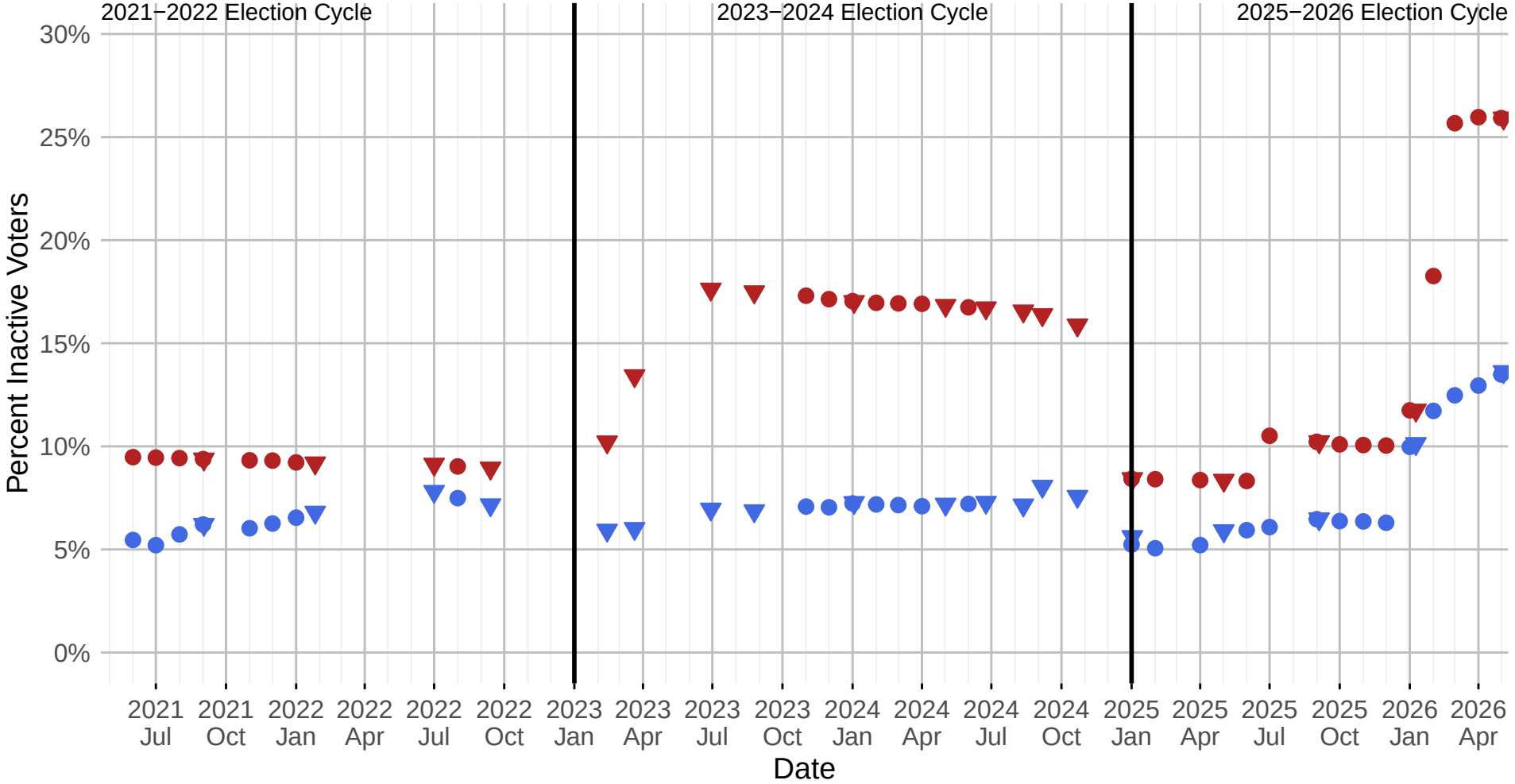

Source: Kansas Secretary of State Online Voter Registration Statistics Dashboard (circles); Voter Files (triangles)

efg 2026−05−21

Kansas Statewide Percent Inactive

Ford County Percent Inactive

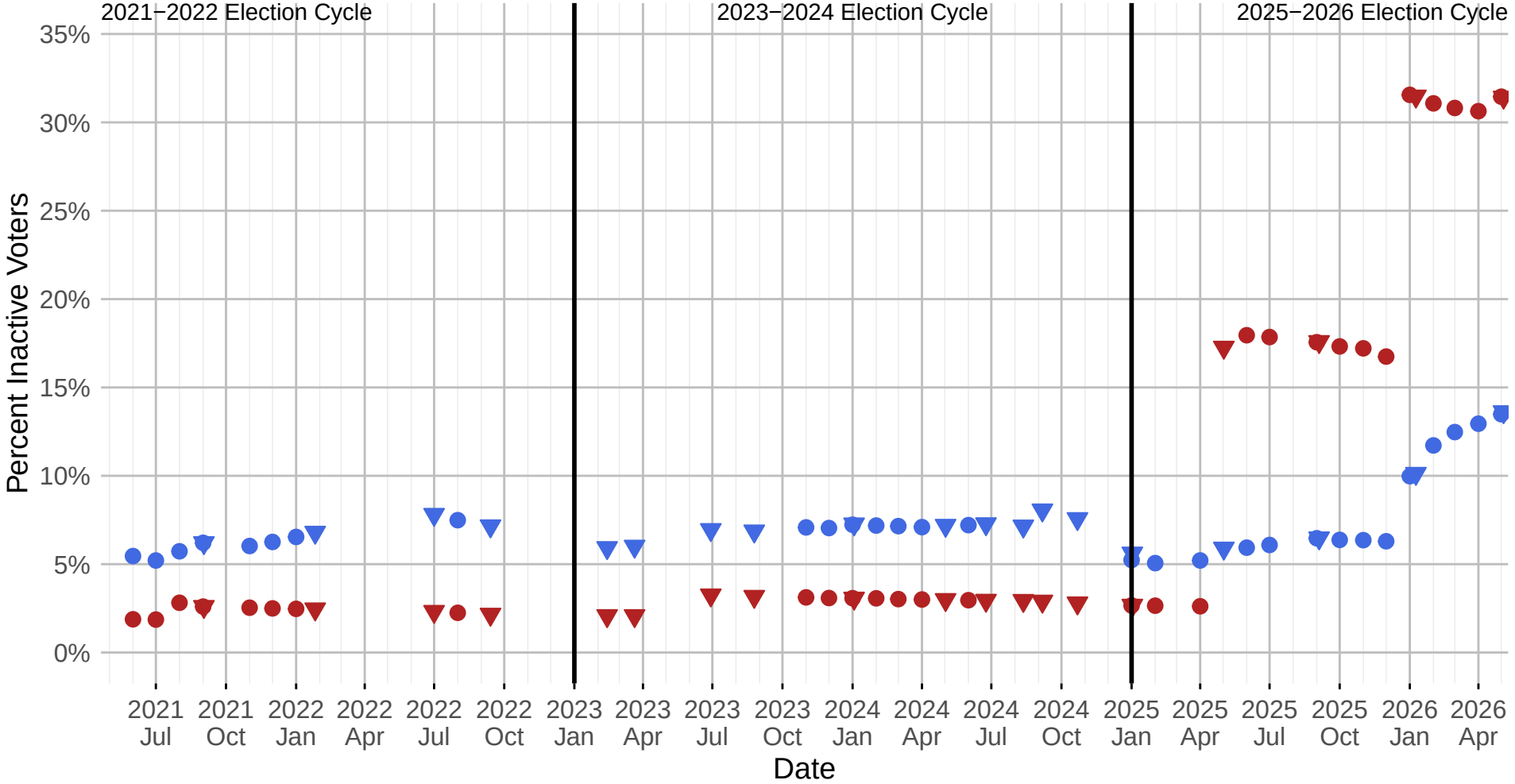

Source: Kansas Secretary of State Online Voter Registration Statistics Dashboard (circles); Voter Files (triangles)

efg 2026−05−21

Kansas Statewide Percent Inactive

Franklin County Percent Inactive

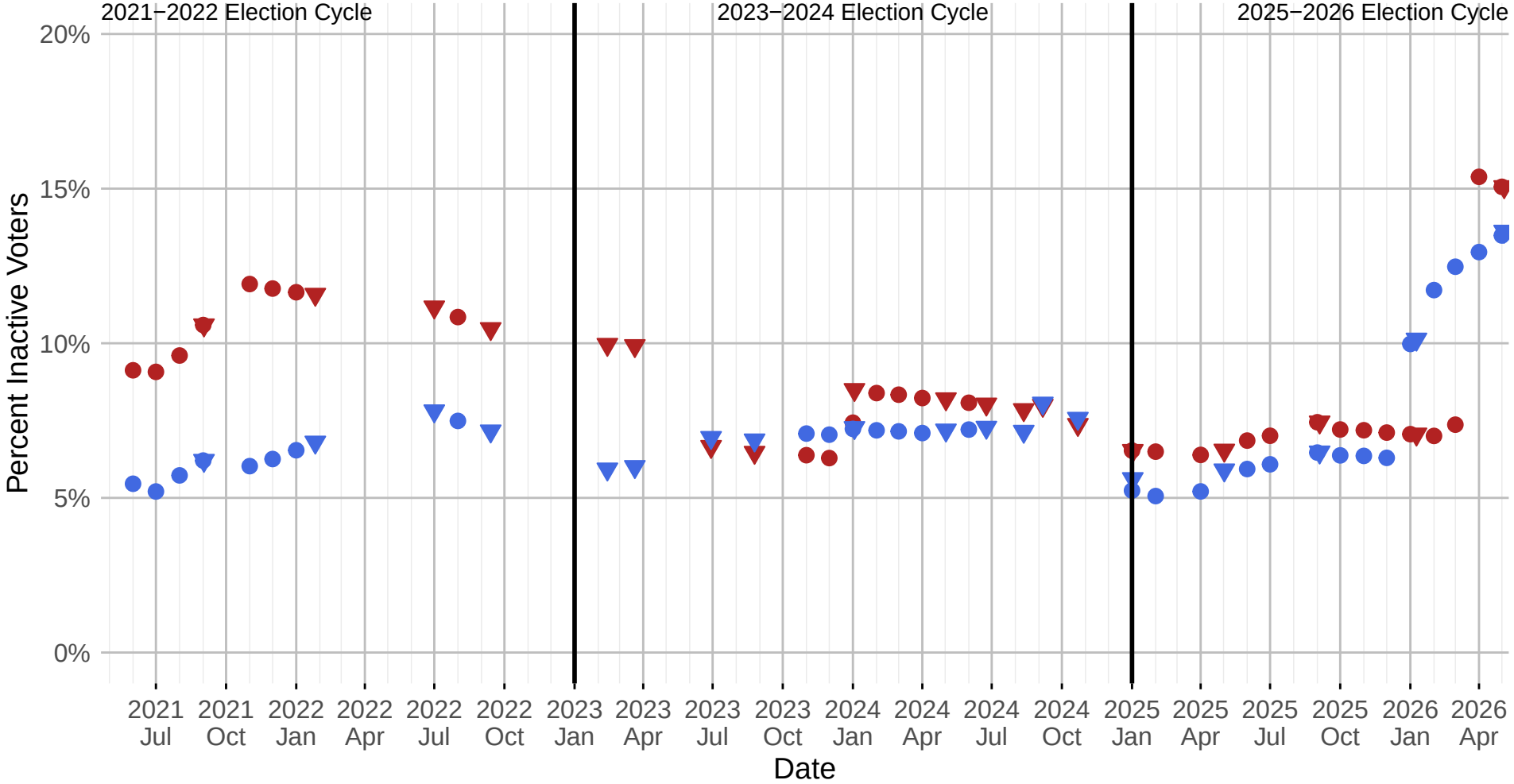

Source: Kansas Secretary of State Online Voter Registration Statistics Dashboard (circles); Voter Files (triangles)

efg 2026−05−21

Kansas Statewide Percent Inactive

Geary County Percent Inactive

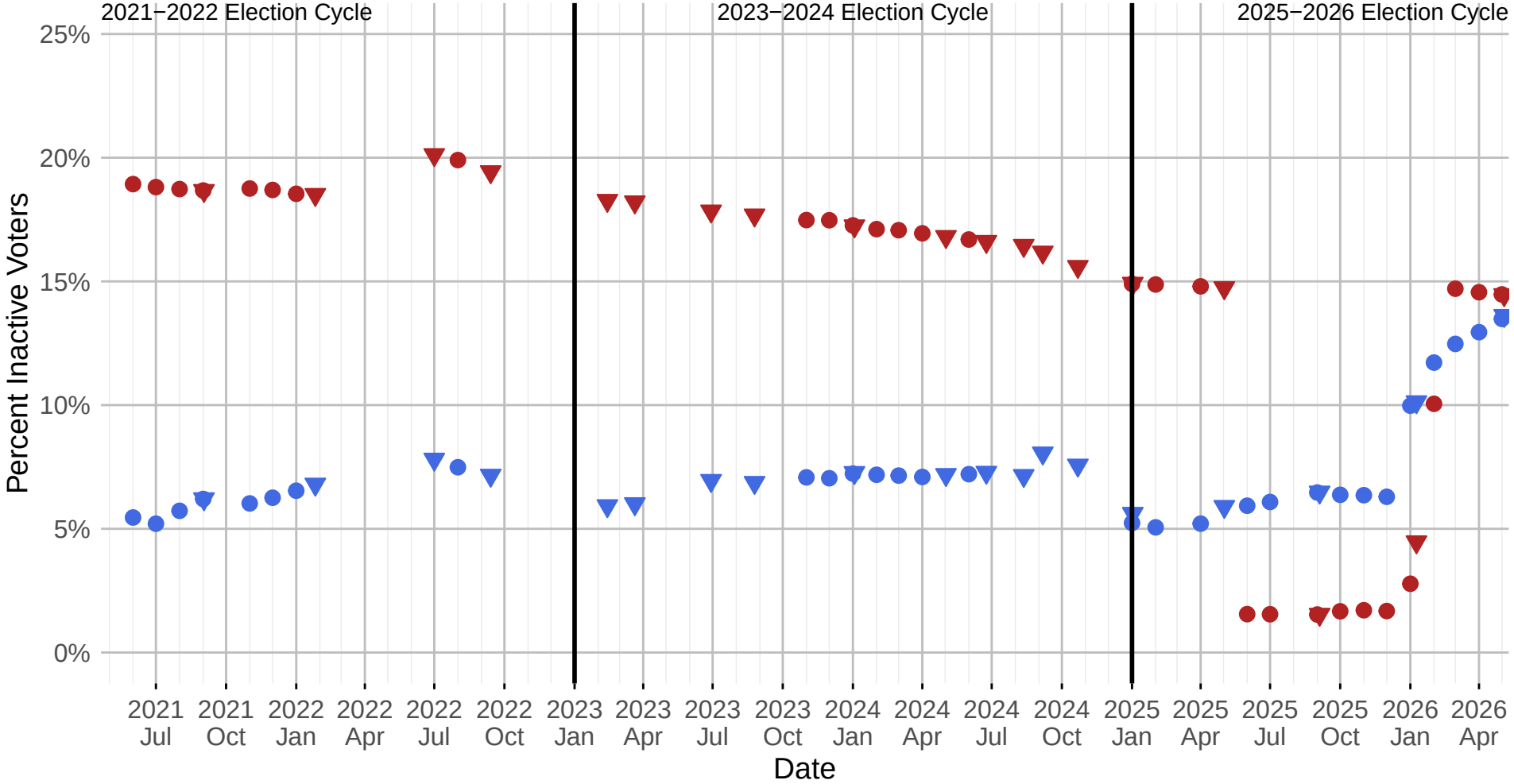

Source: Kansas Secretary of State Online Voter Registration Statistics Dashboard (circles); Voter Files (triangles)

efg 2026−05−21

Kansas Statewide Percent Inactive

Gove County Percent Inactive

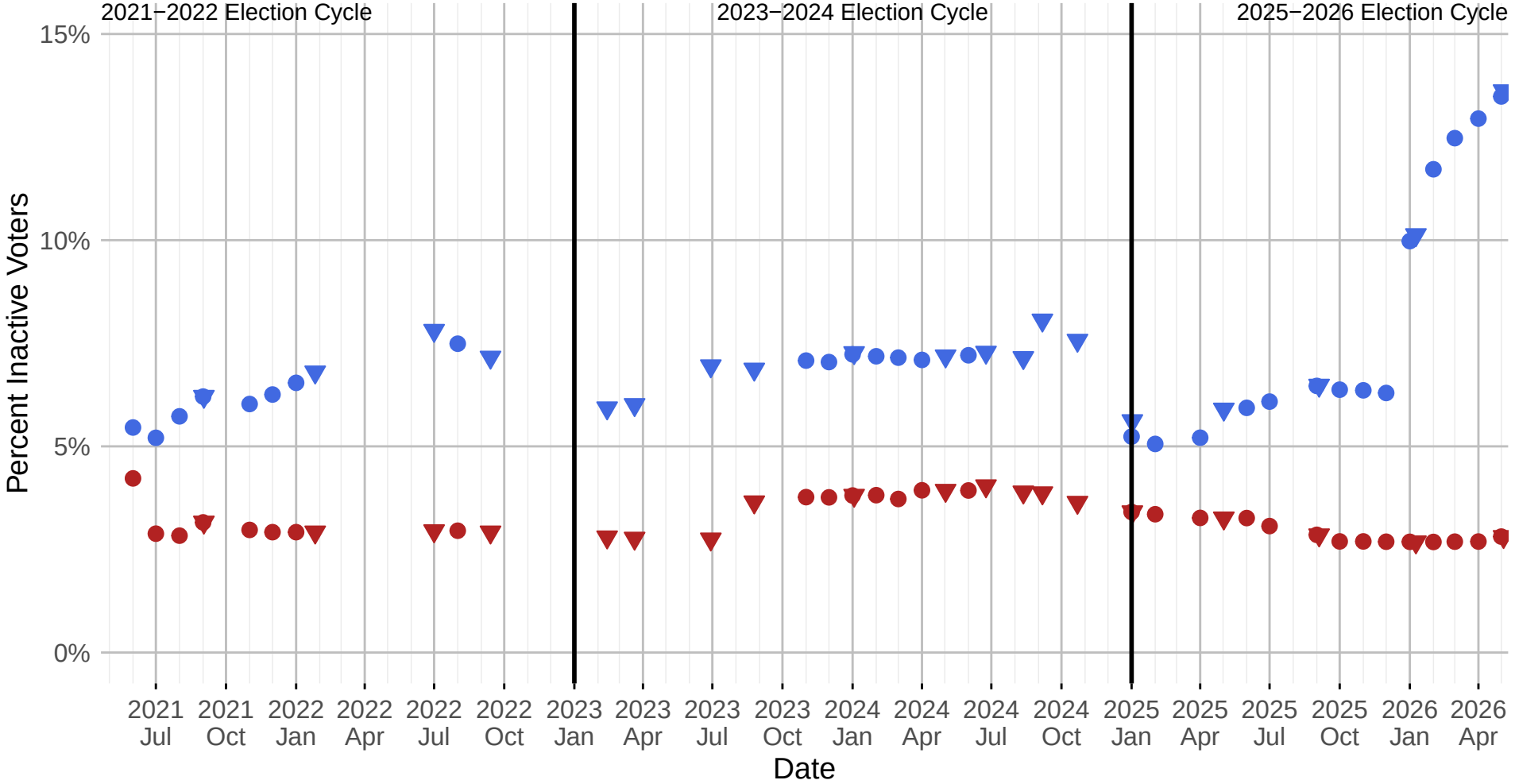

Source: Kansas Secretary of State Online Voter Registration Statistics Dashboard (circles); Voter Files (triangles)

efg 2026−05−21

Kansas Statewide Percent Inactive

Graham County Percent Inactive

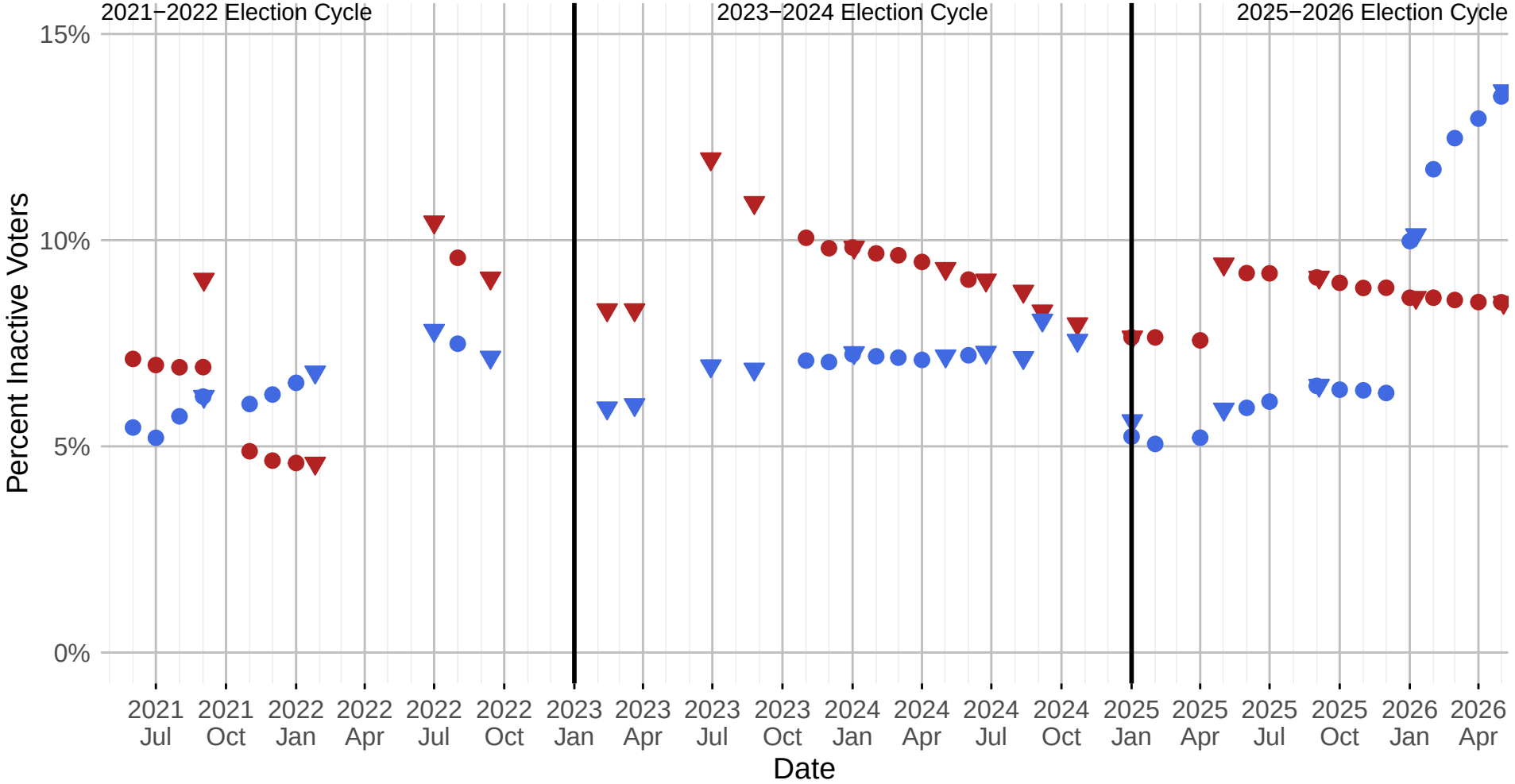

Source: Kansas Secretary of State Online Voter Registration Statistics Dashboard (circles); Voter Files (triangles)

efg 2026−05−21

Kansas Statewide Percent Inactive

Grant County Percent Inactive

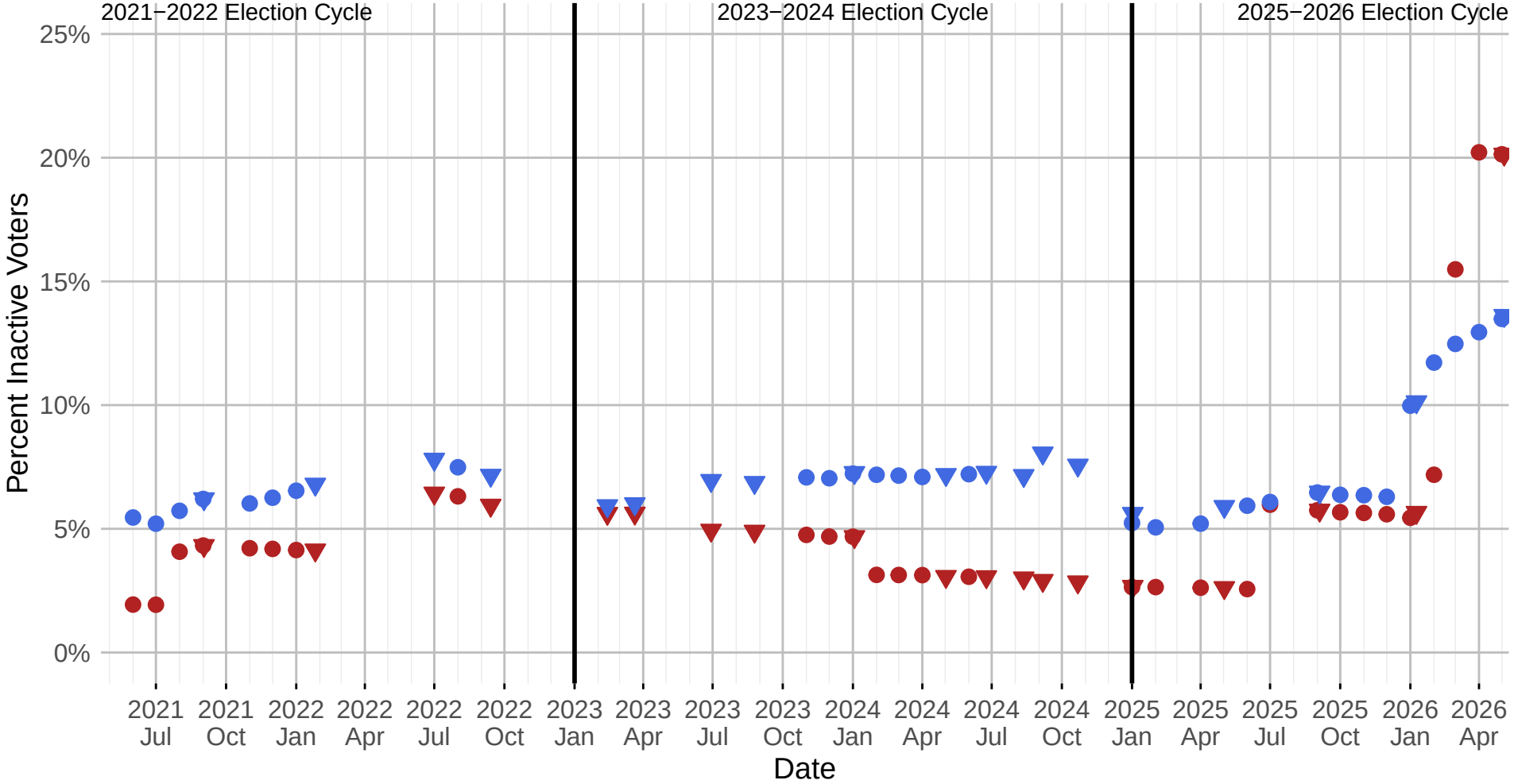

Source: Kansas Secretary of State Online Voter Registration Statistics Dashboard (circles); Voter Files (triangles)

efg 2026−05−21

Kansas Statewide Percent Inactive

Gray County Percent Inactive

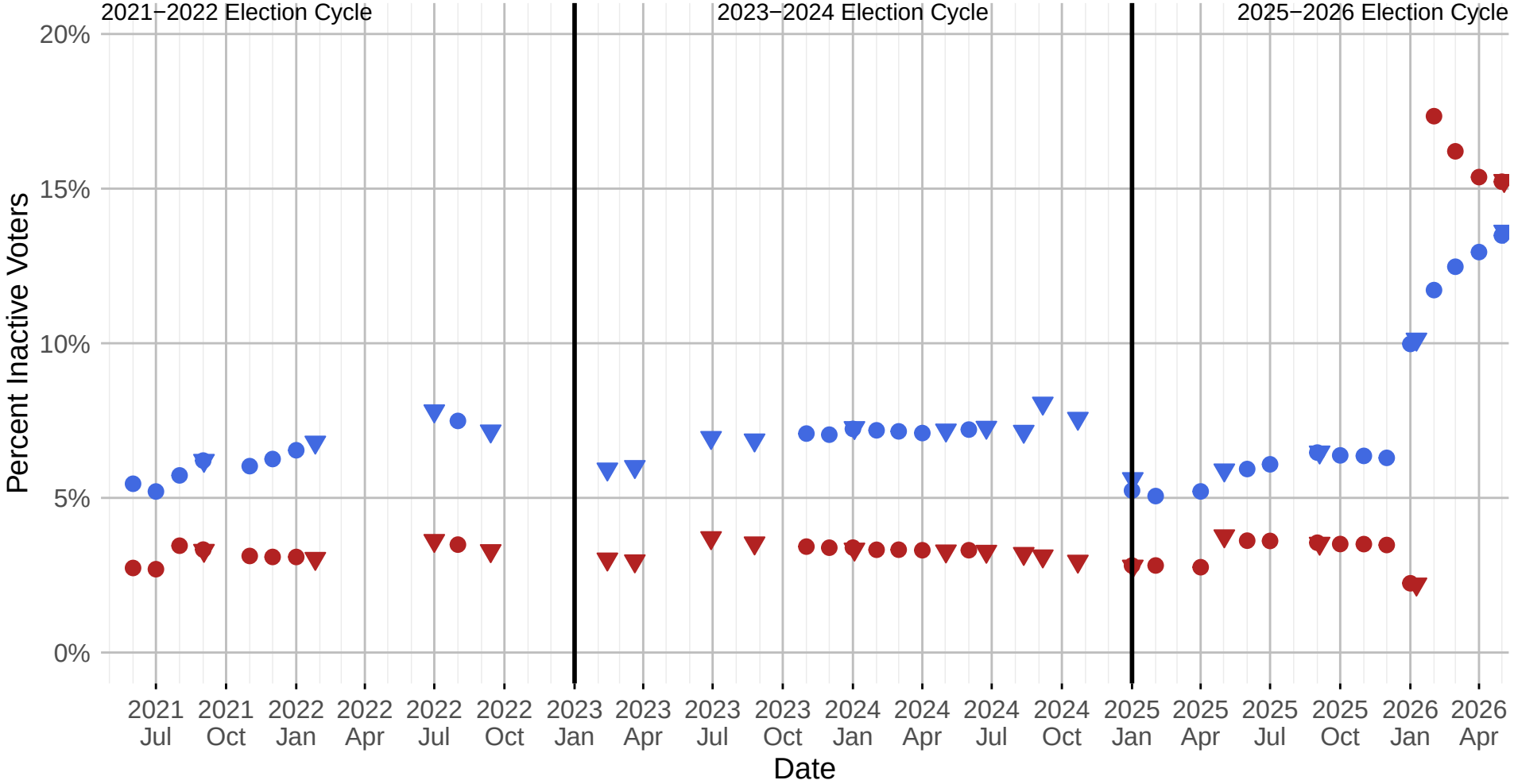

Source: Kansas Secretary of State Online Voter Registration Statistics Dashboard (circles); Voter Files (triangles)

efg 2026−05−21

Kansas Statewide Percent Inactive

Greeley County Percent Inactive

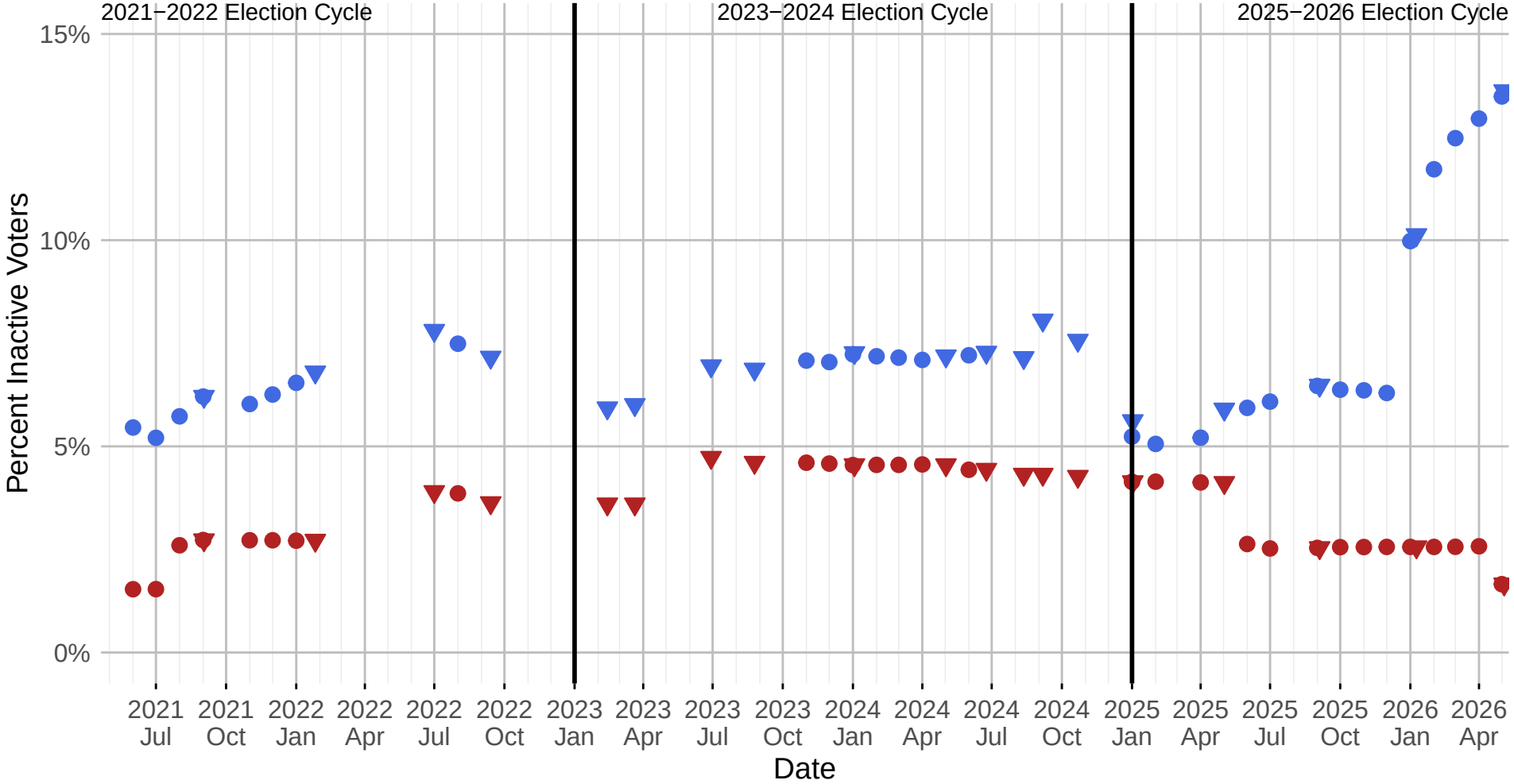

Source: Kansas Secretary of State Online Voter Registration Statistics Dashboard (circles); Voter Files (triangles)

efg 2026−05−21

Kansas Statewide Percent Inactive

Greenwood County Percent Inactive

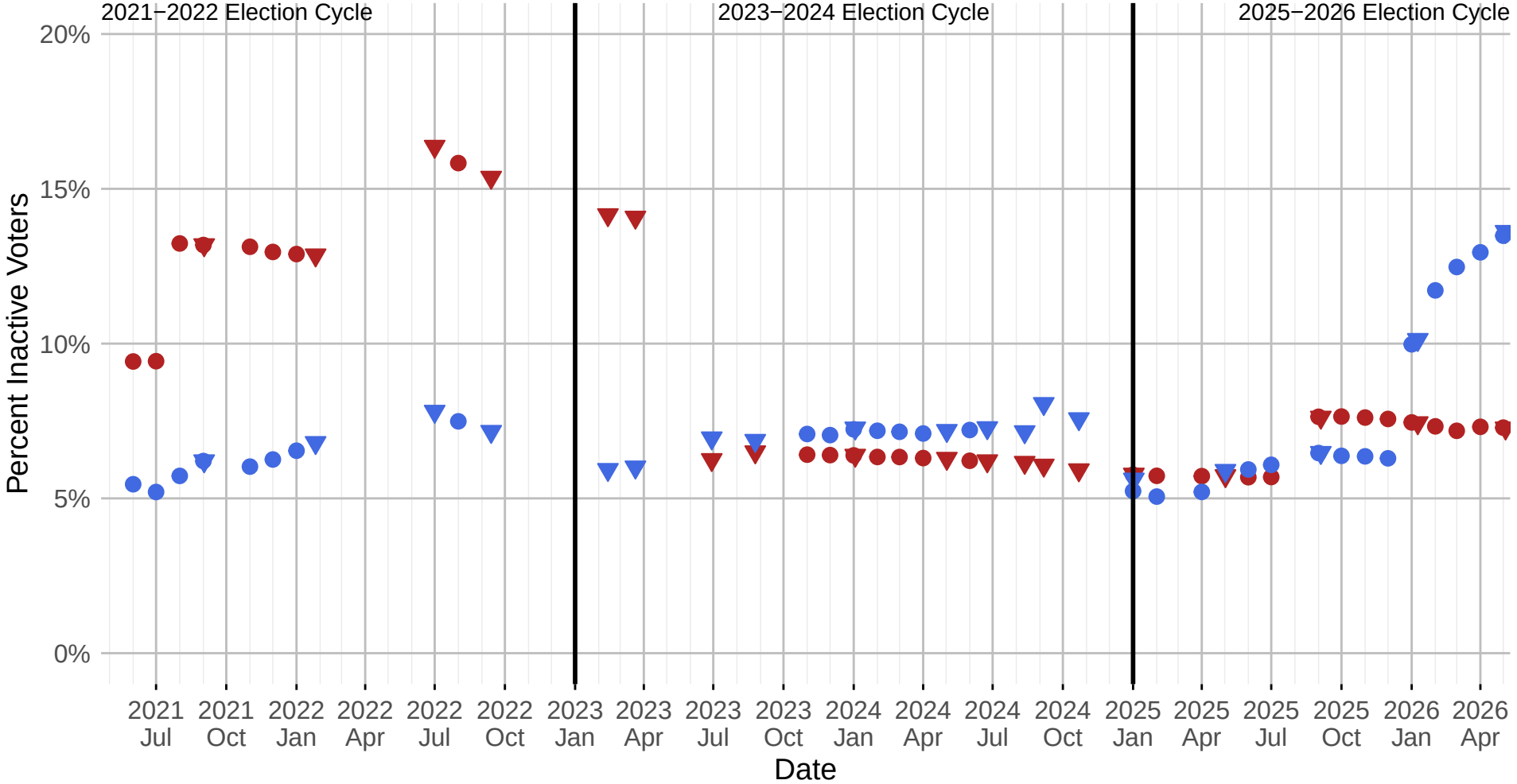

Source: Kansas Secretary of State Online Voter Registration Statistics Dashboard (circles); Voter Files (triangles)

efg 2026−05−21

Kansas Statewide Percent Inactive

Hamilton County Percent Inactive

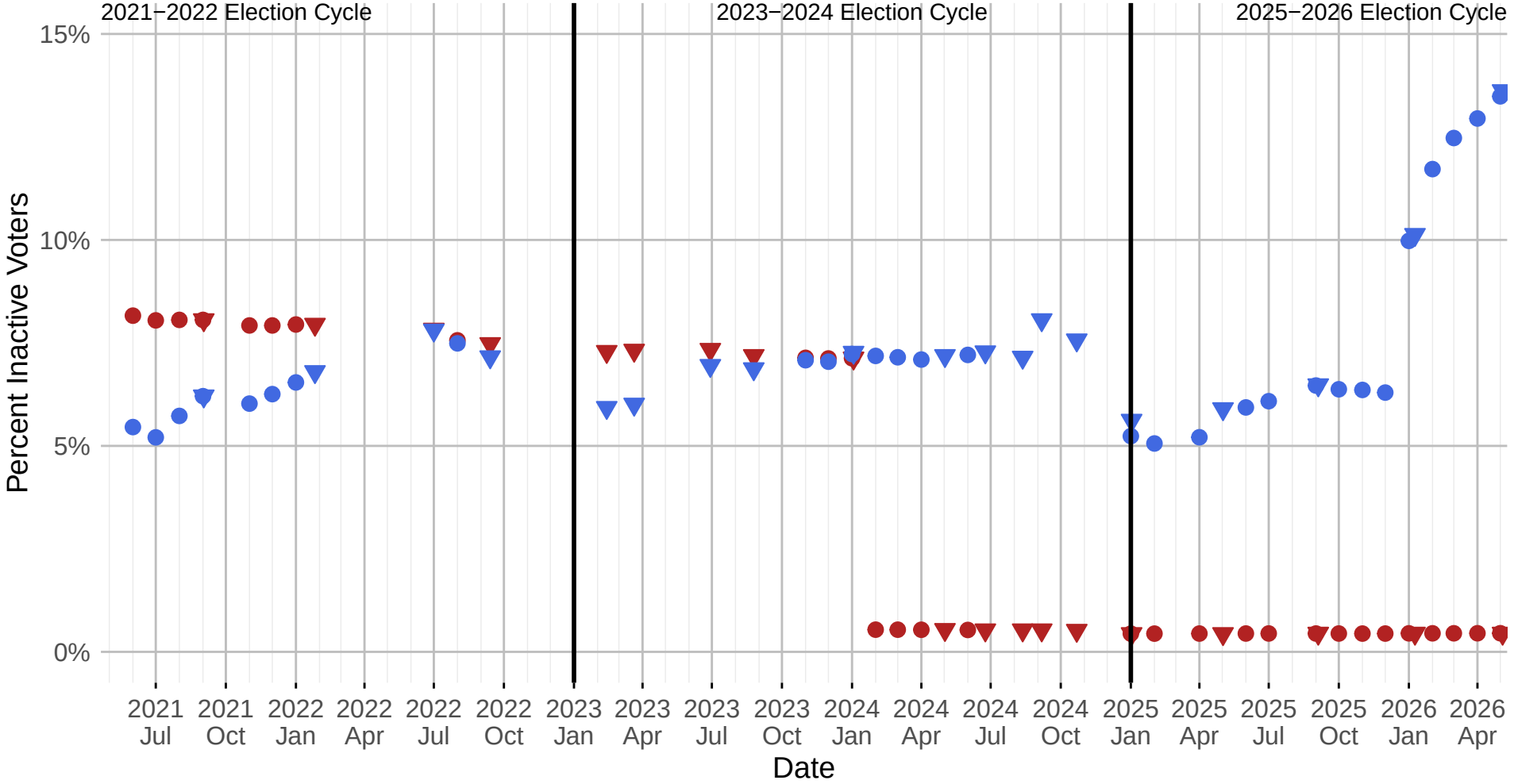

Source: Kansas Secretary of State Online Voter Registration Statistics Dashboard (circles); Voter Files (triangles)

efg 2026−05−21

Kansas Statewide Percent Inactive

Harper County Percent Inactive

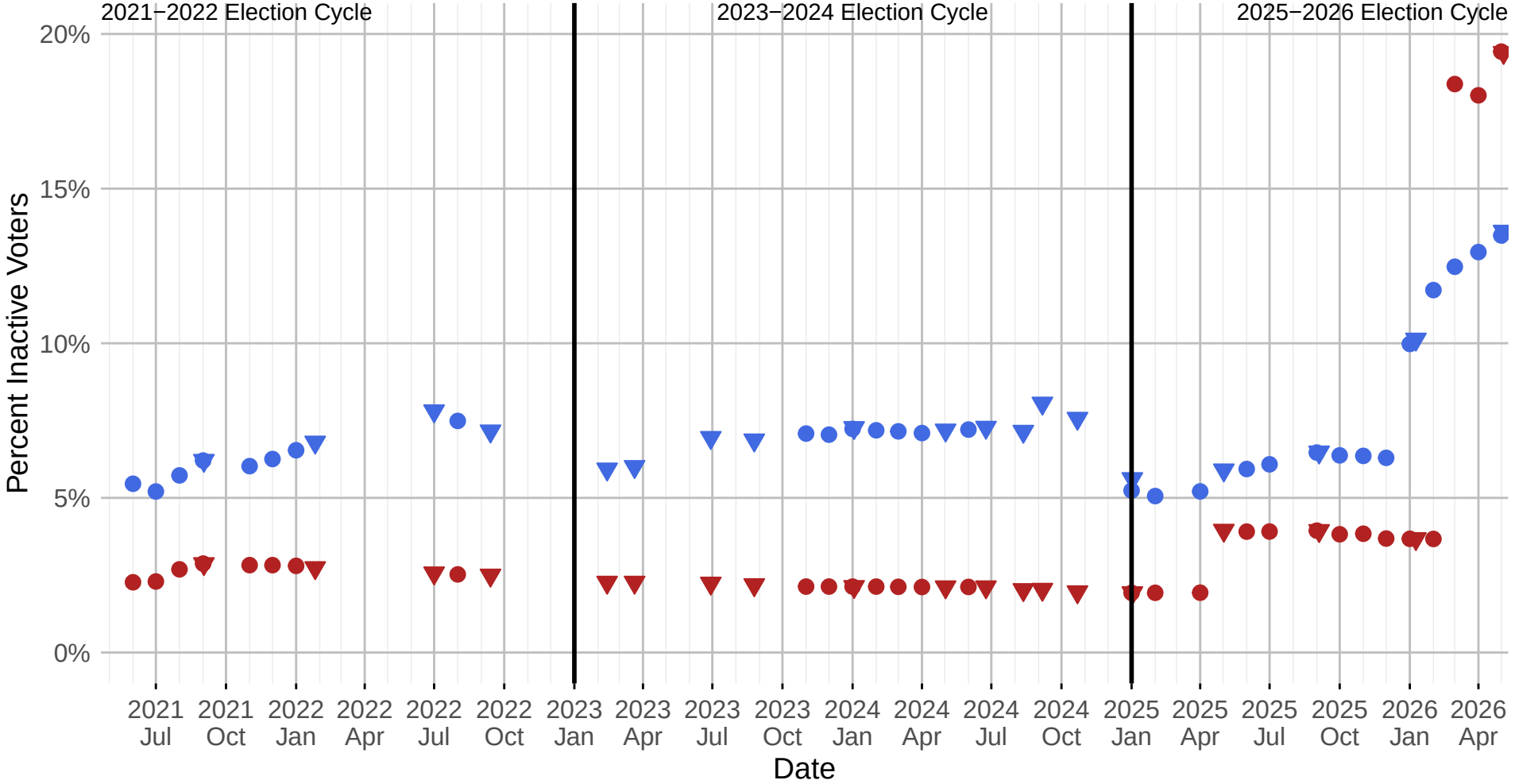

Source: Kansas Secretary of State Online Voter Registration Statistics Dashboard (circles); Voter Files (triangles)

efg 2026−05−21

Kansas Statewide Percent Inactive

Harvey County Percent Inactive

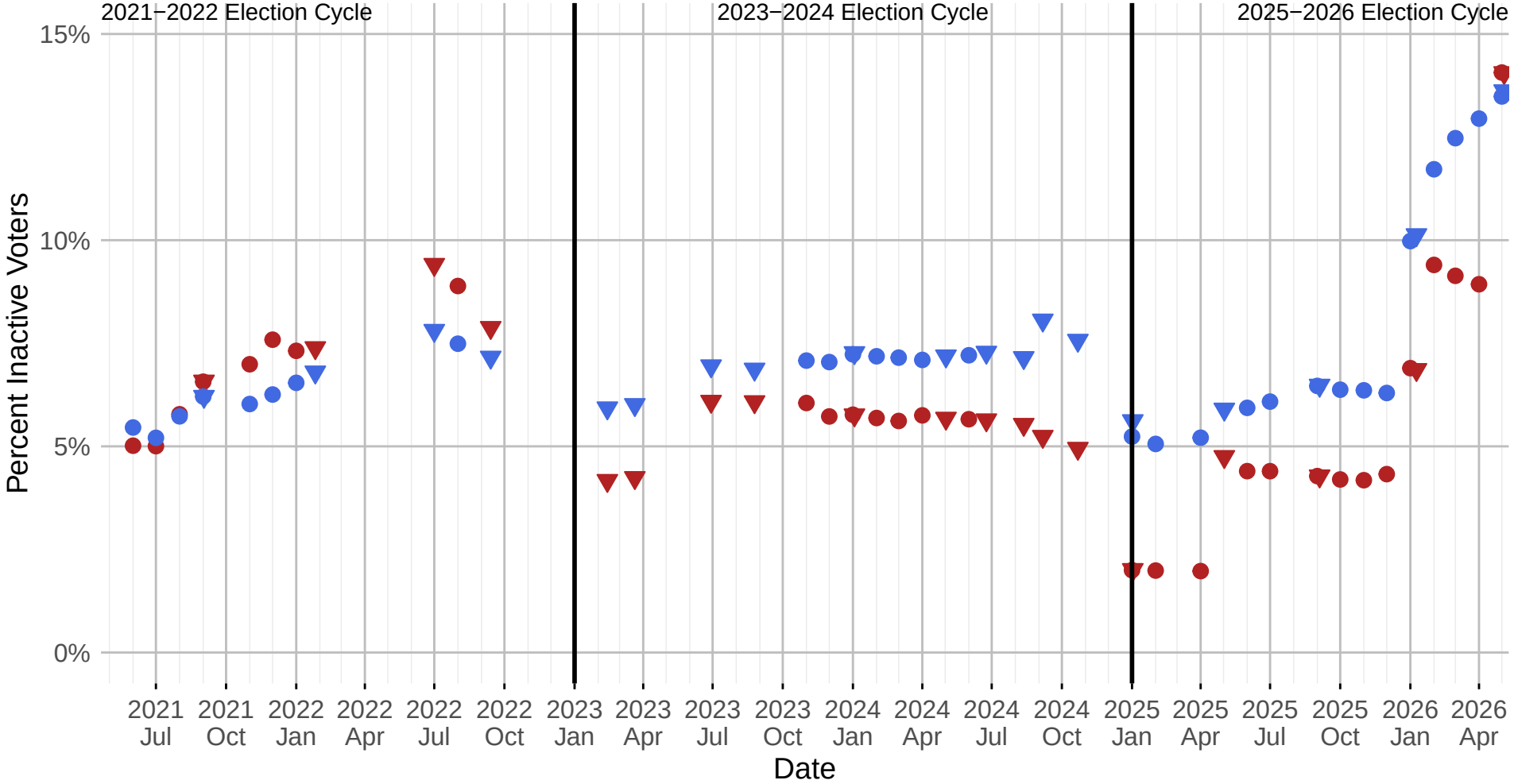

Source: Kansas Secretary of State Online Voter Registration Statistics Dashboard (circles); Voter Files (triangles)

efg 2026−05−21

Kansas Statewide Percent Inactive

Haskell County Percent Inactive

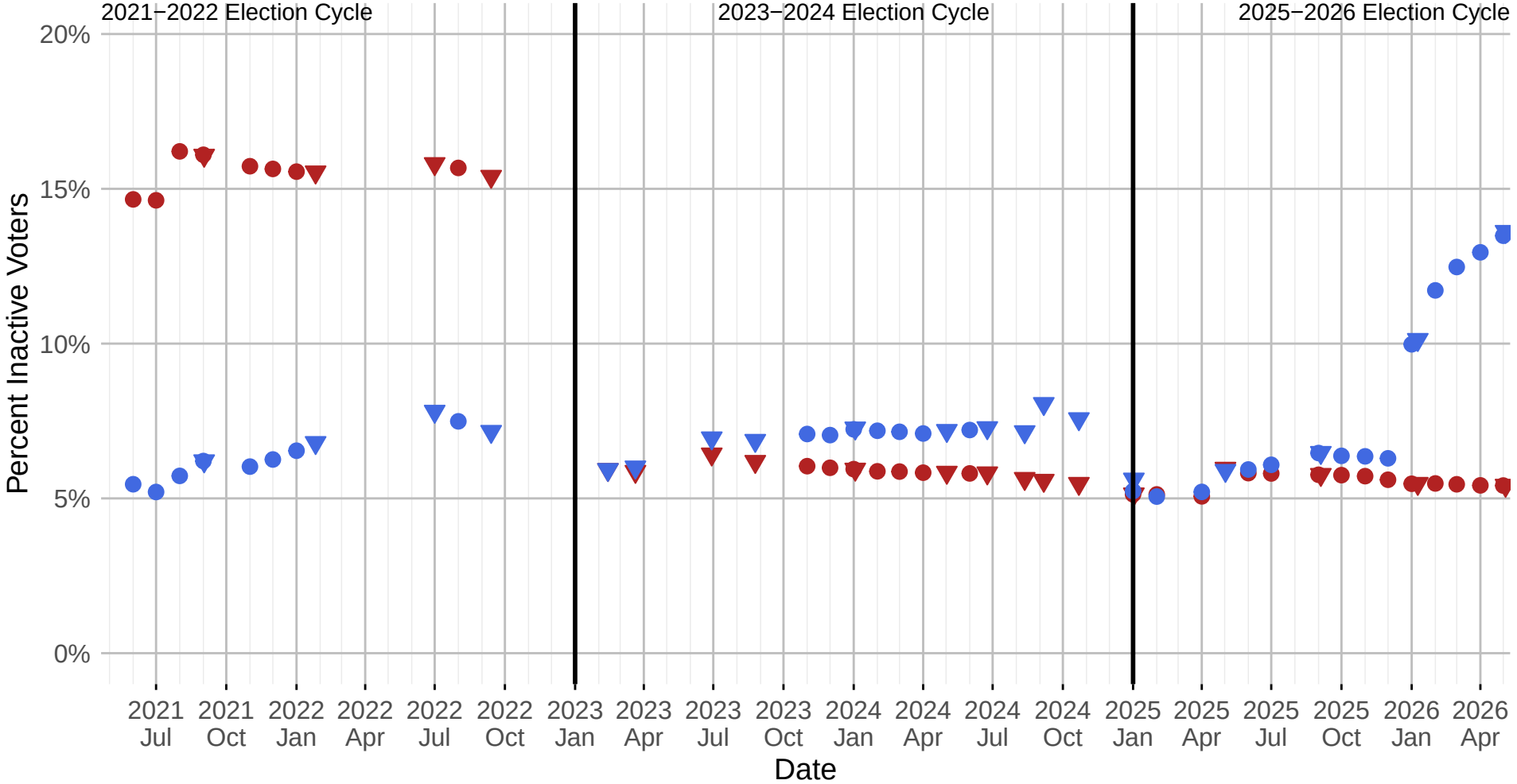

Source: Kansas Secretary of State Online Voter Registration Statistics Dashboard (circles); Voter Files (triangles)

efg 2026−05−21

Kansas Statewide Percent Inactive

Hodgeman County Percent Inactive

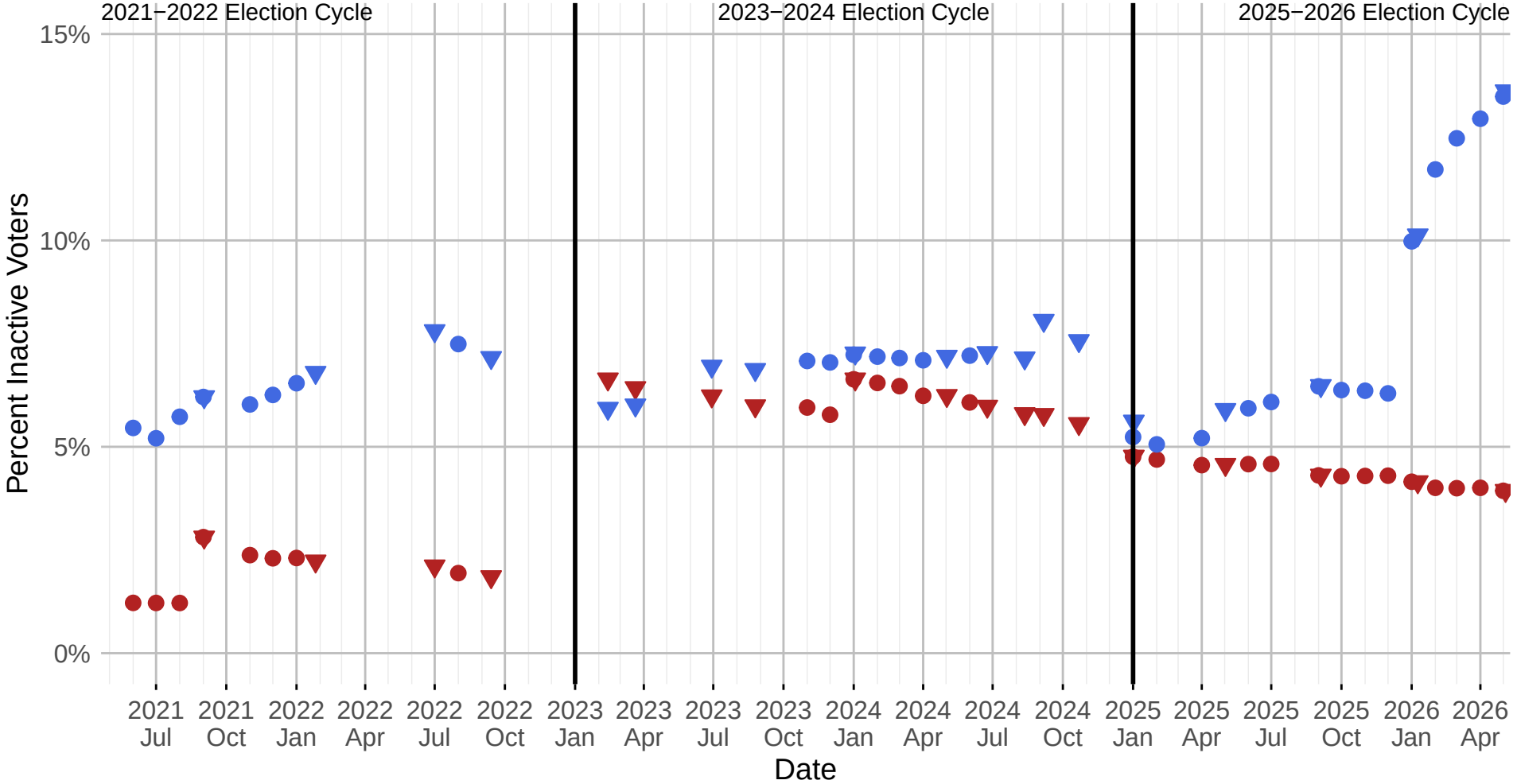

Source: Kansas Secretary of State Online Voter Registration Statistics Dashboard (circles); Voter Files (triangles)

efg 2026−05−21

Kansas Statewide Percent Inactive

Jackson County Percent Inactive

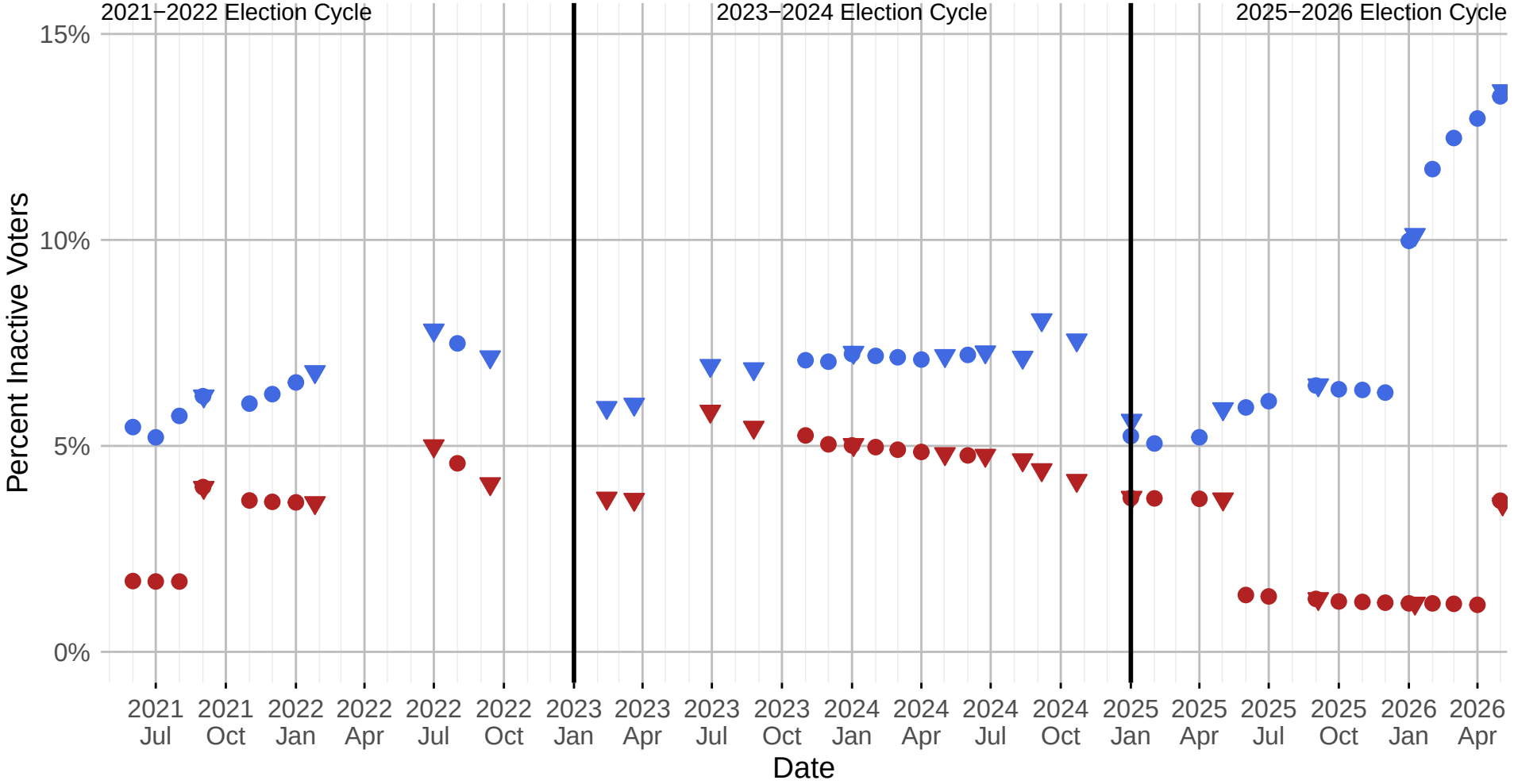

Source: Kansas Secretary of State Online Voter Registration Statistics Dashboard (circles); Voter Files (triangles)

efg 2026−05−21

Kansas Statewide Percent Inactive

Jefferson County Percent Inactive

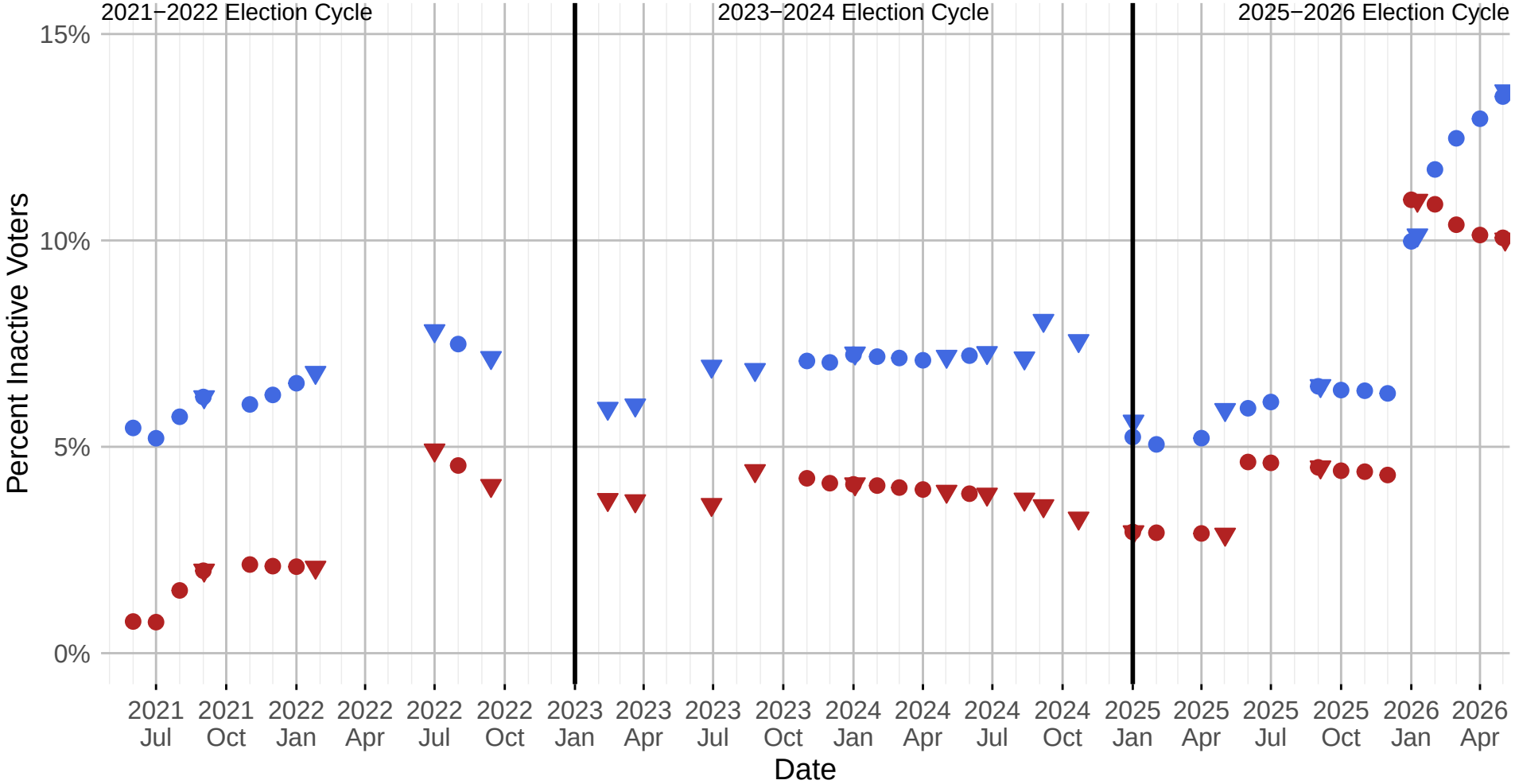

Source: Kansas Secretary of State Online Voter Registration Statistics Dashboard (circles); Voter Files (triangles)

efg 2026−05−21

Kansas Statewide Percent Inactive

Jewell County Percent Inactive

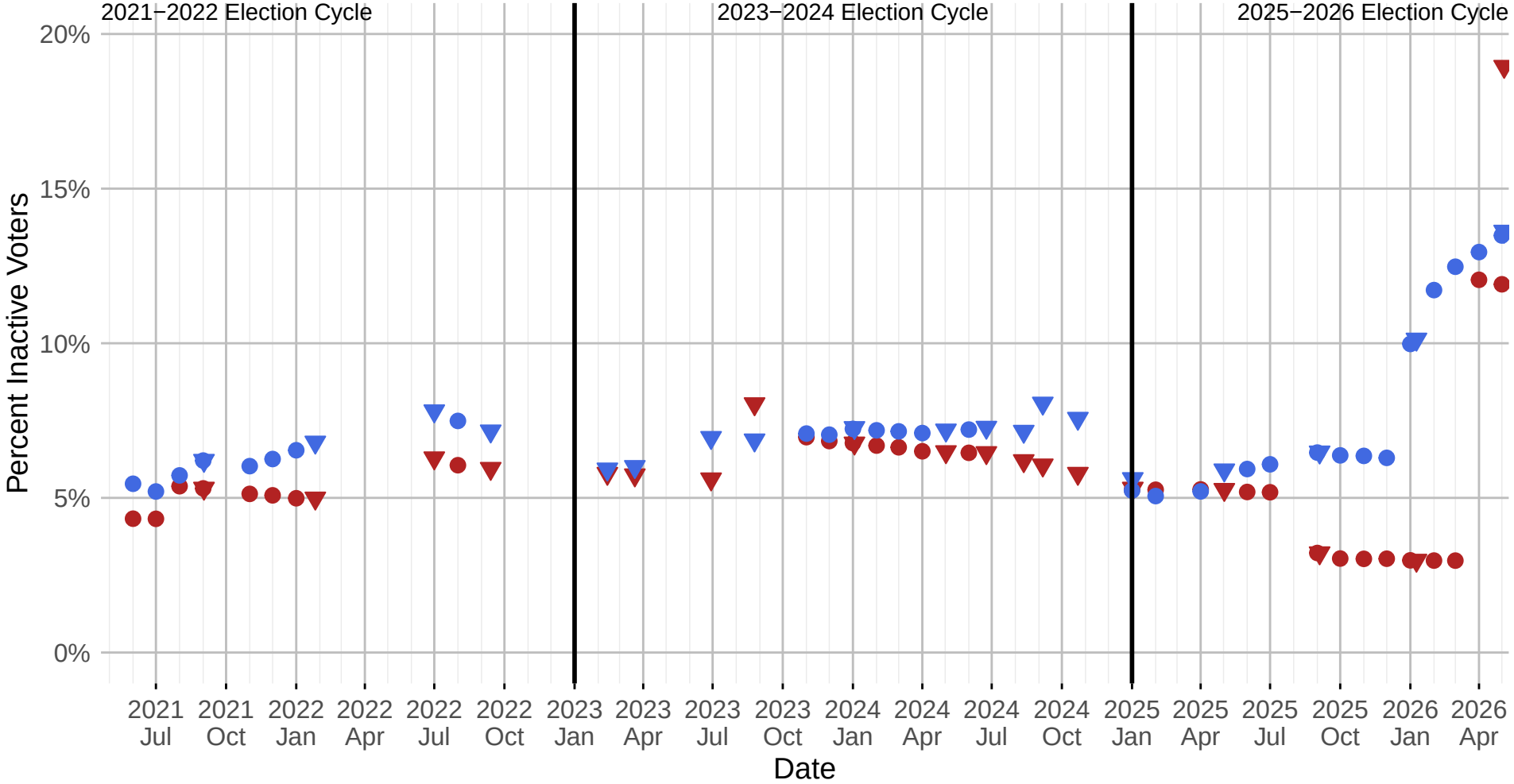

Source: Kansas Secretary of State Online Voter Registration Statistics Dashboard (circles); Voter Files (triangles)

efg 2026−05−21

Kansas Statewide Percent Inactive

Johnson County Percent Inactive

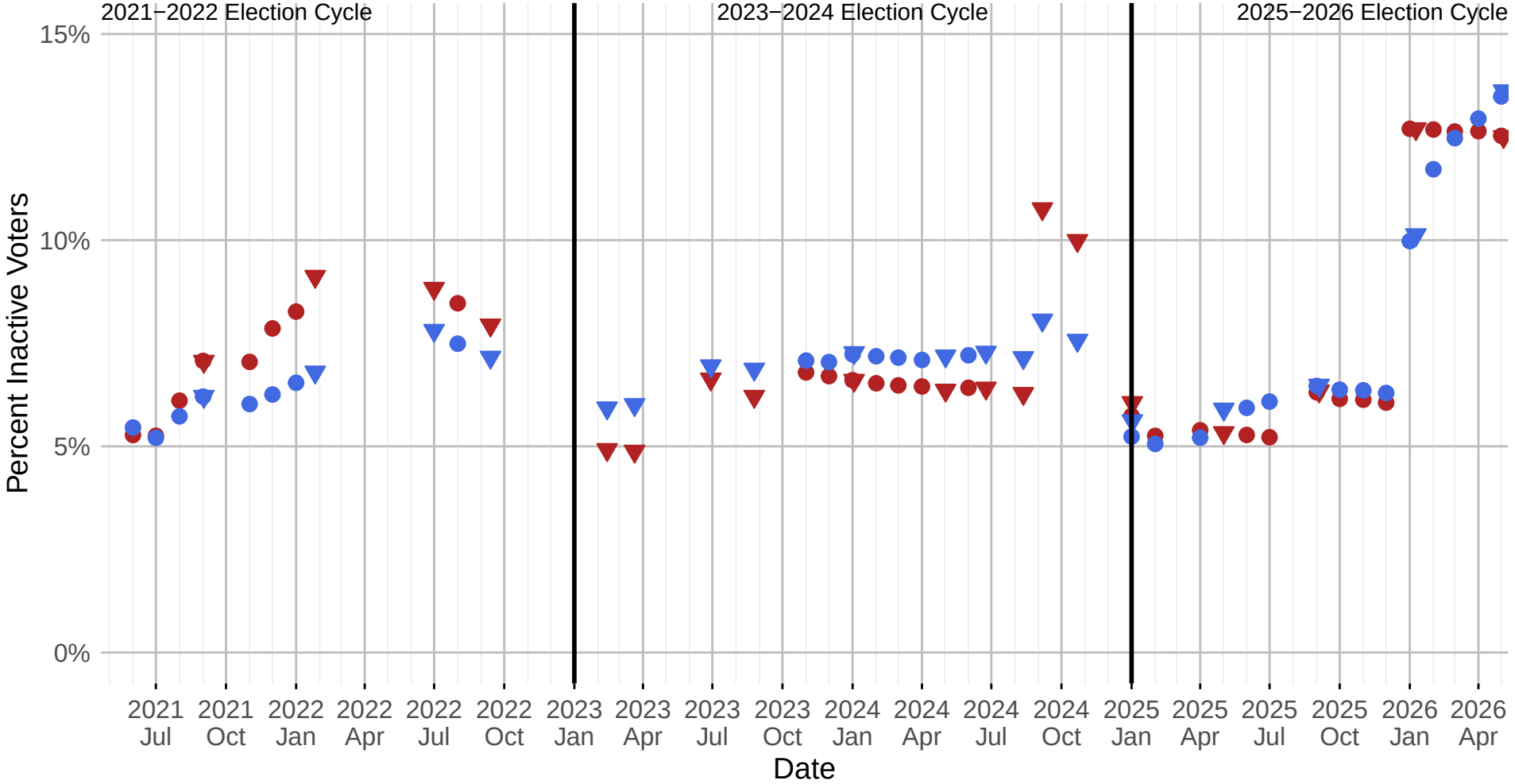

Source: Kansas Secretary of State Online Voter Registration Statistics Dashboard (circles); Voter Files (triangles)

efg 2026−05−21

Kansas Statewide Percent Inactive

Kearny County Percent Inactive

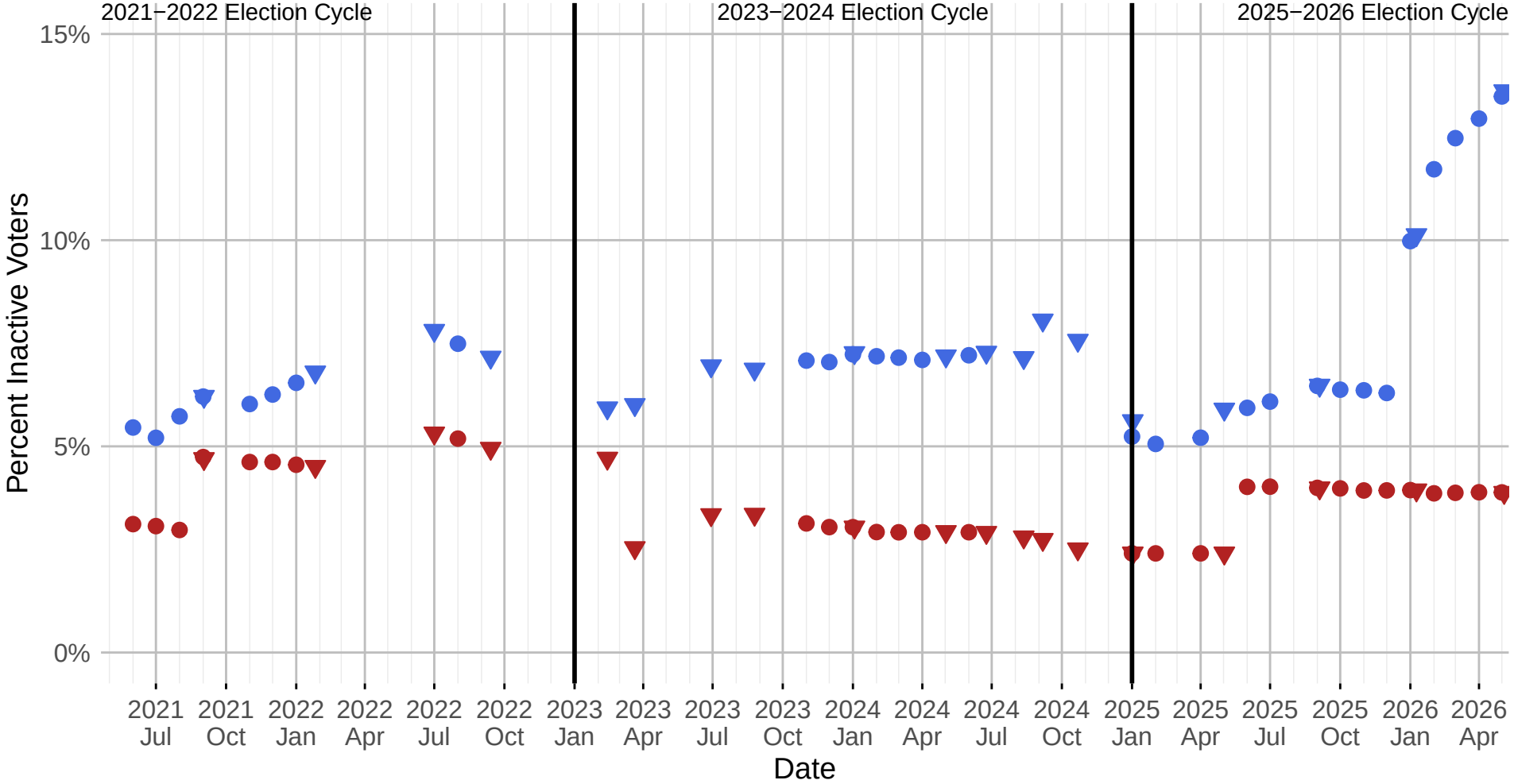

Source: Kansas Secretary of State Online Voter Registration Statistics Dashboard (circles); Voter Files (triangles)

efg 2026−05−21

Kansas Statewide Percent Inactive

Kingman County Percent Inactive

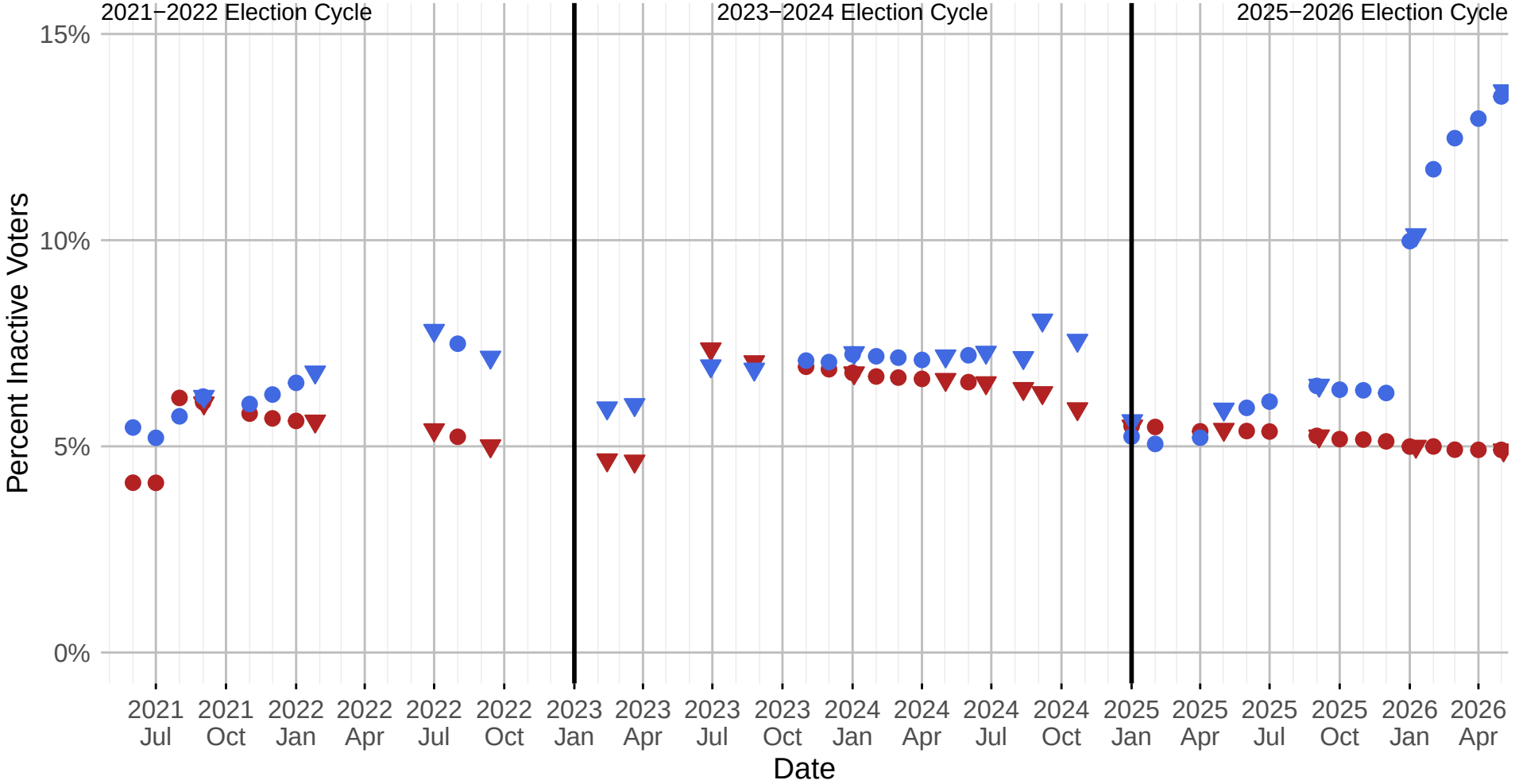

Source: Kansas Secretary of State Online Voter Registration Statistics Dashboard (circles); Voter Files (triangles)

efg 2026−05−21

Kansas Statewide Percent Inactive

Kiowa County Percent Inactive

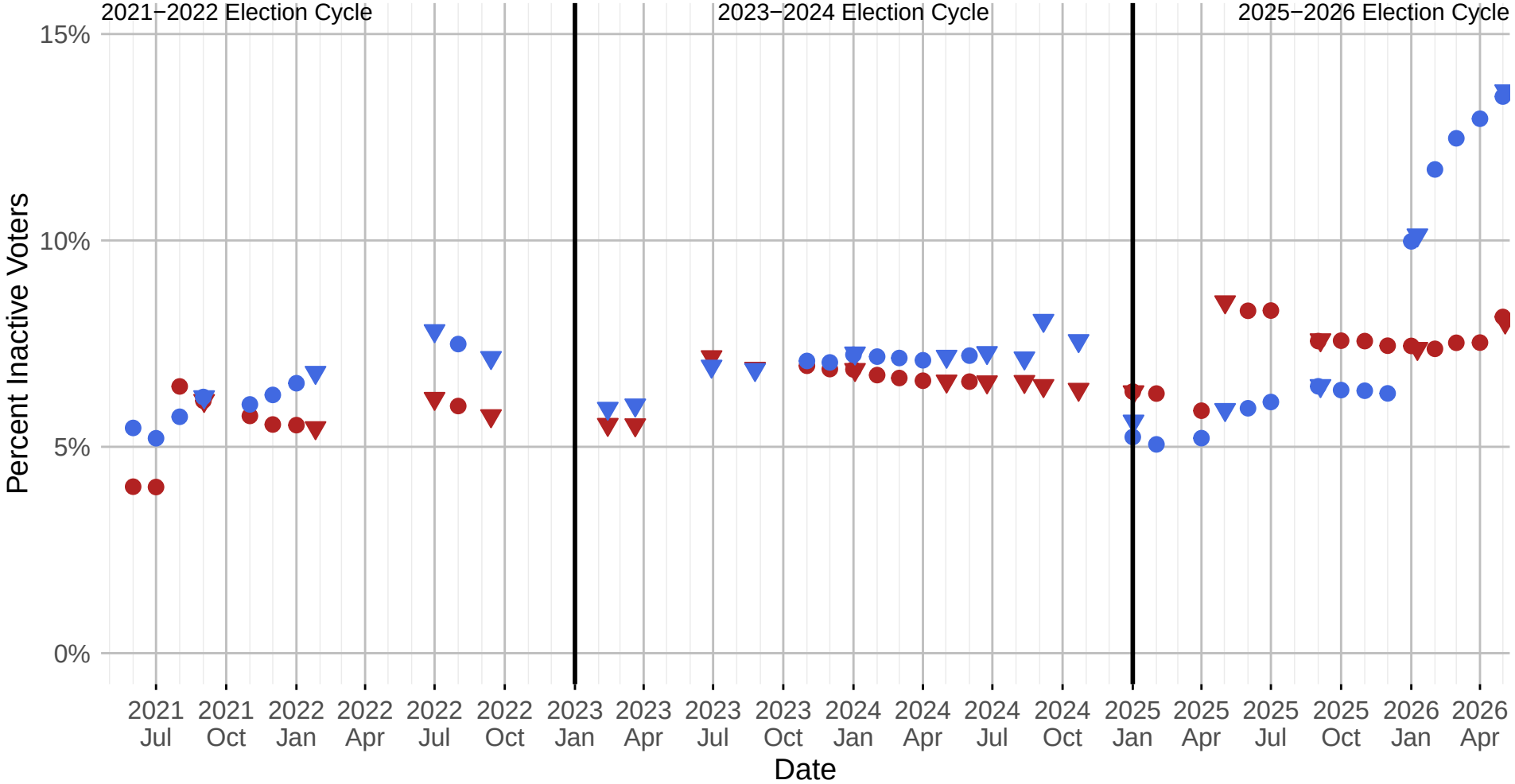

Source: Kansas Secretary of State Online Voter Registration Statistics Dashboard (circles); Voter Files (triangles)

efg 2026−05−21

Kansas Statewide Percent Inactive

Labette County Percent Inactive

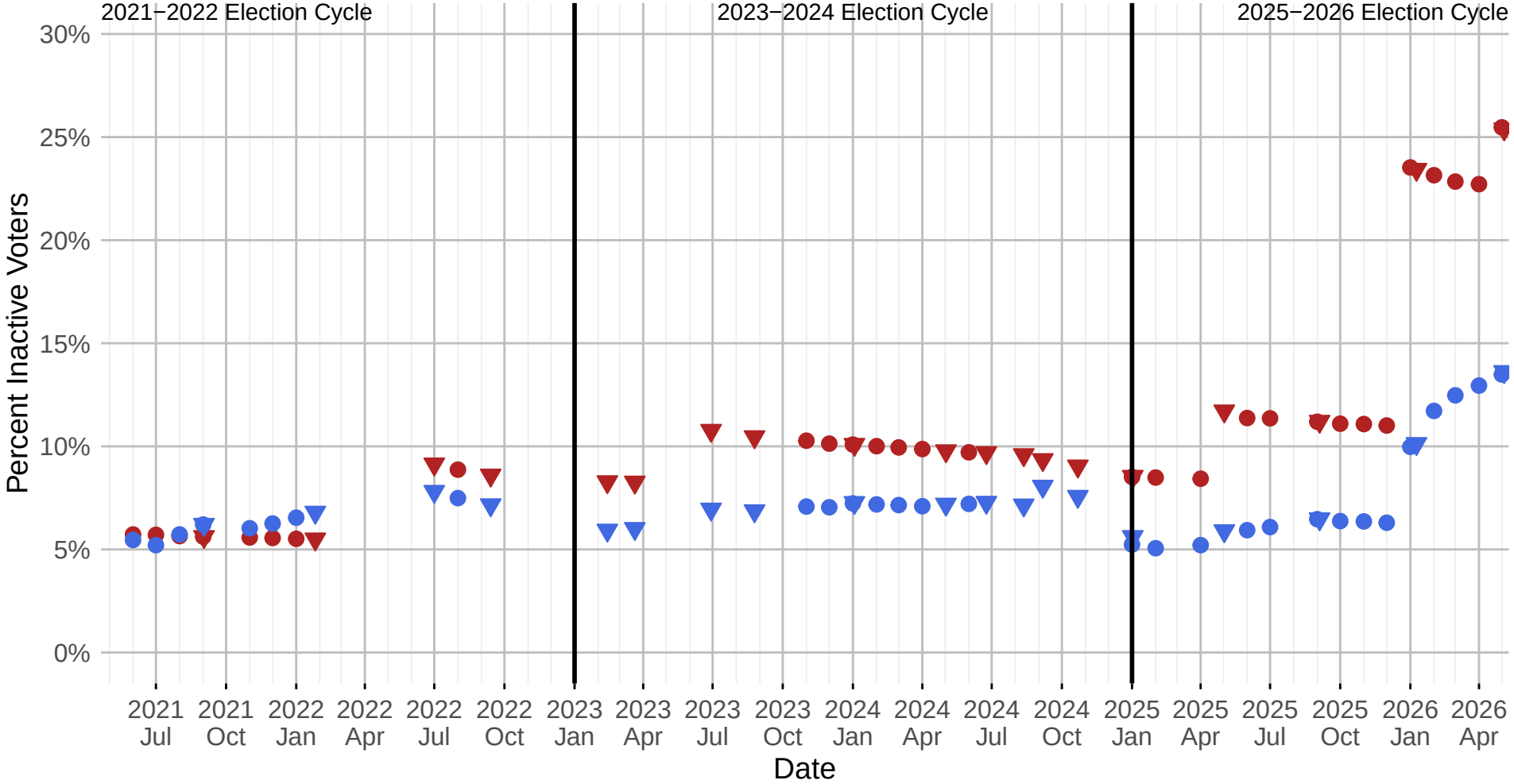

Source: Kansas Secretary of State Online Voter Registration Statistics Dashboard (circles); Voter Files (triangles)

efg 2026−05−21

Kansas Statewide Percent Inactive

Lane County Percent Inactive

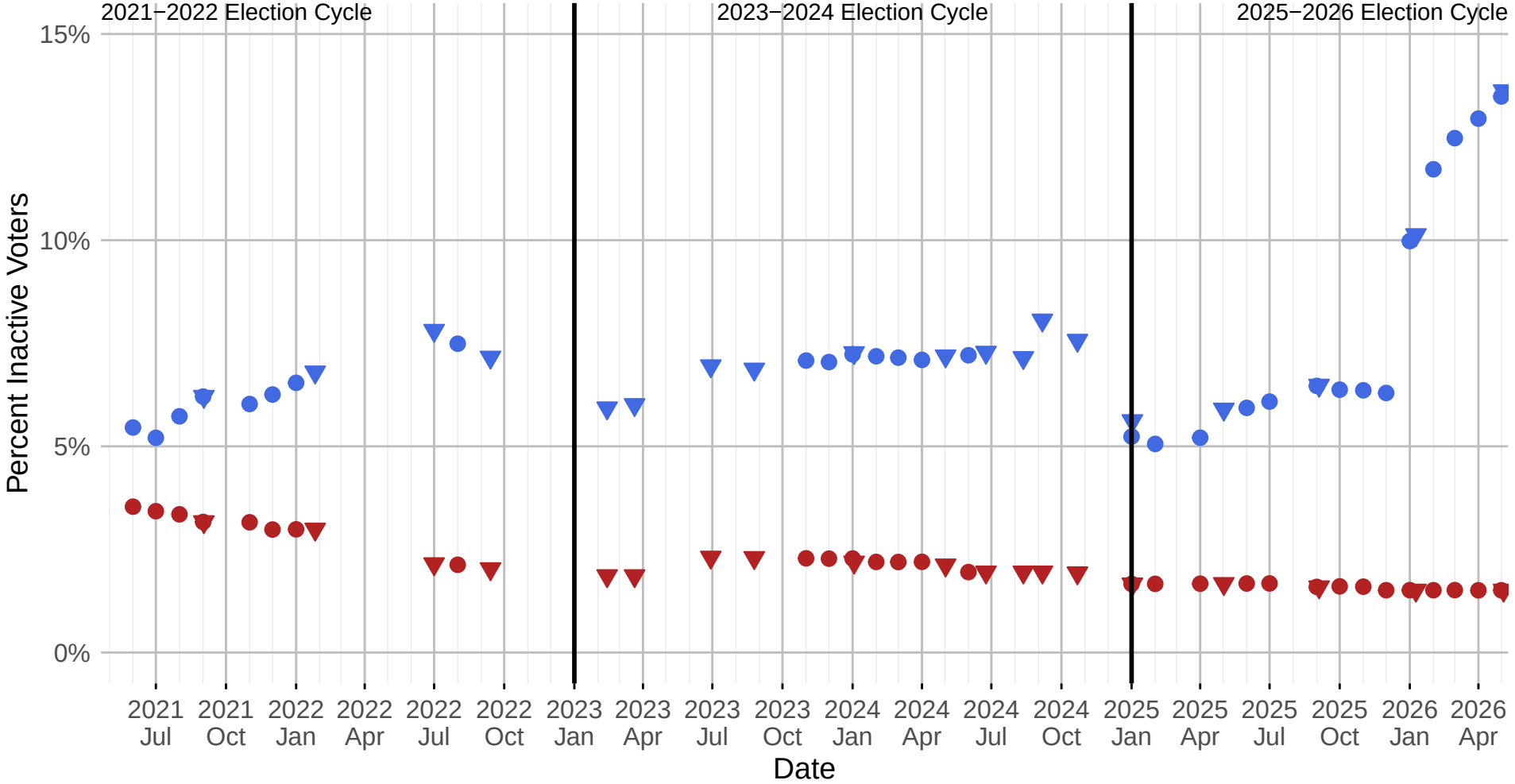

Source: Kansas Secretary of State Online Voter Registration Statistics Dashboard (circles); Voter Files (triangles)

efg 2026−05−21

Kansas Statewide Percent Inactive

Leavenworth County Percent Inactive

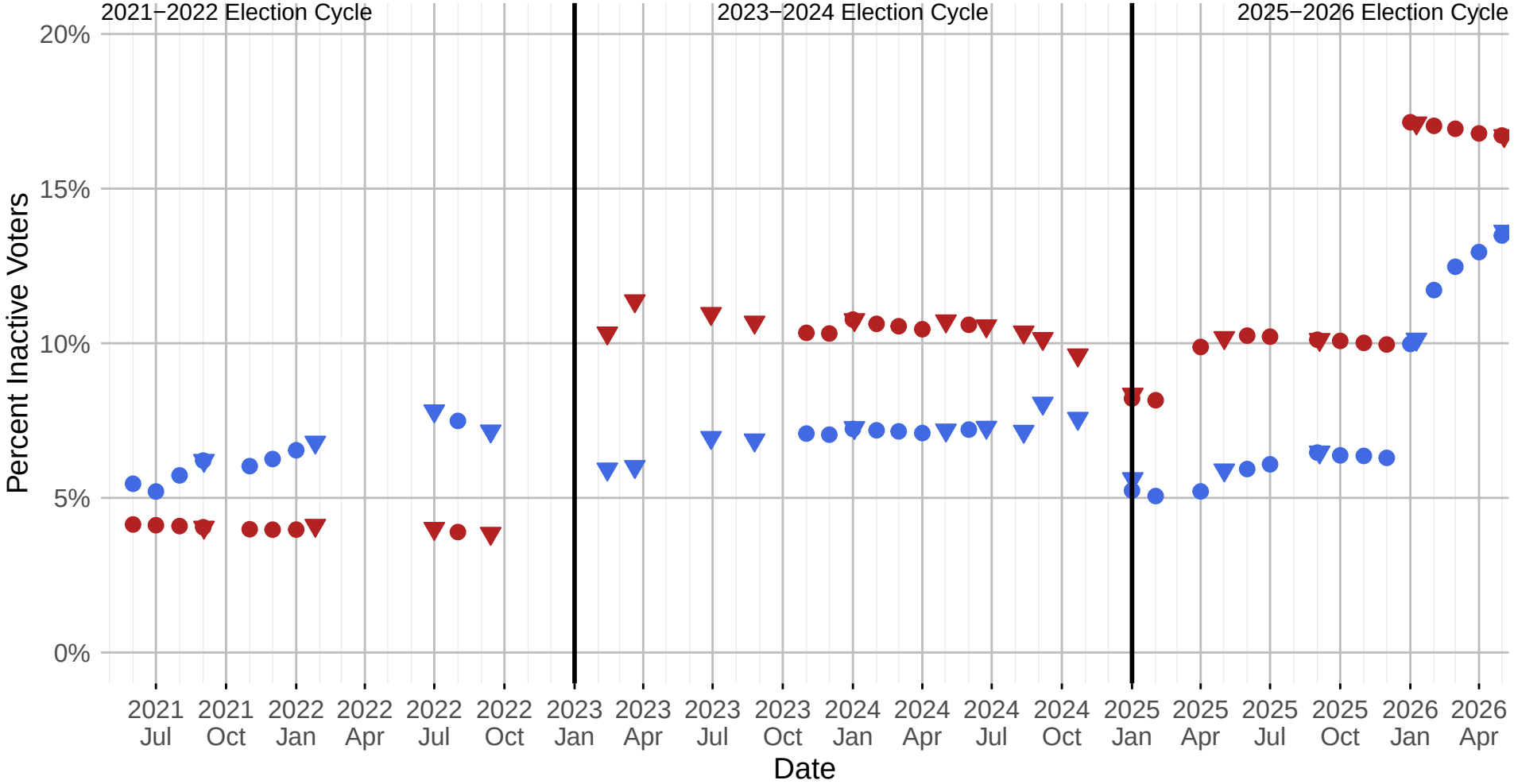

Source: Kansas Secretary of State Online Voter Registration Statistics Dashboard (circles); Voter Files (triangles)

efg 2026−05−21

Kansas Statewide Percent Inactive

Lincoln County Percent Inactive

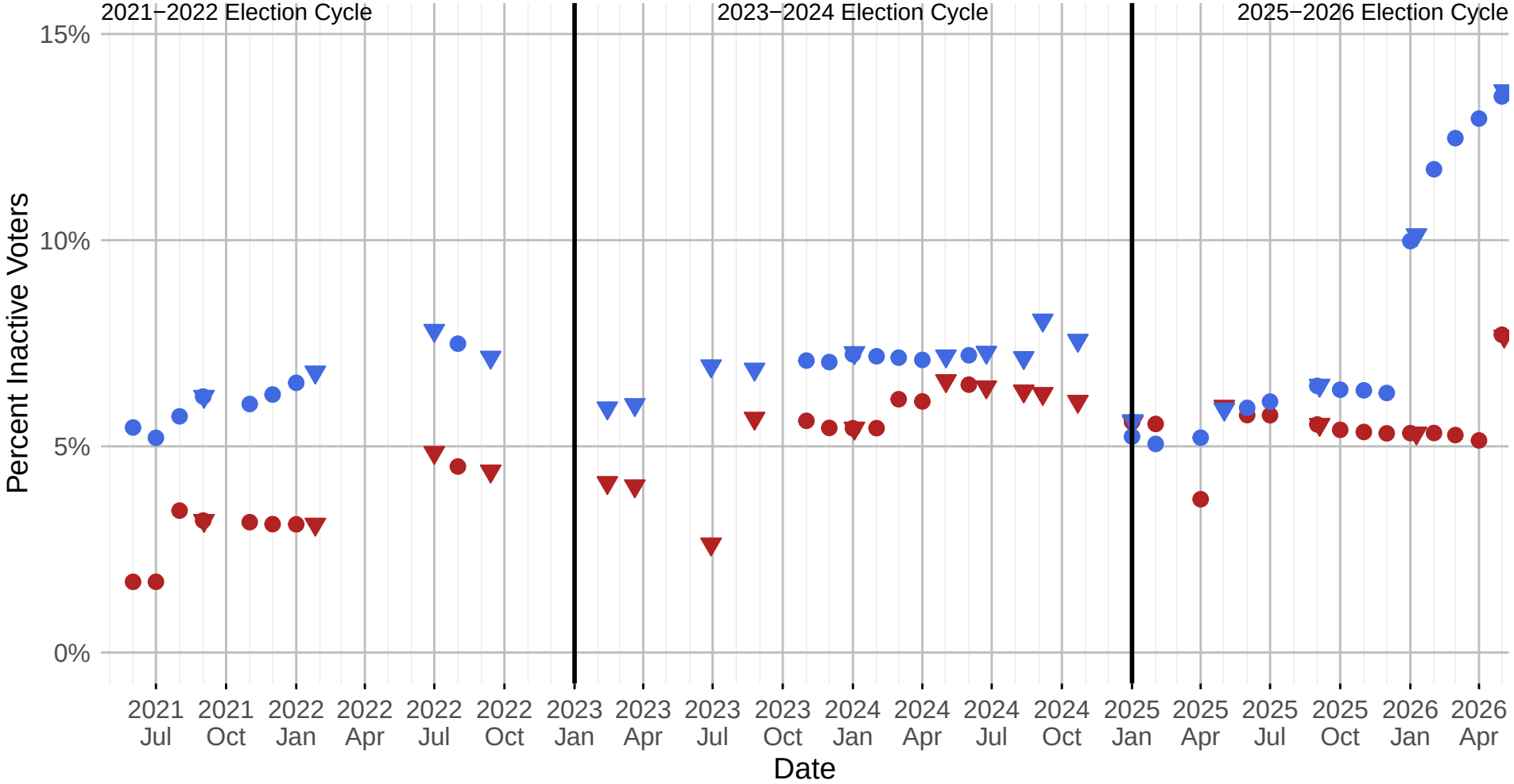

Source: Kansas Secretary of State Online Voter Registration Statistics Dashboard (circles); Voter Files (triangles)

efg 2026−05−21

Kansas Statewide Percent Inactive

Linn County Percent Inactive

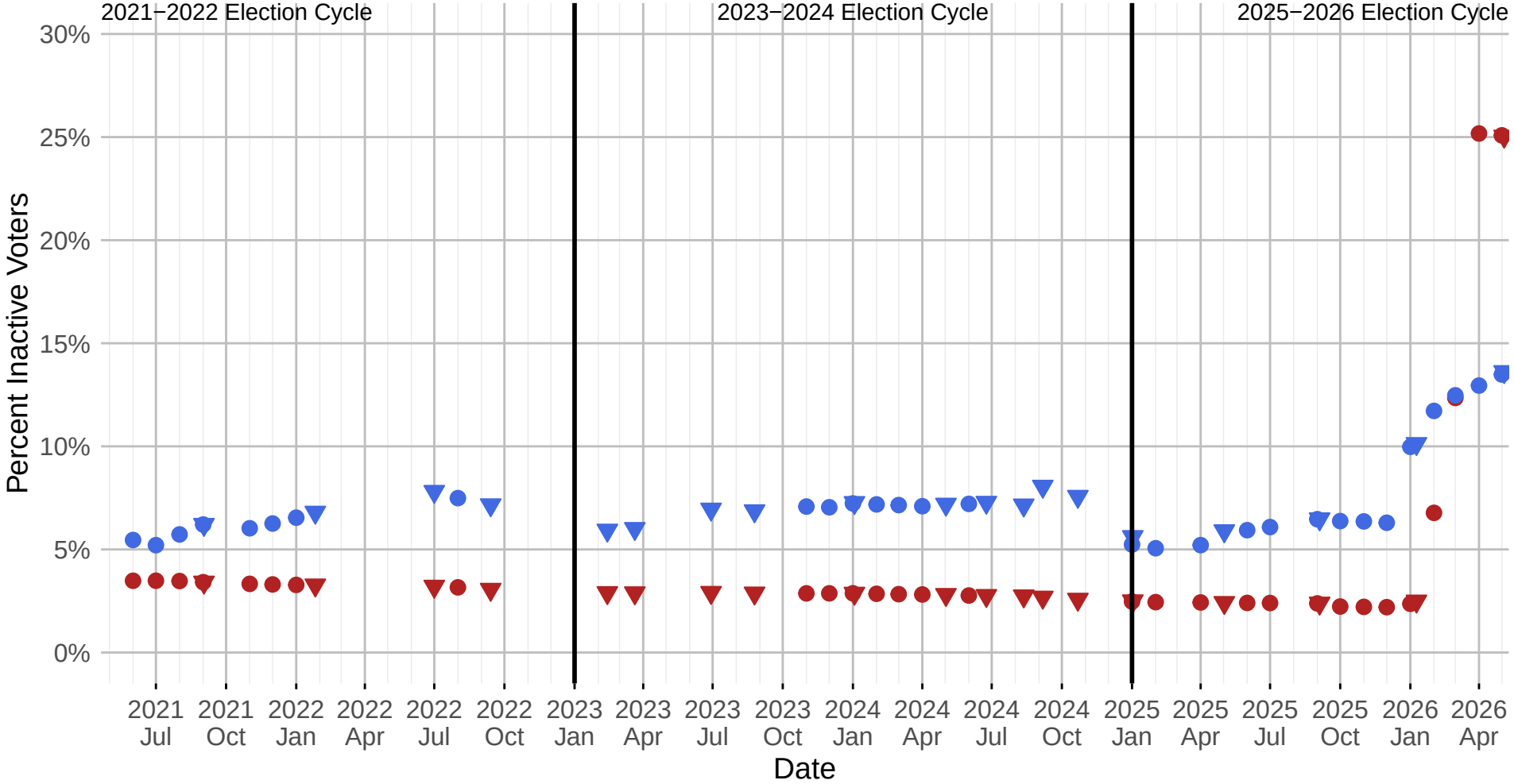

Source: Kansas Secretary of State Online Voter Registration Statistics Dashboard (circles); Voter Files (triangles)

efg 2026−05−21

Kansas Statewide Percent Inactive

Logan County Percent Inactive

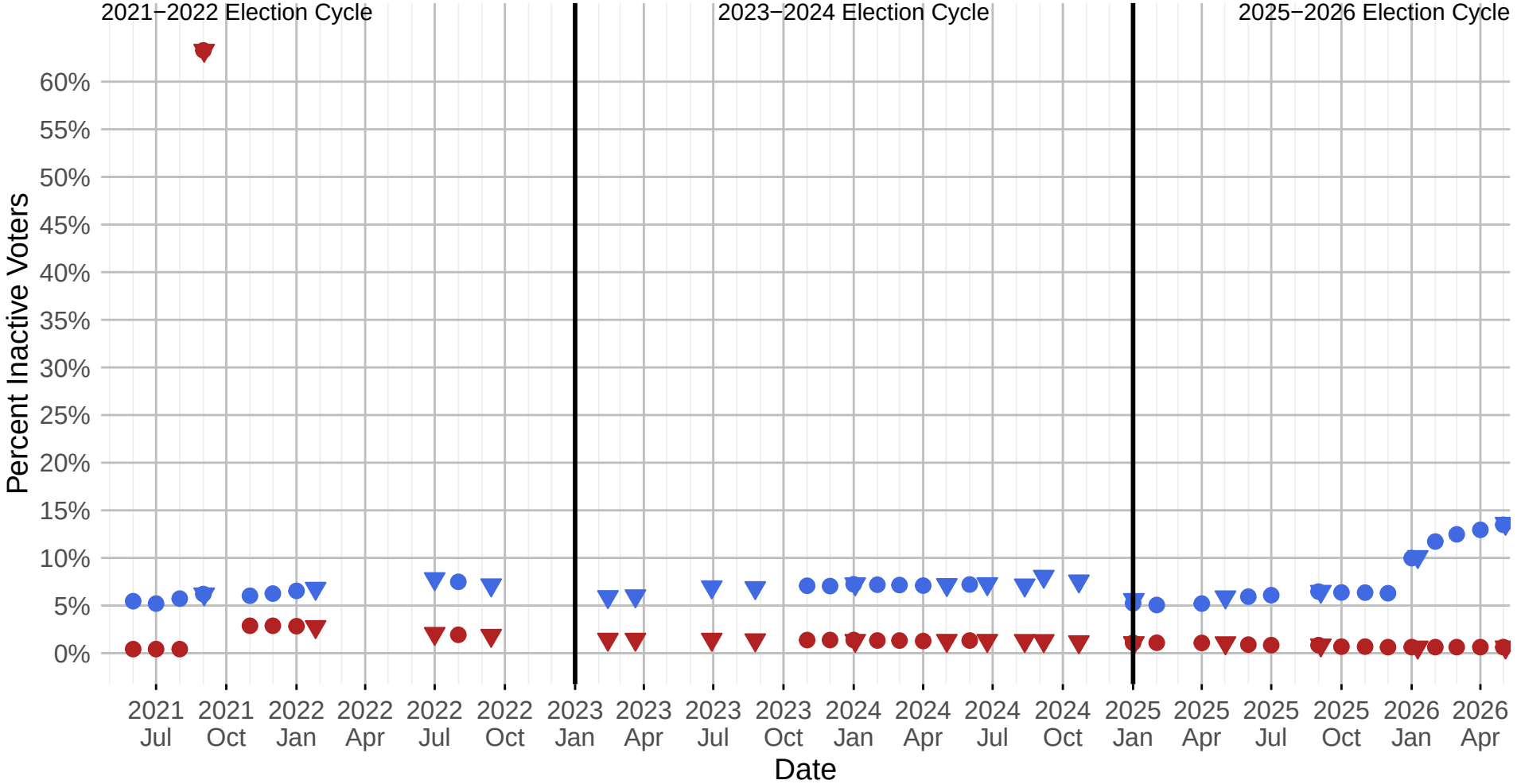

Source: Kansas Secretary of State Online Voter Registration Statistics Dashboard (circles); Voter Files (triangles)

efg 2026−05−21

Kansas Statewide Percent Inactive

Lyon County Percent Inactive

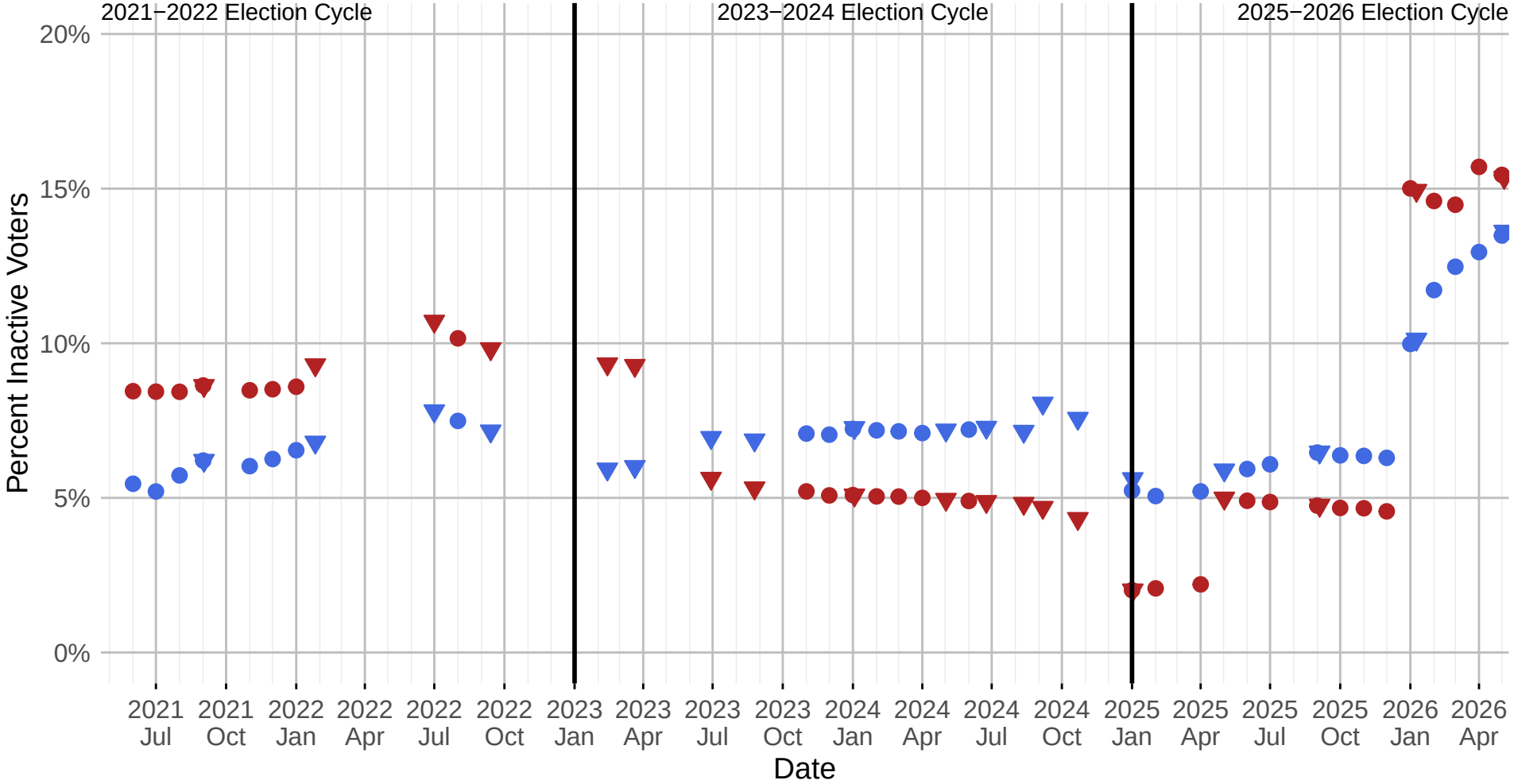

Source: Kansas Secretary of State Online Voter Registration Statistics Dashboard (circles); Voter Files (triangles)

efg 2026−05−21

Kansas Statewide Percent Inactive

Marion County Percent Inactive

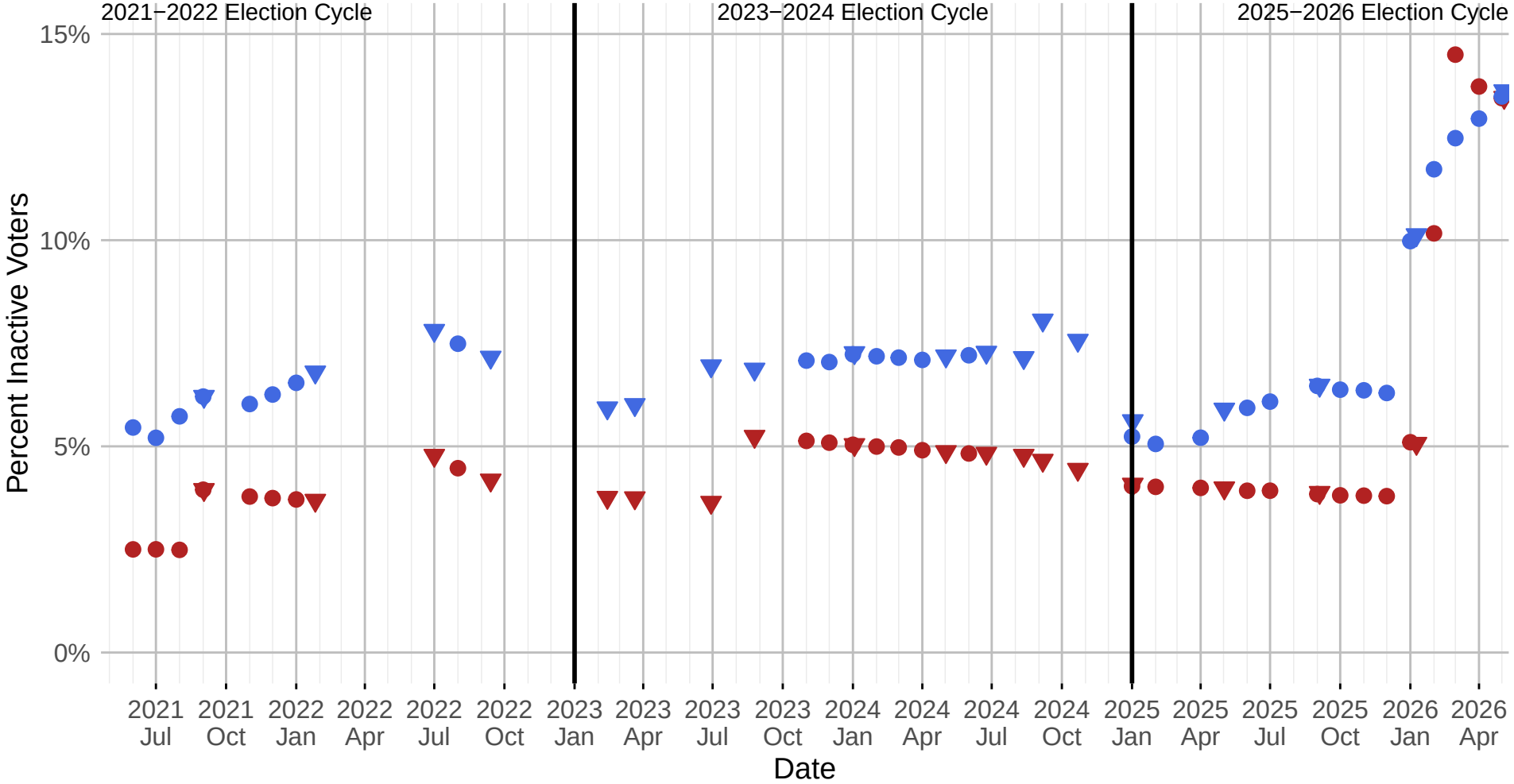

Source: Kansas Secretary of State Online Voter Registration Statistics Dashboard (circles); Voter Files (triangles)

efg 2026−05−21

Kansas Statewide Percent Inactive

Marshall County Percent Inactive

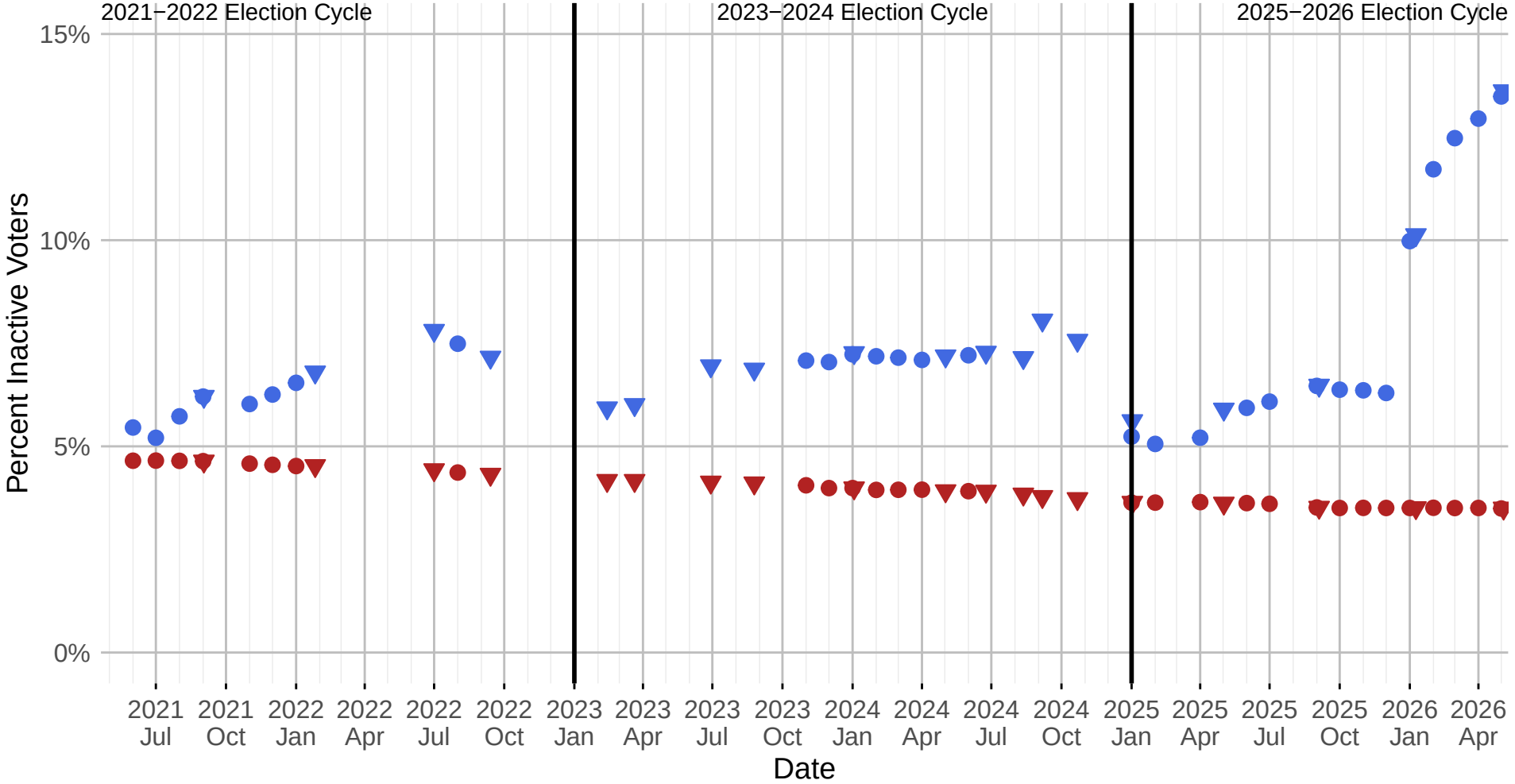

Source: Kansas Secretary of State Online Voter Registration Statistics Dashboard (circles); Voter Files (triangles)

efg 2026−05−21

Kansas Statewide Percent Inactive

McPherson County Percent Inactive

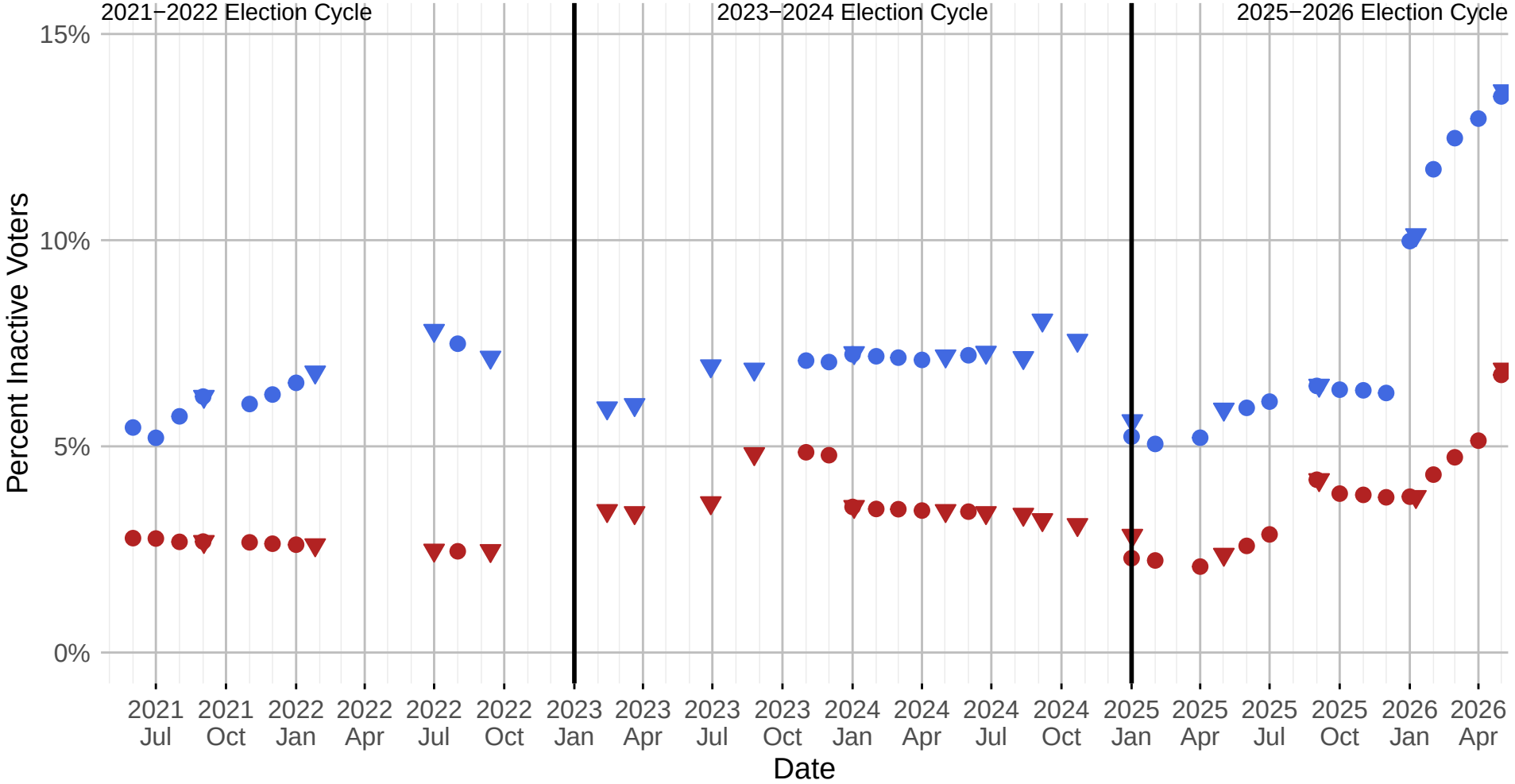

Source: Kansas Secretary of State Online Voter Registration Statistics Dashboard (circles); Voter Files (triangles)

efg 2026−05−21

Kansas Statewide Percent Inactive

Meade County Percent Inactive

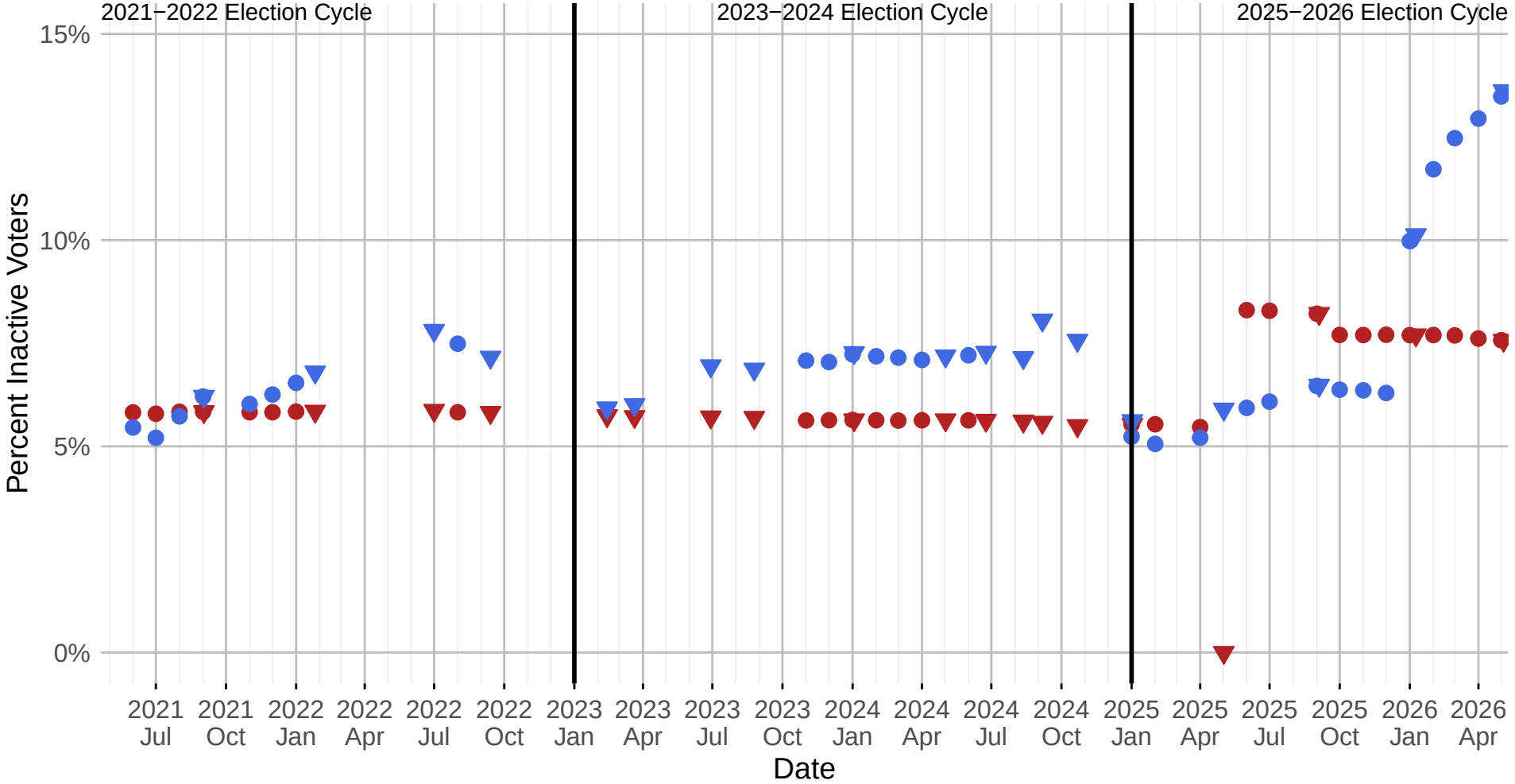

Source: Kansas Secretary of State Online Voter Registration Statistics Dashboard (circles); Voter Files (triangles)

efg 2026−05−21

Kansas Statewide Percent Inactive

Miami County Percent Inactive

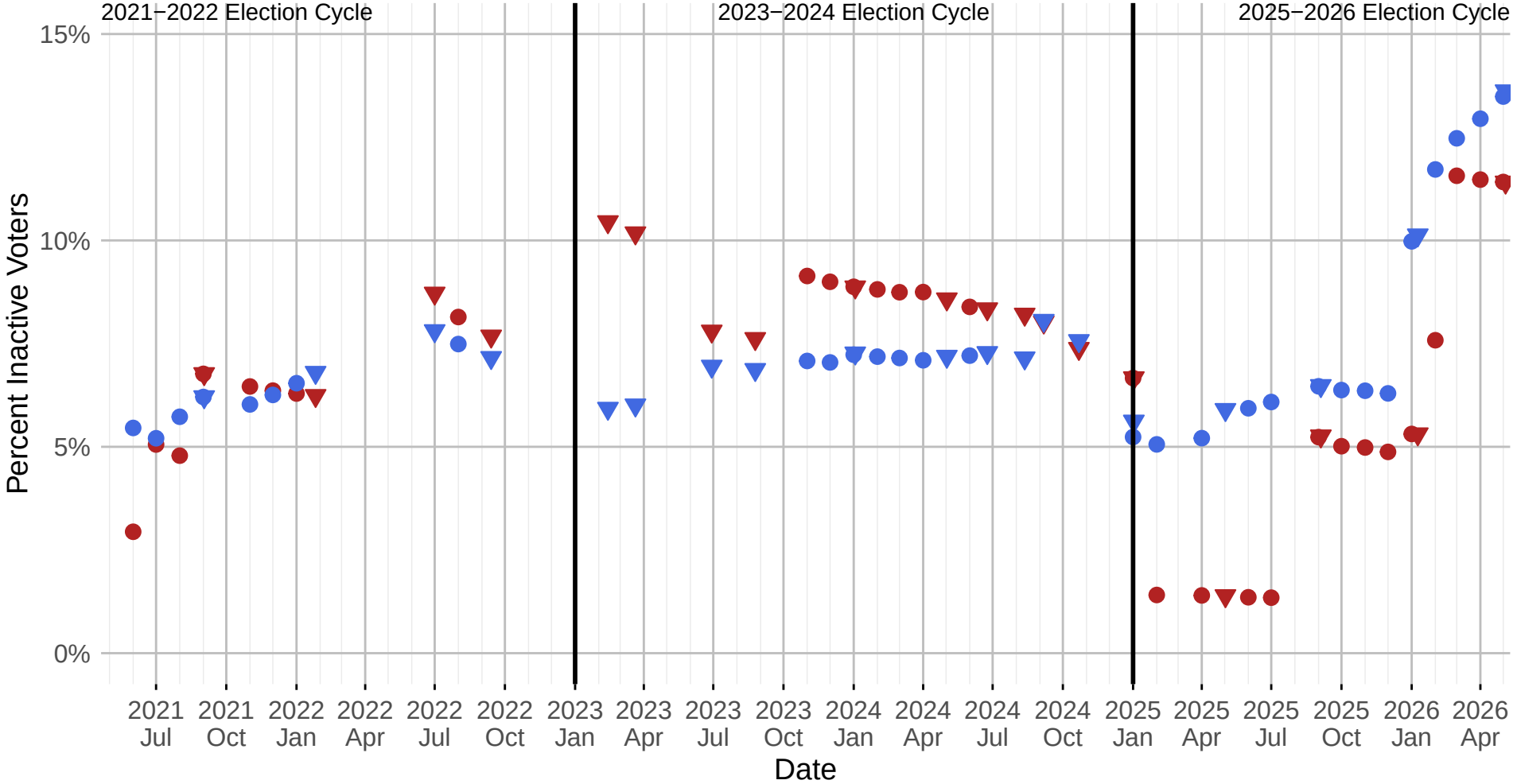

Source: Kansas Secretary of State Online Voter Registration Statistics Dashboard (circles); Voter Files (triangles)

efg 2026−05−21

Kansas Statewide Percent Inactive

Mitchell County Percent Inactive

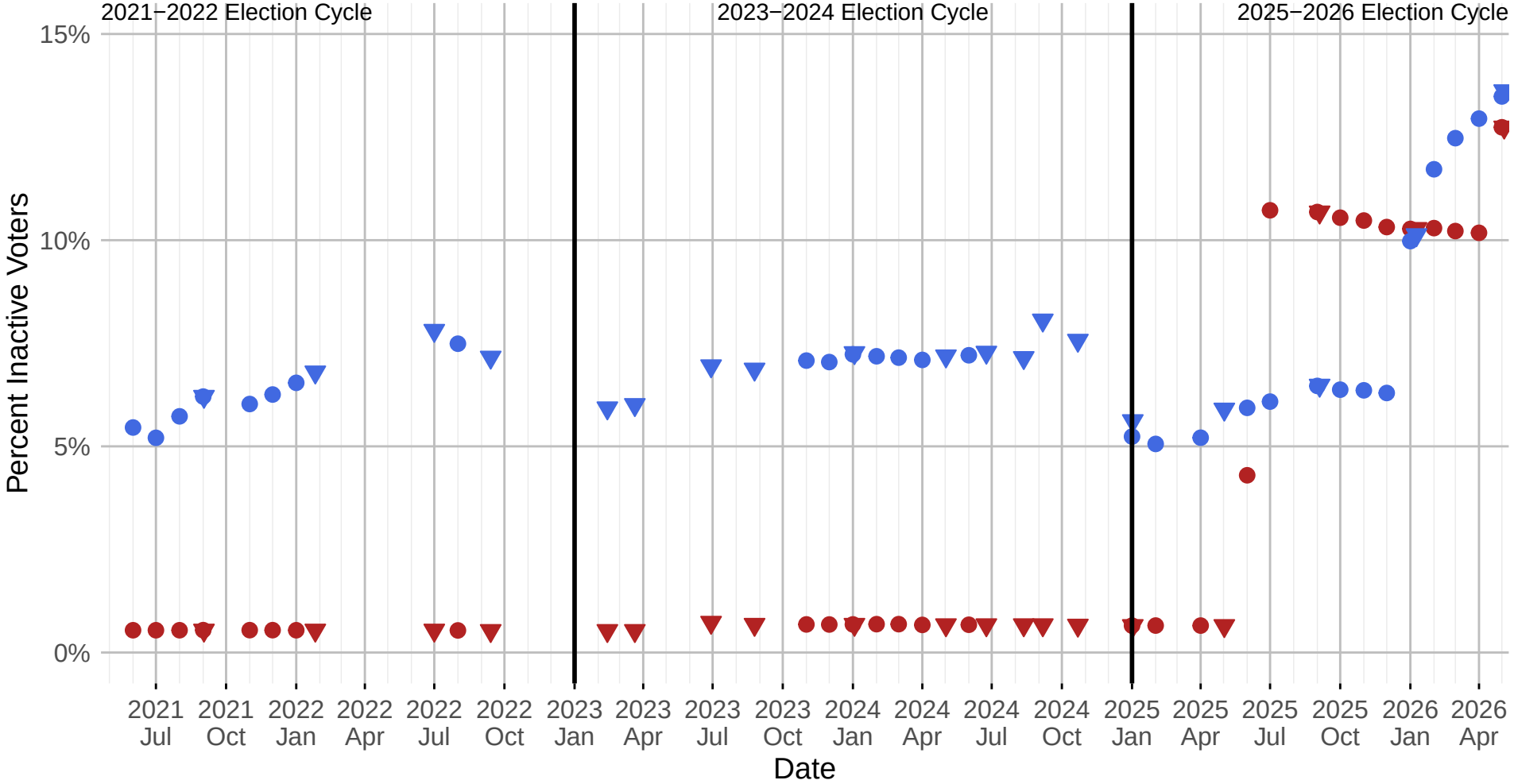

Source: Kansas Secretary of State Online Voter Registration Statistics Dashboard (circles); Voter Files (triangles)

efg 2026−05−21

Kansas Statewide Percent Inactive

Montgomery County Percent Inactive

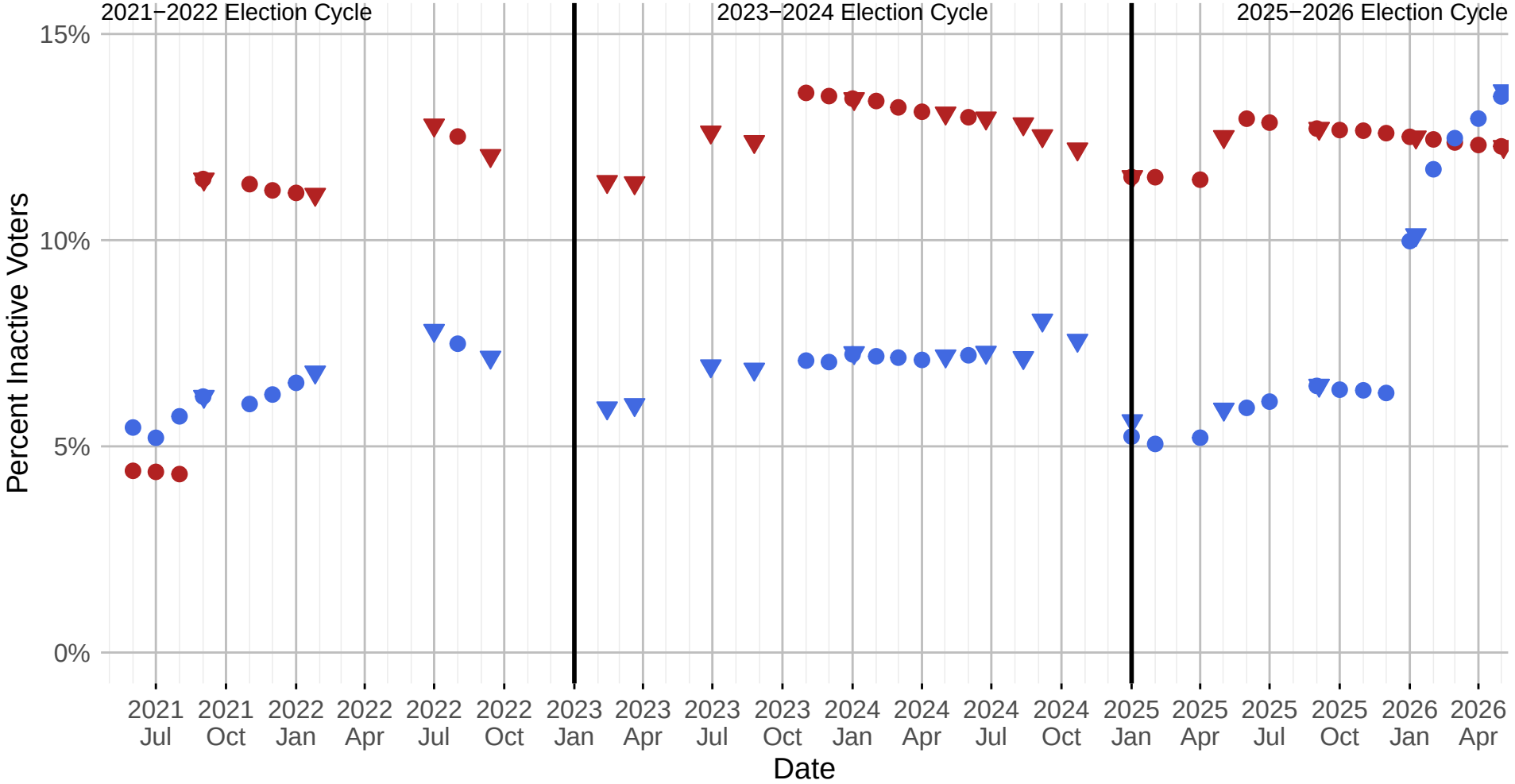

Source: Kansas Secretary of State Online Voter Registration Statistics Dashboard (circles); Voter Files (triangles)

efg 2026−05−21

Kansas Statewide Percent Inactive

Morris County Percent Inactive

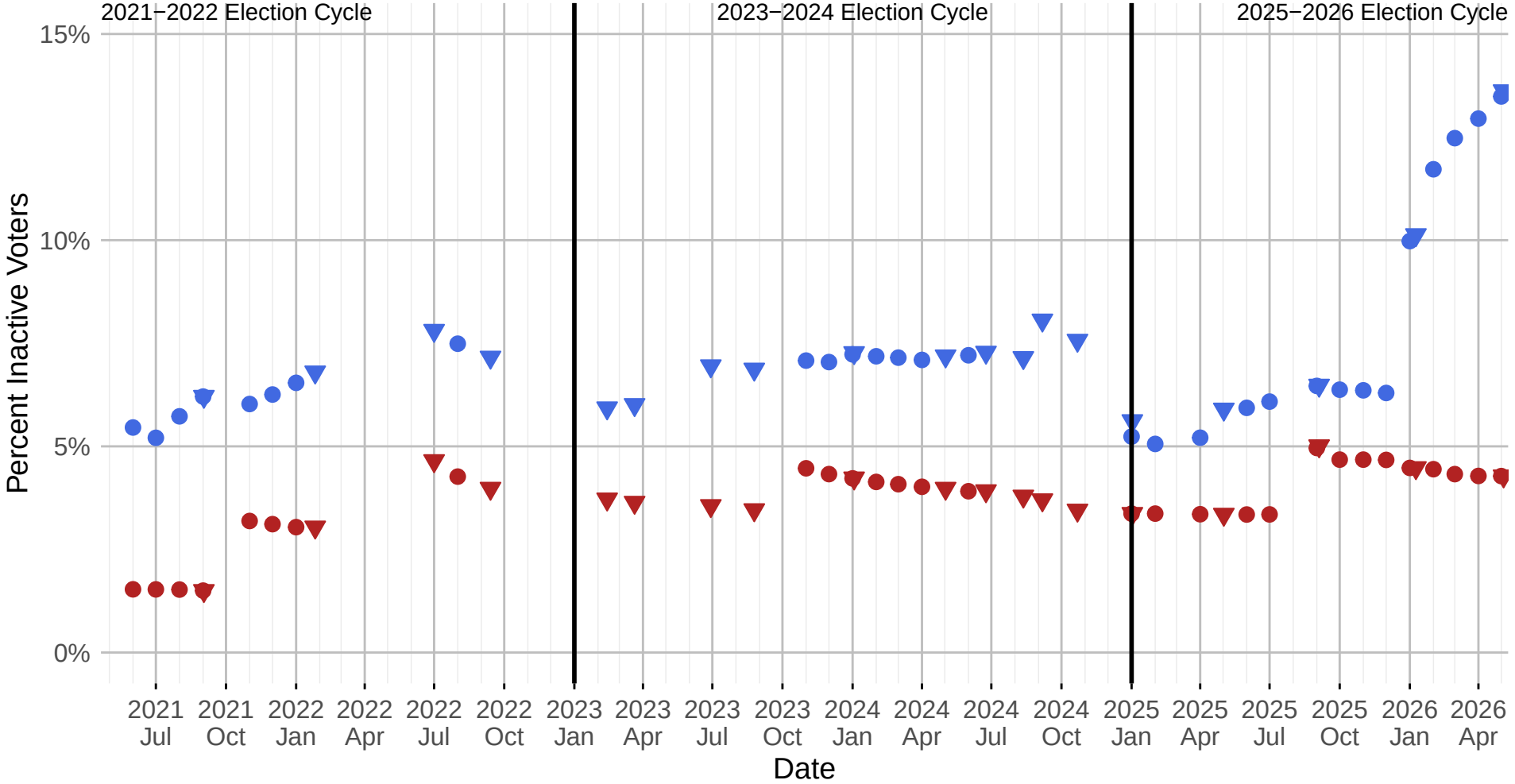

Source: Kansas Secretary of State Online Voter Registration Statistics Dashboard (circles); Voter Files (triangles)

efg 2026−05−21

Kansas Statewide Percent Inactive

Morton County Percent Inactive

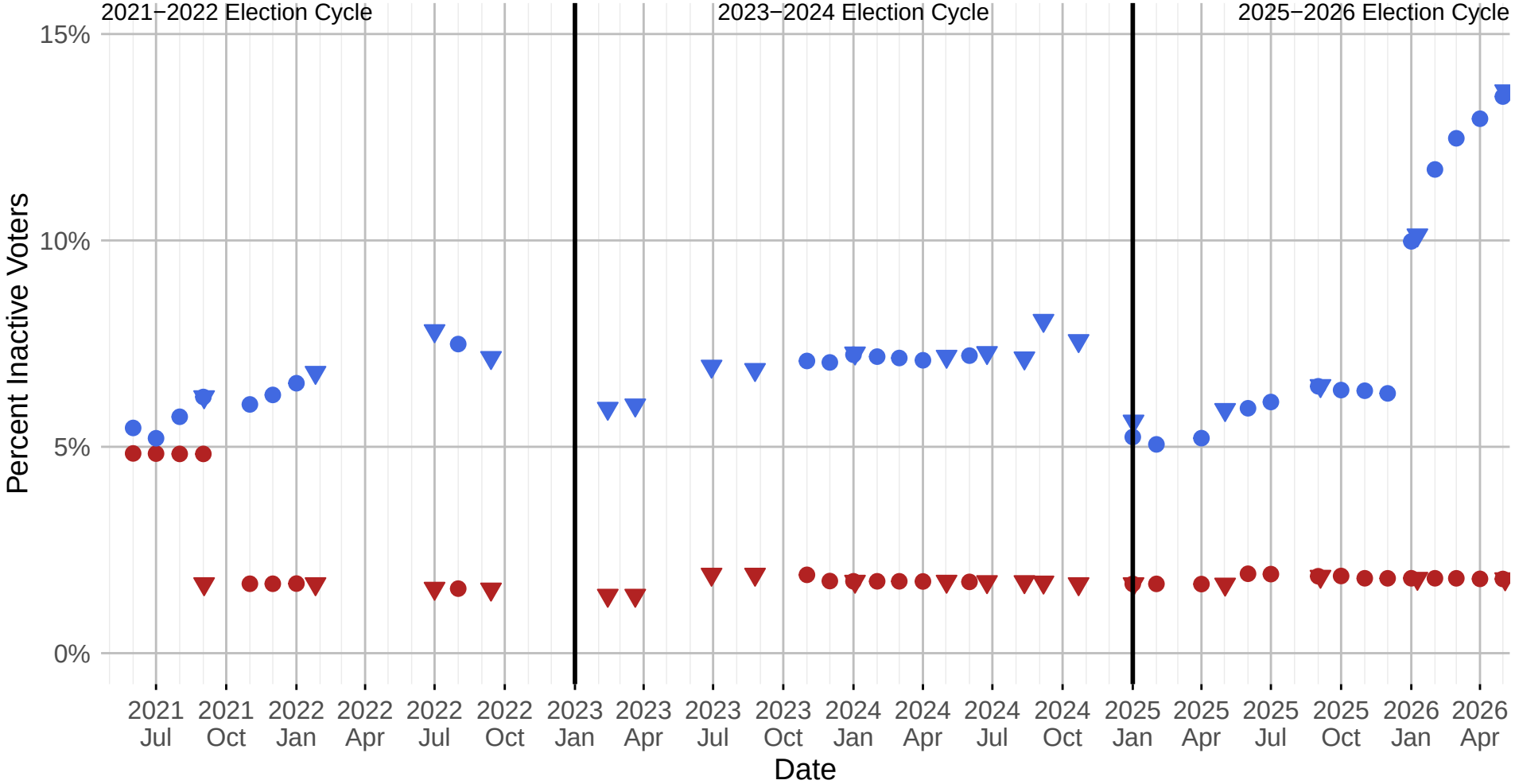

Source: Kansas Secretary of State Online Voter Registration Statistics Dashboard (circles); Voter Files (triangles)

efg 2026−05−21

Kansas Statewide Percent Inactive

Nemaha County Percent Inactive

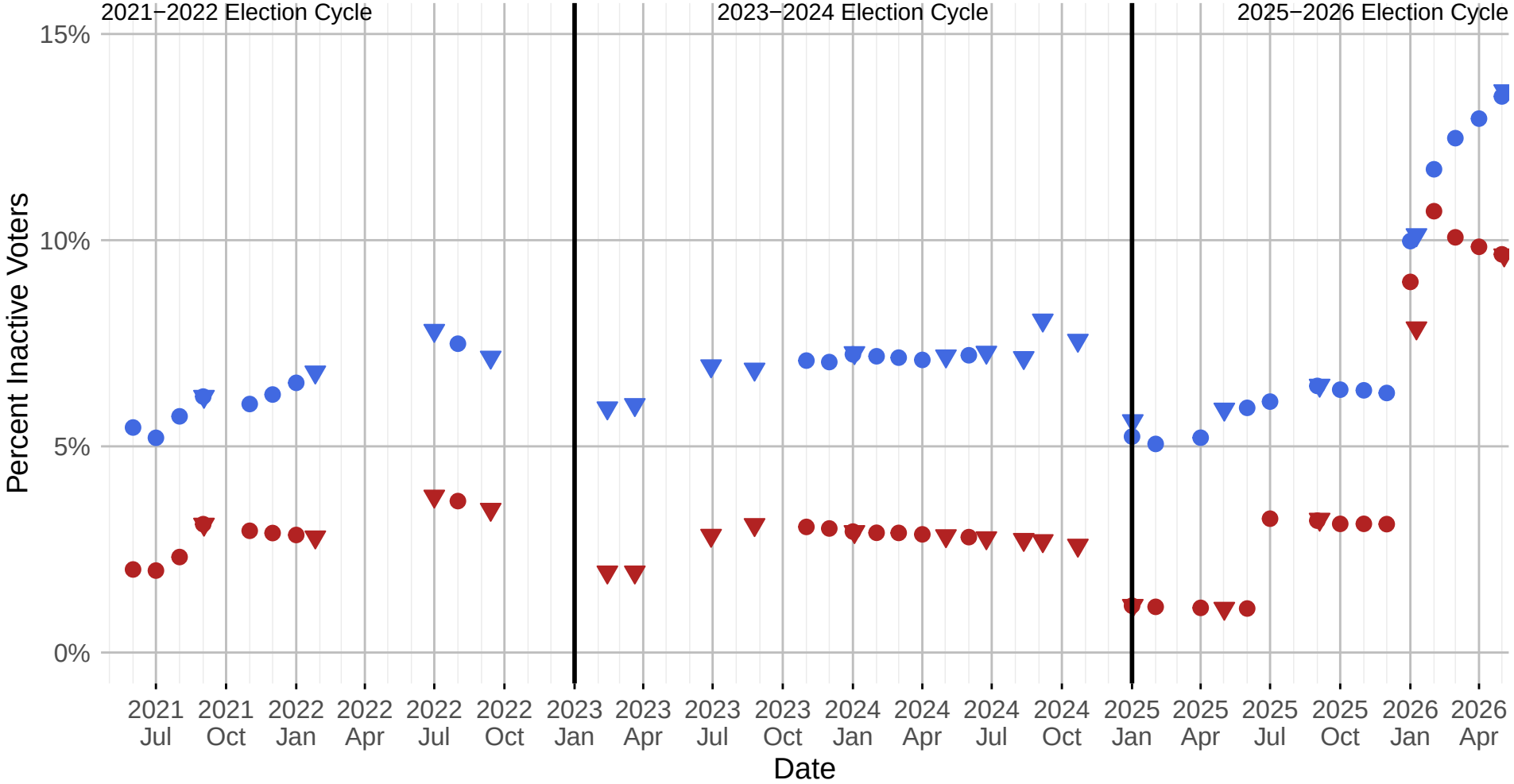

Source: Kansas Secretary of State Online Voter Registration Statistics Dashboard (circles); Voter Files (triangles)

efg 2026−05−21

Kansas Statewide Percent Inactive

Neosho County Percent Inactive

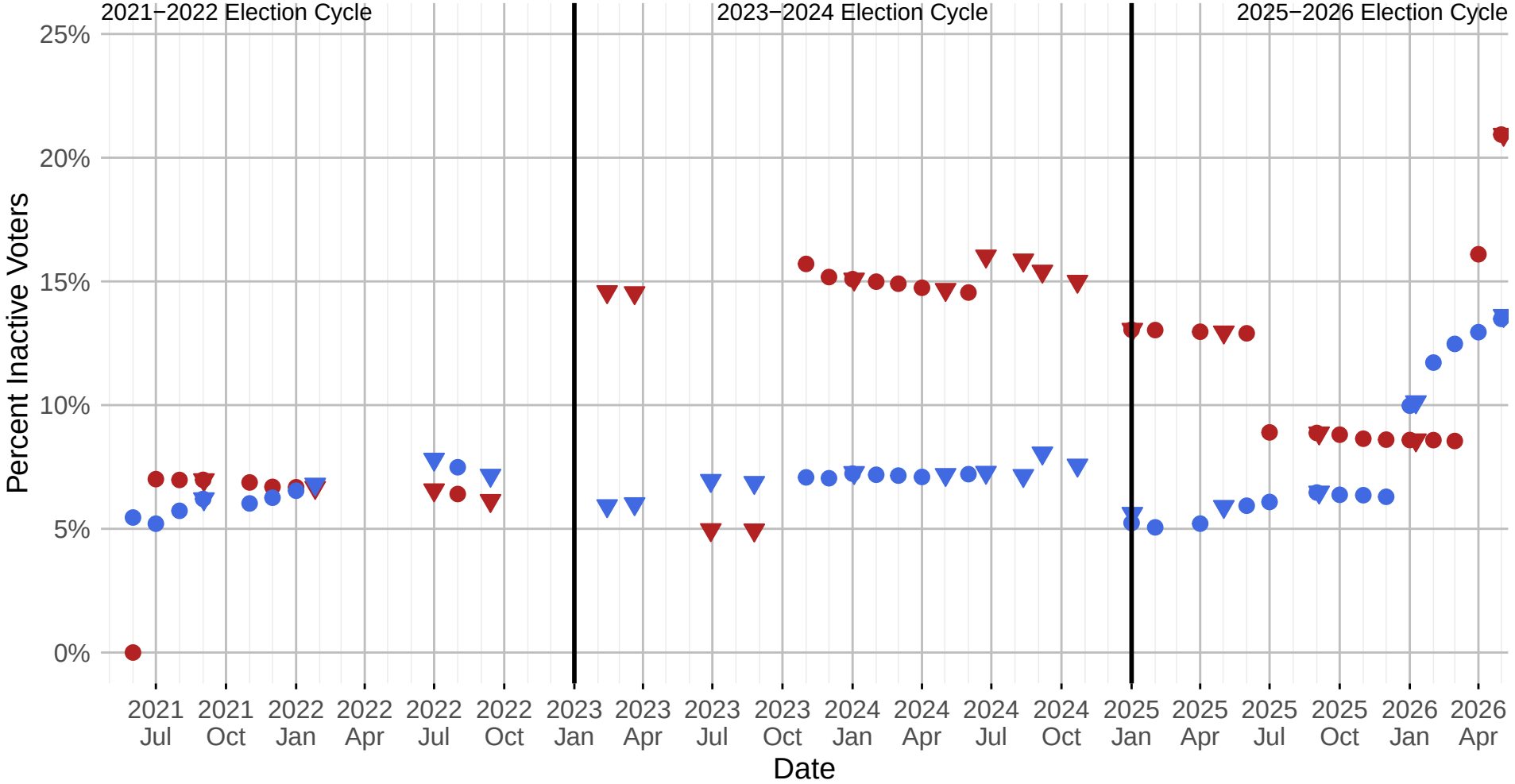

Source: Kansas Secretary of State Online Voter Registration Statistics Dashboard (circles); Voter Files (triangles)

efg 2026−05−21

Kansas Statewide Percent Inactive

Ness County Percent Inactive

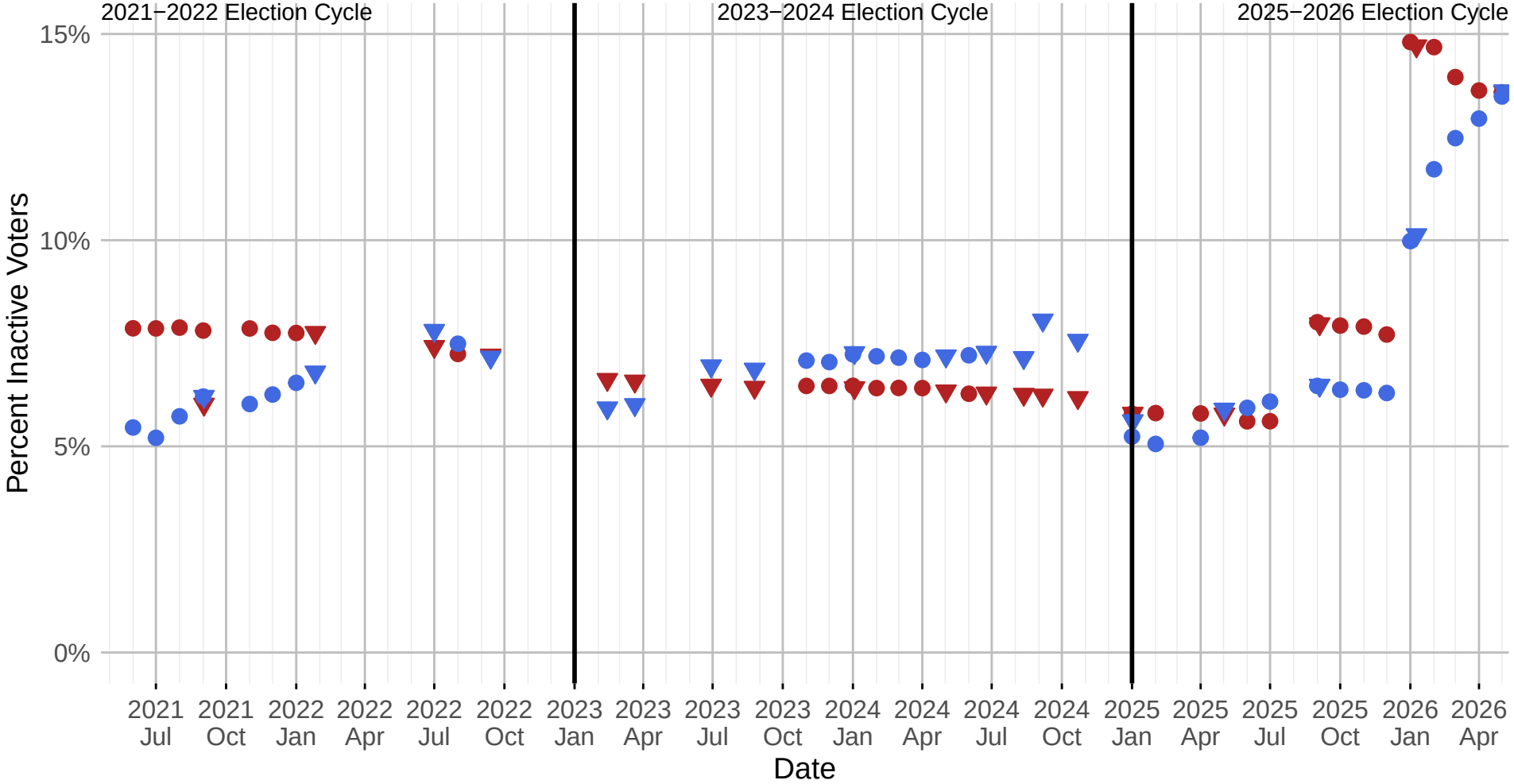

Source: Kansas Secretary of State Online Voter Registration Statistics Dashboard (circles); Voter Files (triangles)

efg 2026−05−21

Kansas Statewide Percent Inactive

Norton County Percent Inactive

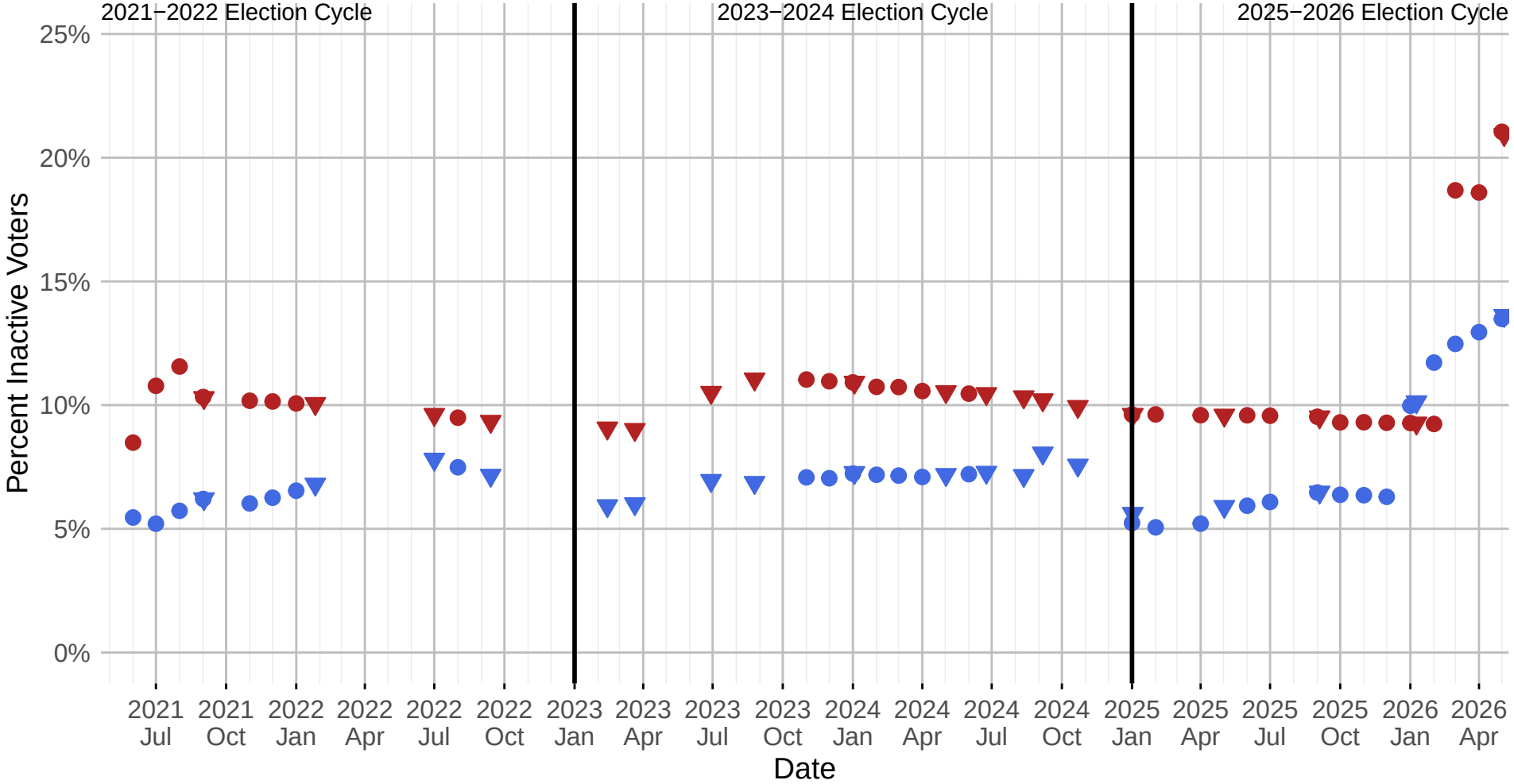

Source: Kansas Secretary of State Online Voter Registration Statistics Dashboard (circles); Voter Files (triangles)

efg 2026−05−21

Kansas Statewide Percent Inactive

Osage County Percent Inactive

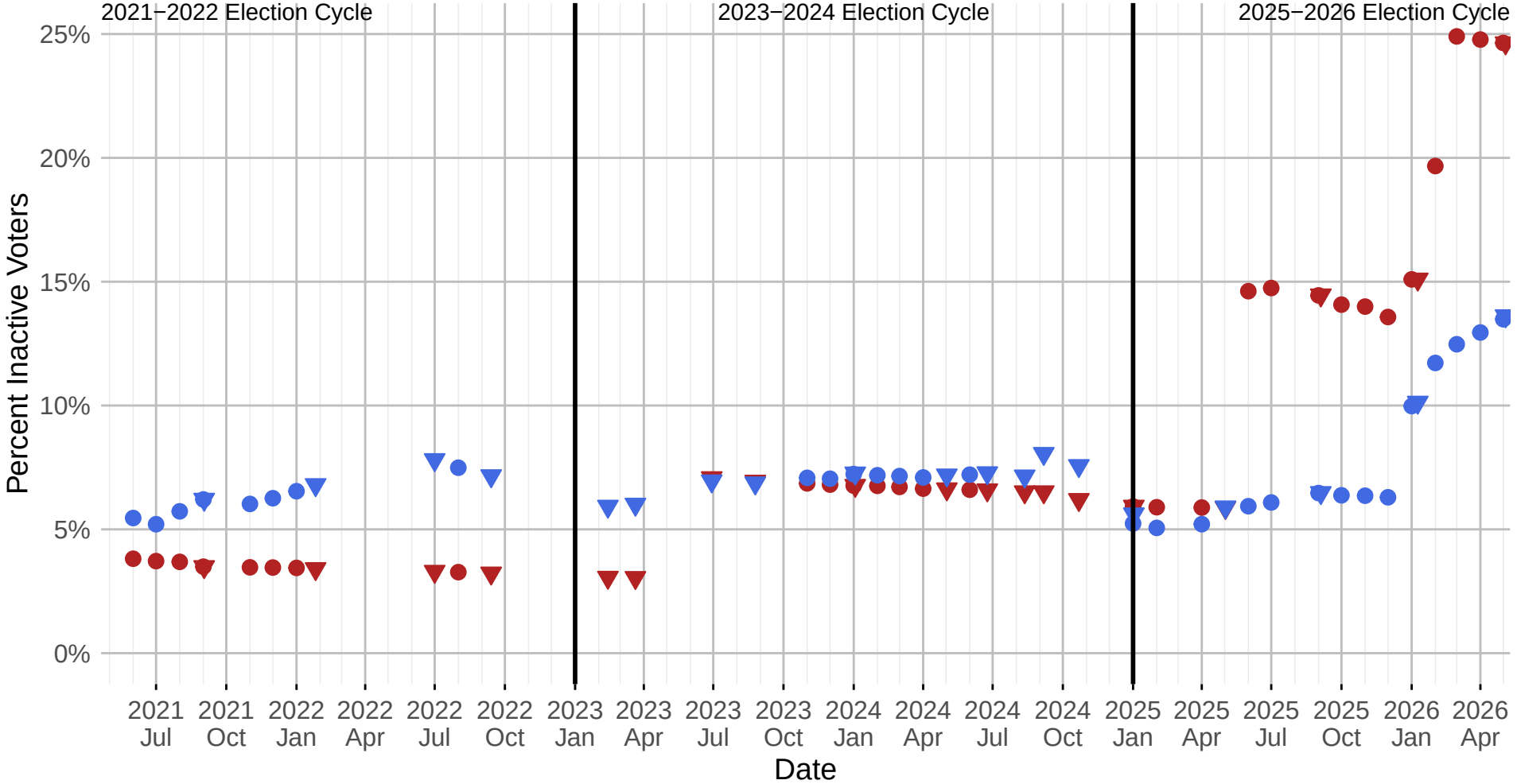

Source: Kansas Secretary of State Online Voter Registration Statistics Dashboard (circles); Voter Files (triangles)

efg 2026−05−21

Kansas Statewide Percent Inactive

Osborne County Percent Inactive

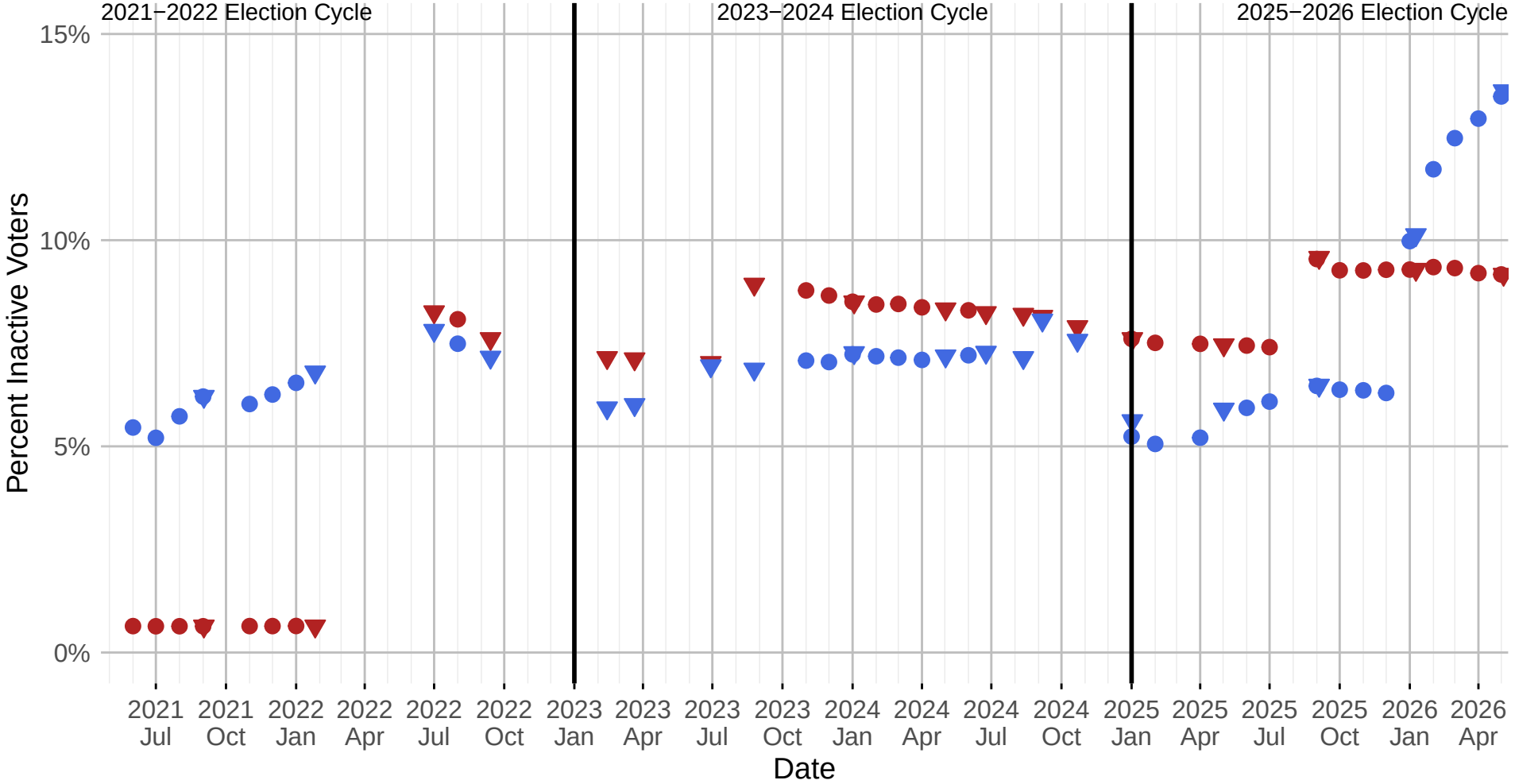

Source: Kansas Secretary of State Online Voter Registration Statistics Dashboard (circles); Voter Files (triangles)

efg 2026−05−21

Kansas Statewide Percent Inactive

Ottawa County Percent Inactive

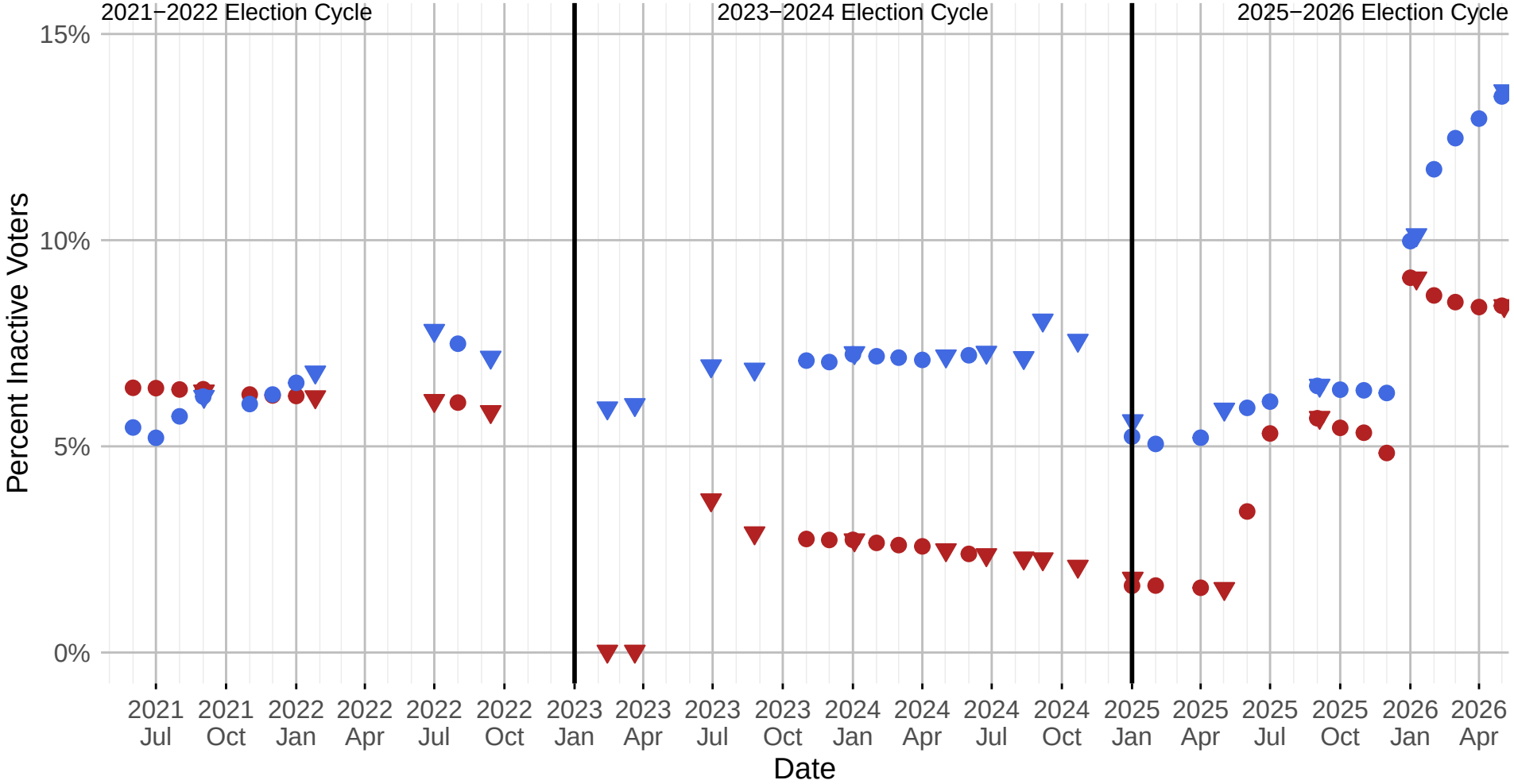

Source: Kansas Secretary of State Online Voter Registration Statistics Dashboard (circles); Voter Files (triangles)

efg 2026−05−21

Kansas Statewide Percent Inactive

Pawnee County Percent Inactive

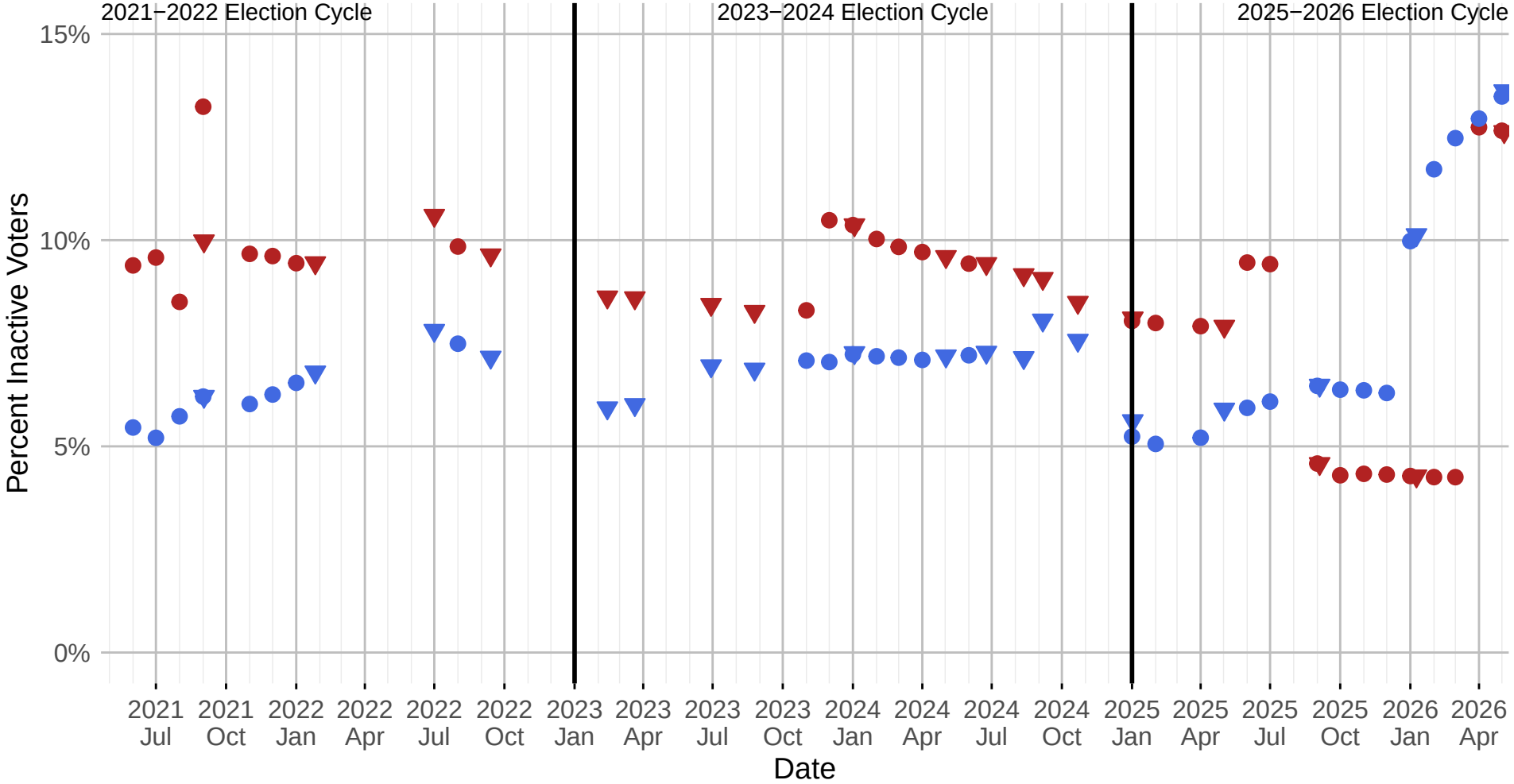

Source: Kansas Secretary of State Online Voter Registration Statistics Dashboard (circles); Voter Files (triangles)

efg 2026−05−21

Kansas Statewide Percent Inactive

Phillips County Percent Inactive

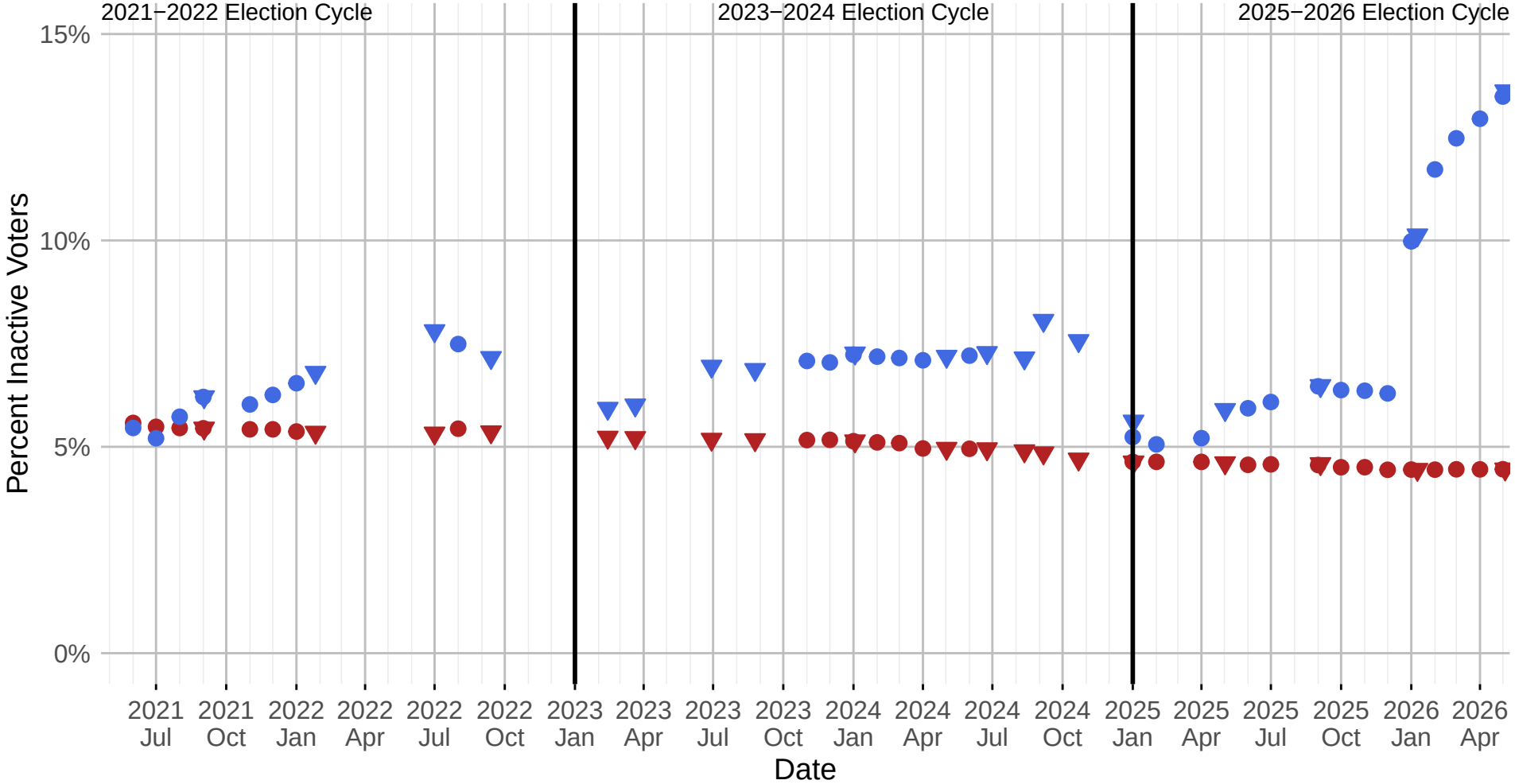

Source: Kansas Secretary of State Online Voter Registration Statistics Dashboard (circles); Voter Files (triangles)

efg 2026−05−21

Kansas Statewide Percent Inactive

Pottawatomie County Percent Inactive

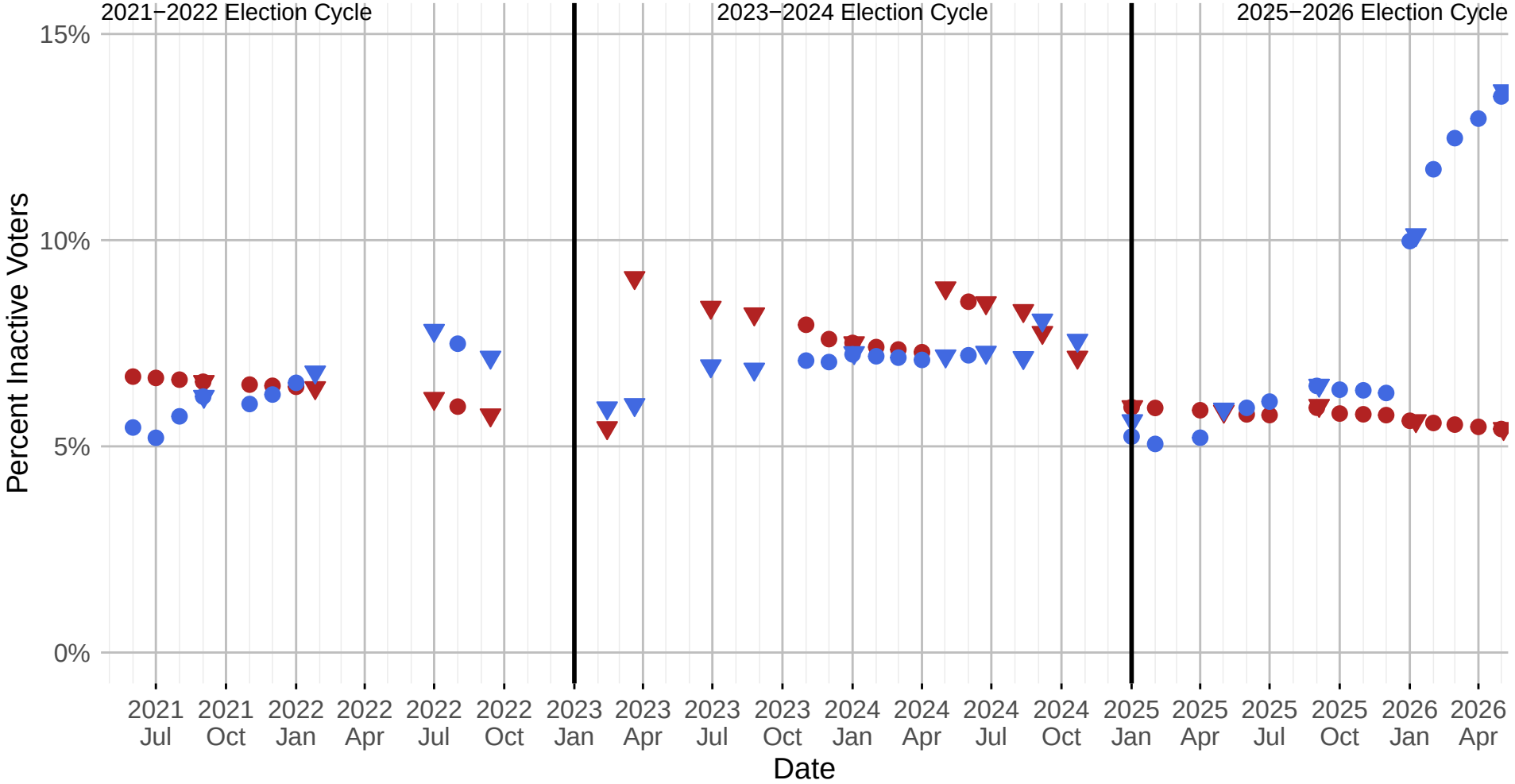

Source: Kansas Secretary of State Online Voter Registration Statistics Dashboard (circles); Voter Files (triangles)

efg 2026−05−21

Kansas Statewide Percent Inactive

Pratt County Percent Inactive

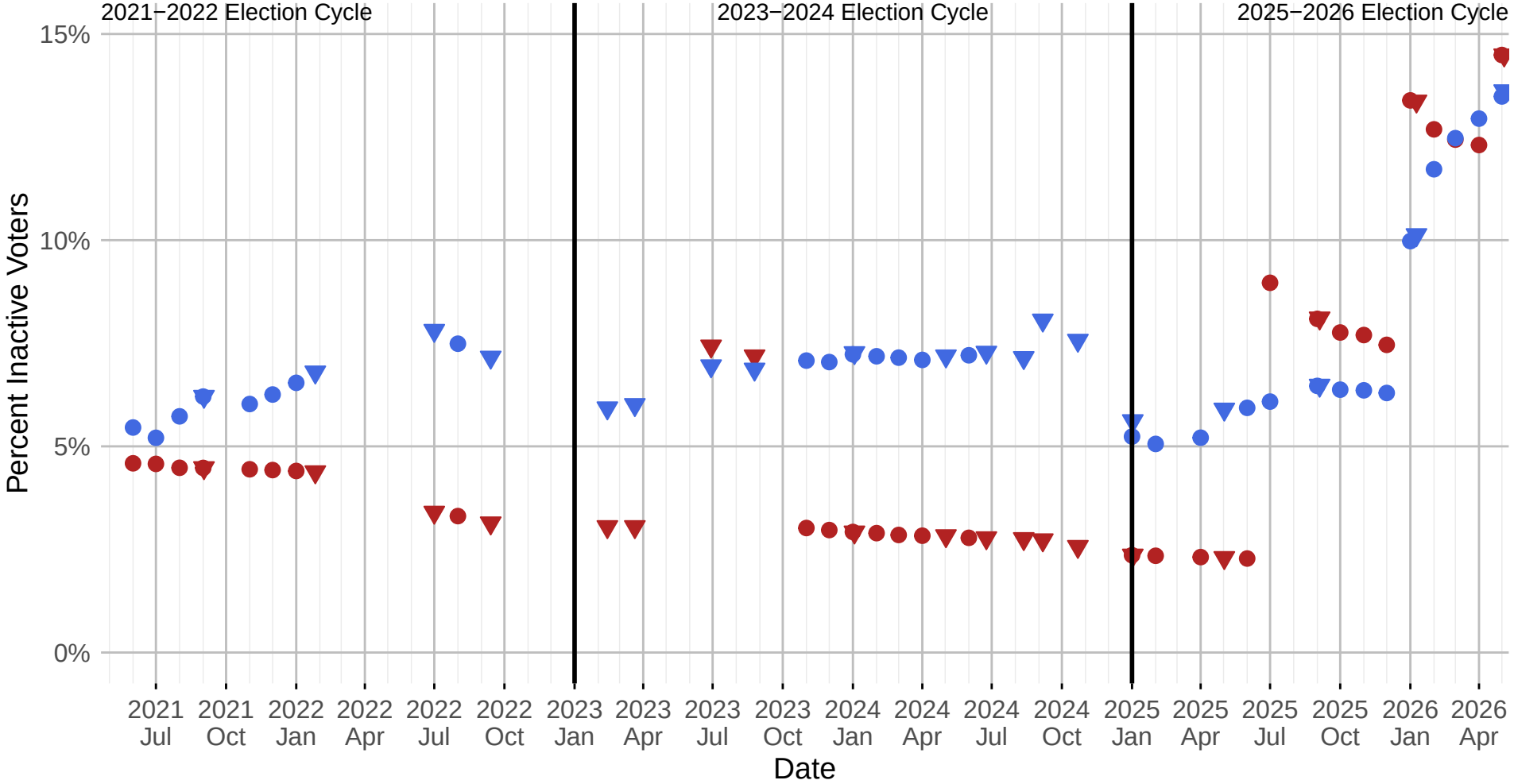

Source: Kansas Secretary of State Online Voter Registration Statistics Dashboard (circles); Voter Files (triangles)

efg 2026−05−21

Kansas Statewide Percent Inactive

Rawlins County Percent Inactive

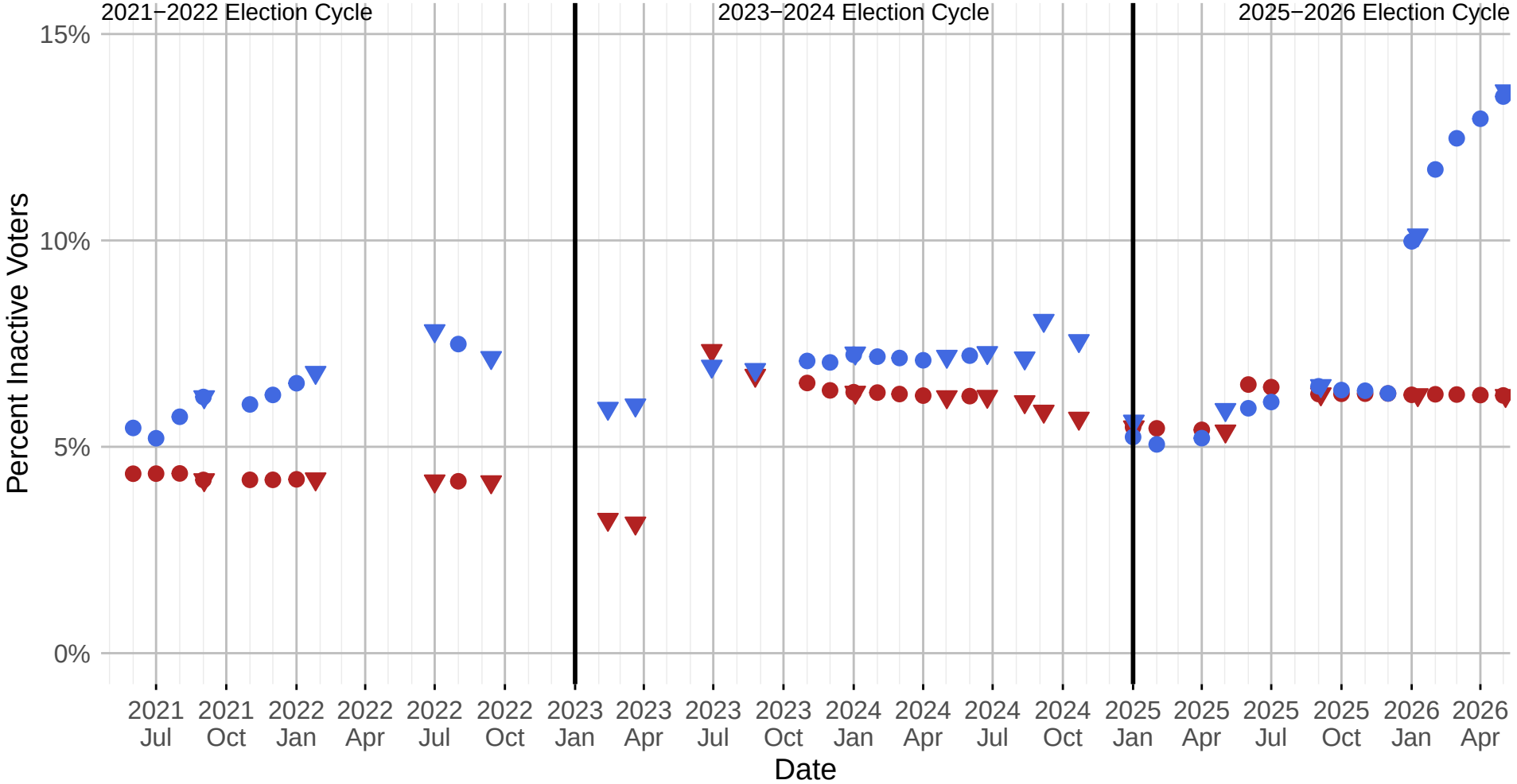

Source: Kansas Secretary of State Online Voter Registration Statistics Dashboard (circles); Voter Files (triangles)

efg 2026−05−21

Kansas Statewide Percent Inactive

Reno County Percent Inactive

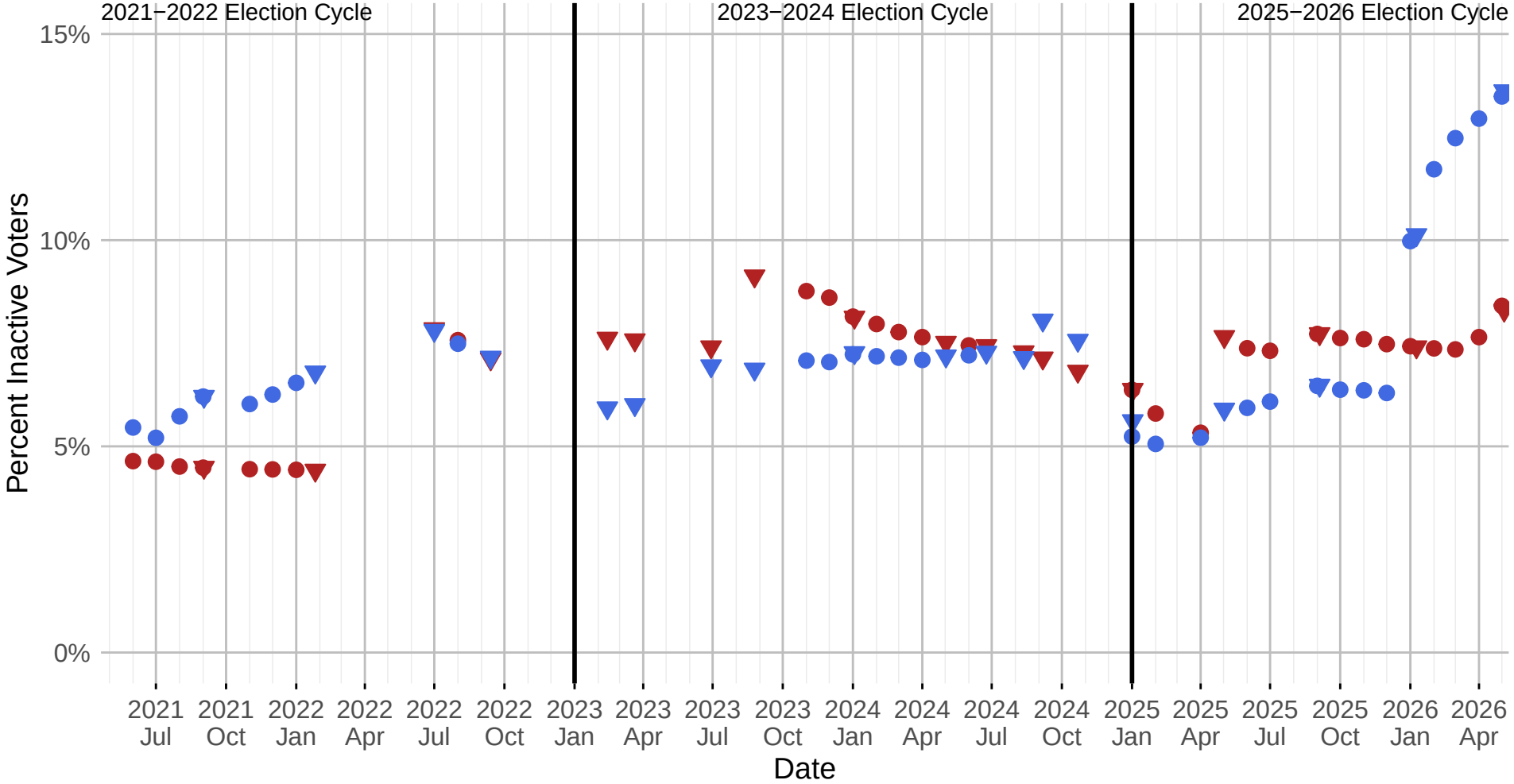

Source: Kansas Secretary of State Online Voter Registration Statistics Dashboard (circles); Voter Files (triangles)

efg 2026−05−21

Kansas Statewide Percent Inactive

Republic County Percent Inactive

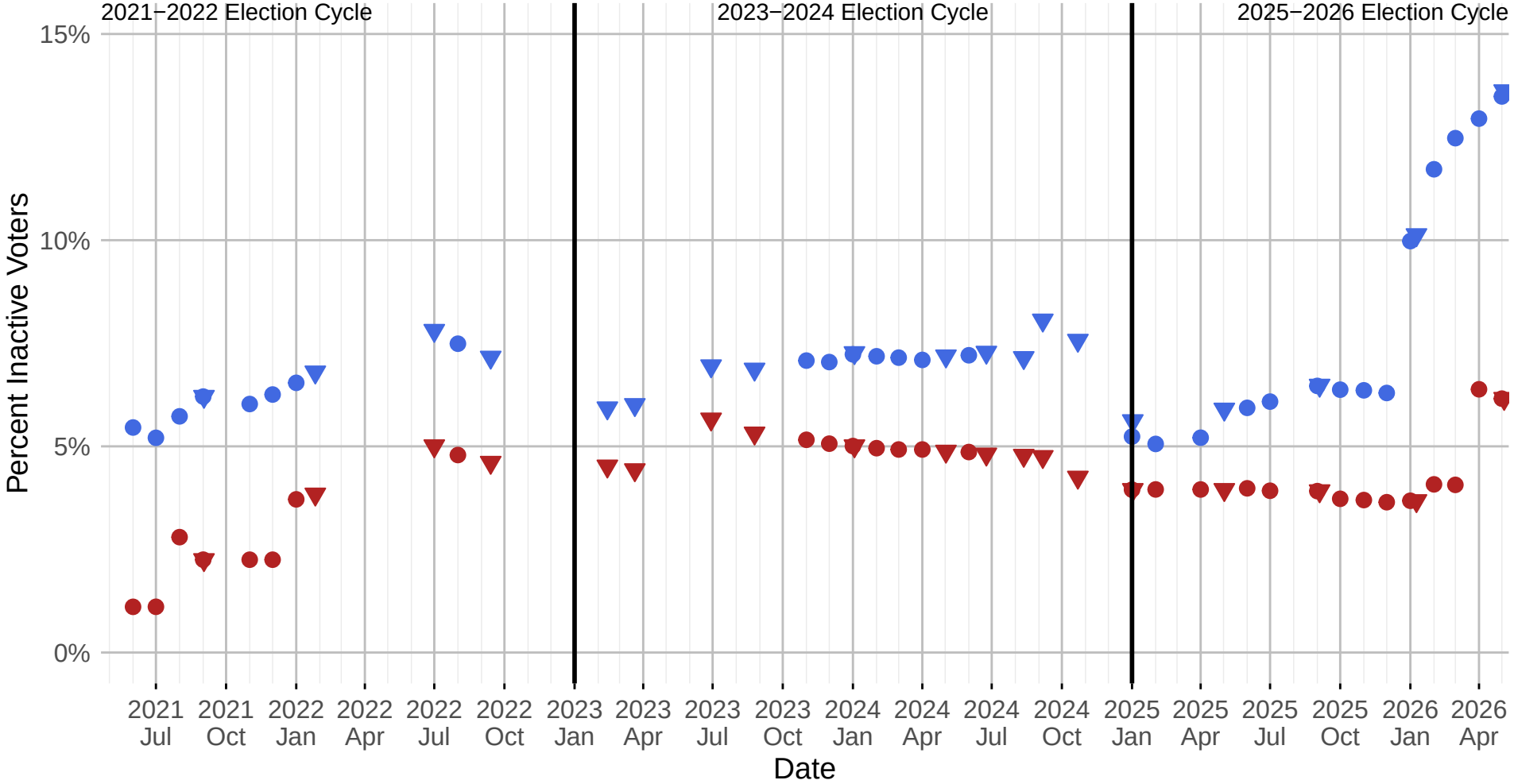

Source: Kansas Secretary of State Online Voter Registration Statistics Dashboard (circles); Voter Files (triangles)

efg 2026−05−21

Kansas Statewide Percent Inactive

Rice County Percent Inactive

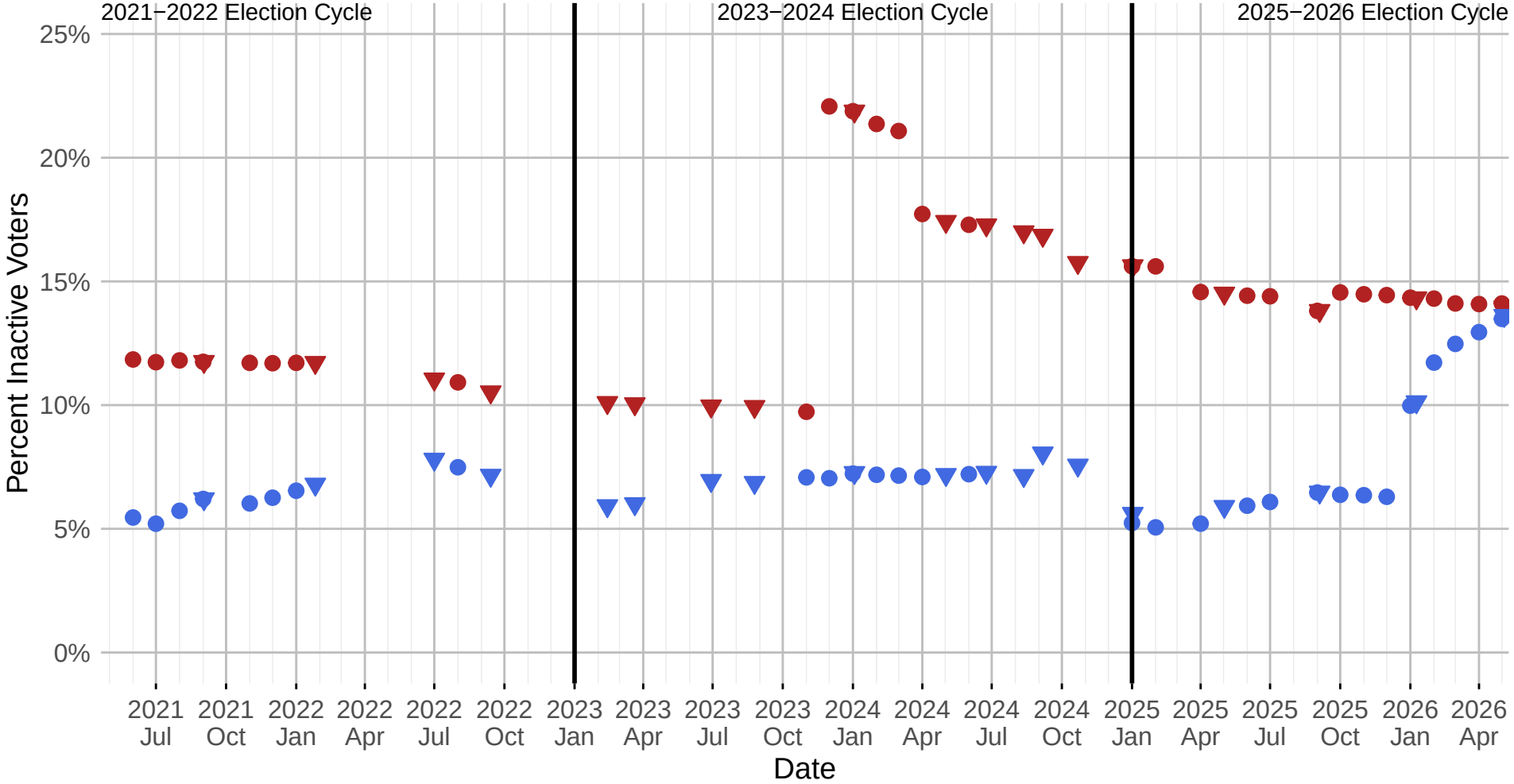

Source: Kansas Secretary of State Online Voter Registration Statistics Dashboard (circles); Voter Files (triangles)

efg 2026−05−21

Kansas Statewide Percent Inactive

Riley County Percent Inactive

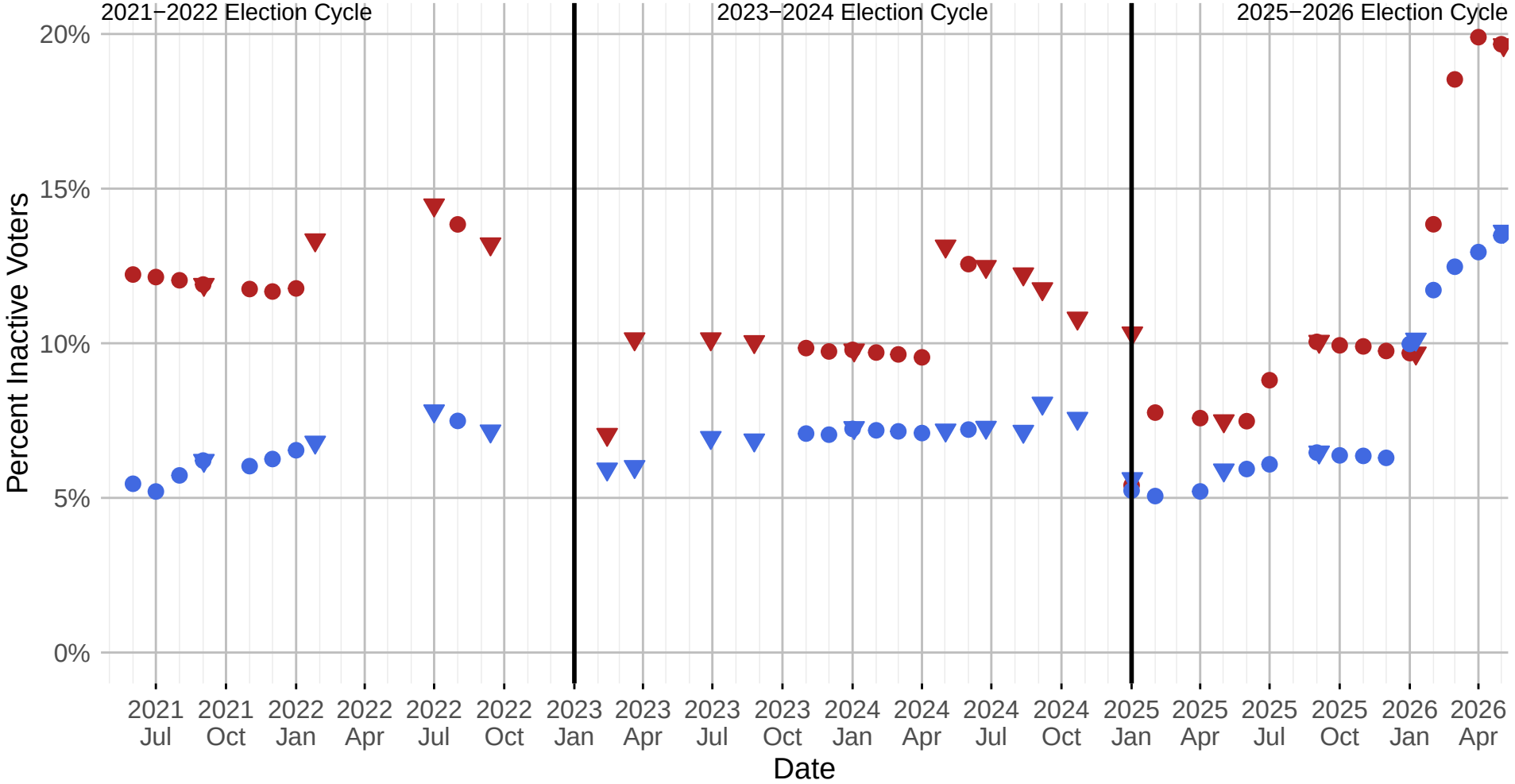

Source: Kansas Secretary of State Online Voter Registration Statistics Dashboard (circles); Voter Files (triangles)

efg 2026−05−21

Kansas Statewide Percent Inactive

Rooks County Percent Inactive

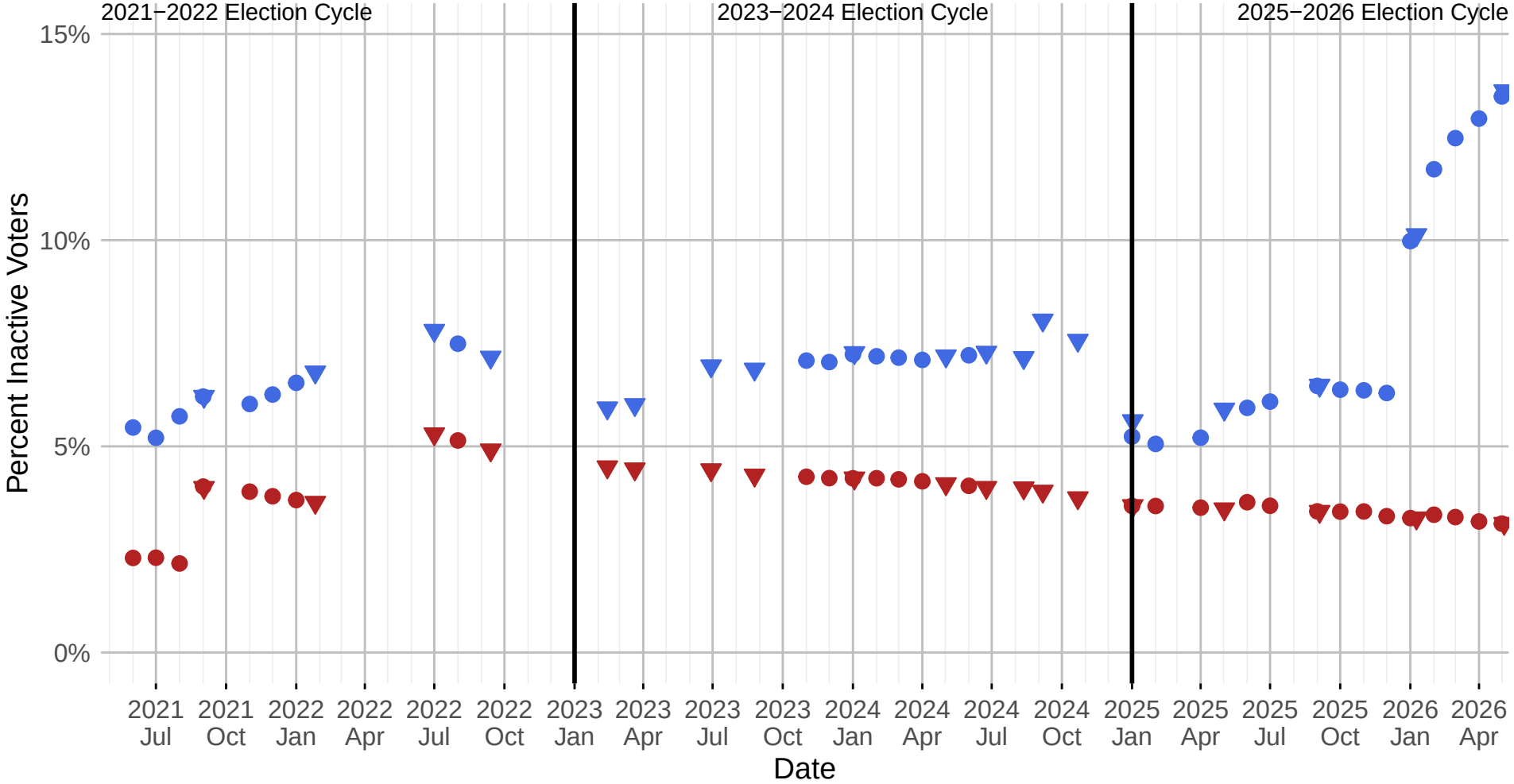

Source: Kansas Secretary of State Online Voter Registration Statistics Dashboard (circles); Voter Files (triangles)

efg 2026−05−21

Kansas Statewide Percent Inactive

Rush County Percent Inactive

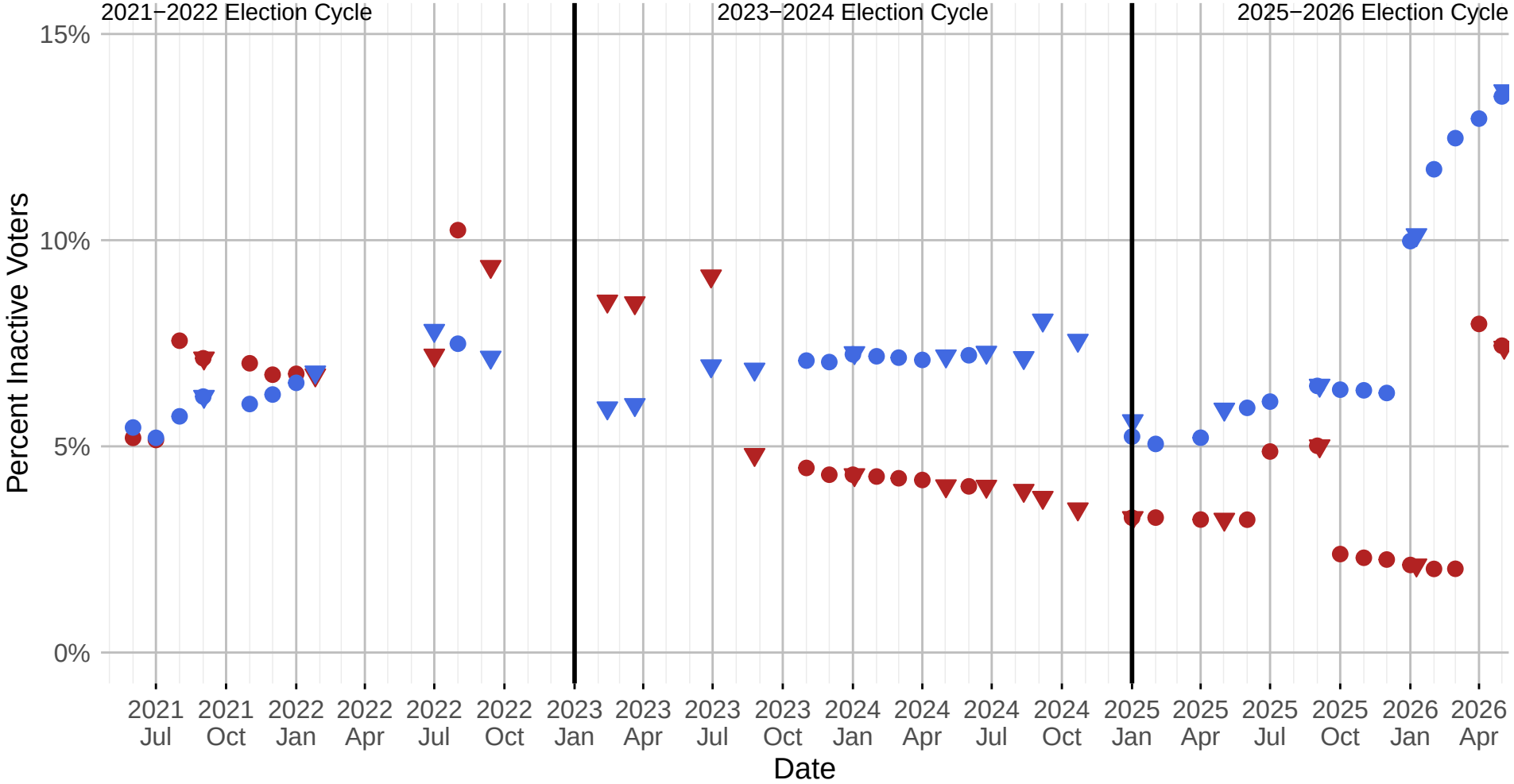

Source: Kansas Secretary of State Online Voter Registration Statistics Dashboard (circles); Voter Files (triangles)

efg 2026−05−21

Kansas Statewide Percent Inactive

Russell County Percent Inactive

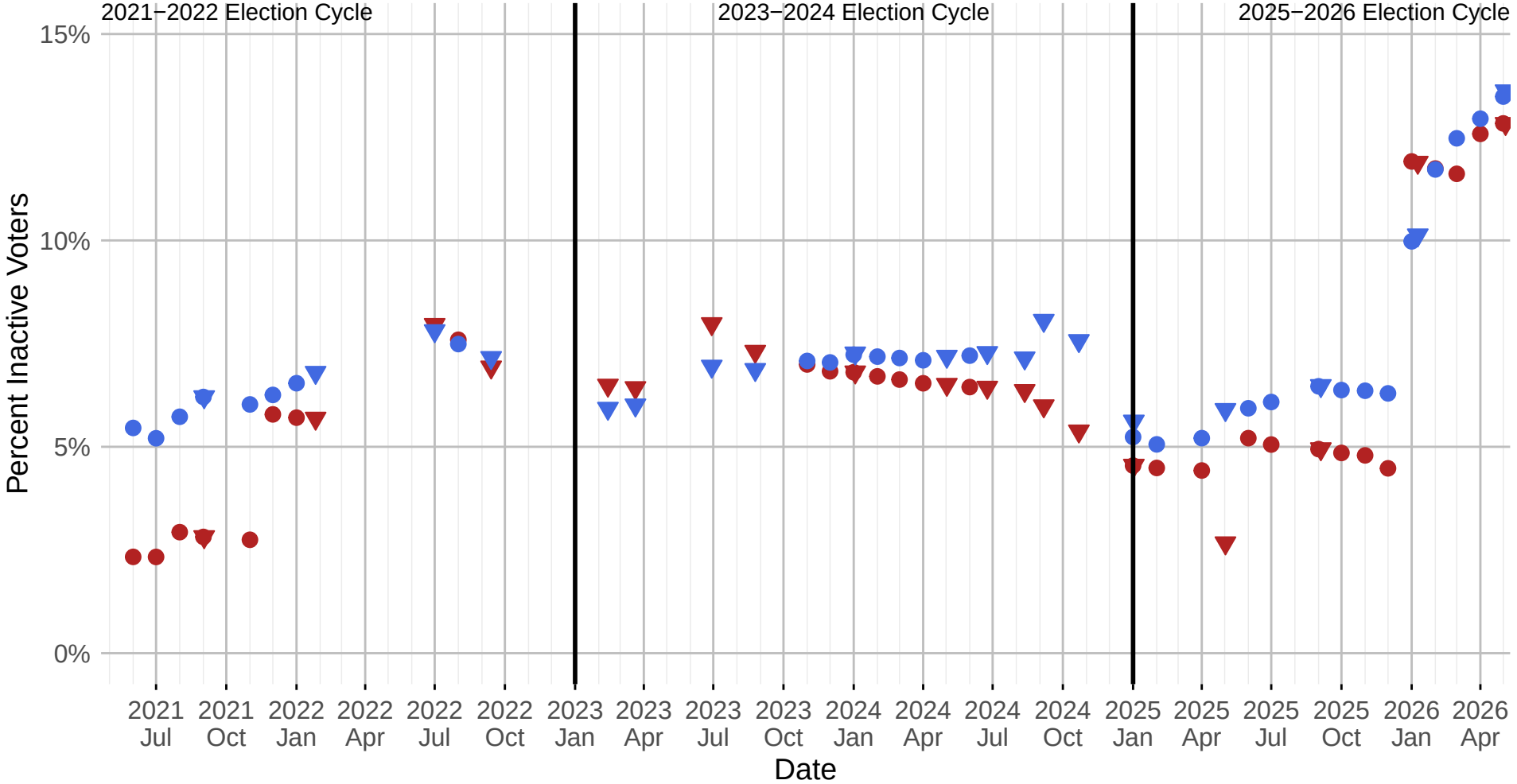

Source: Kansas Secretary of State Online Voter Registration Statistics Dashboard (circles); Voter Files (triangles)

efg 2026−05−21

Kansas Statewide Percent Inactive

Saline County Percent Inactive

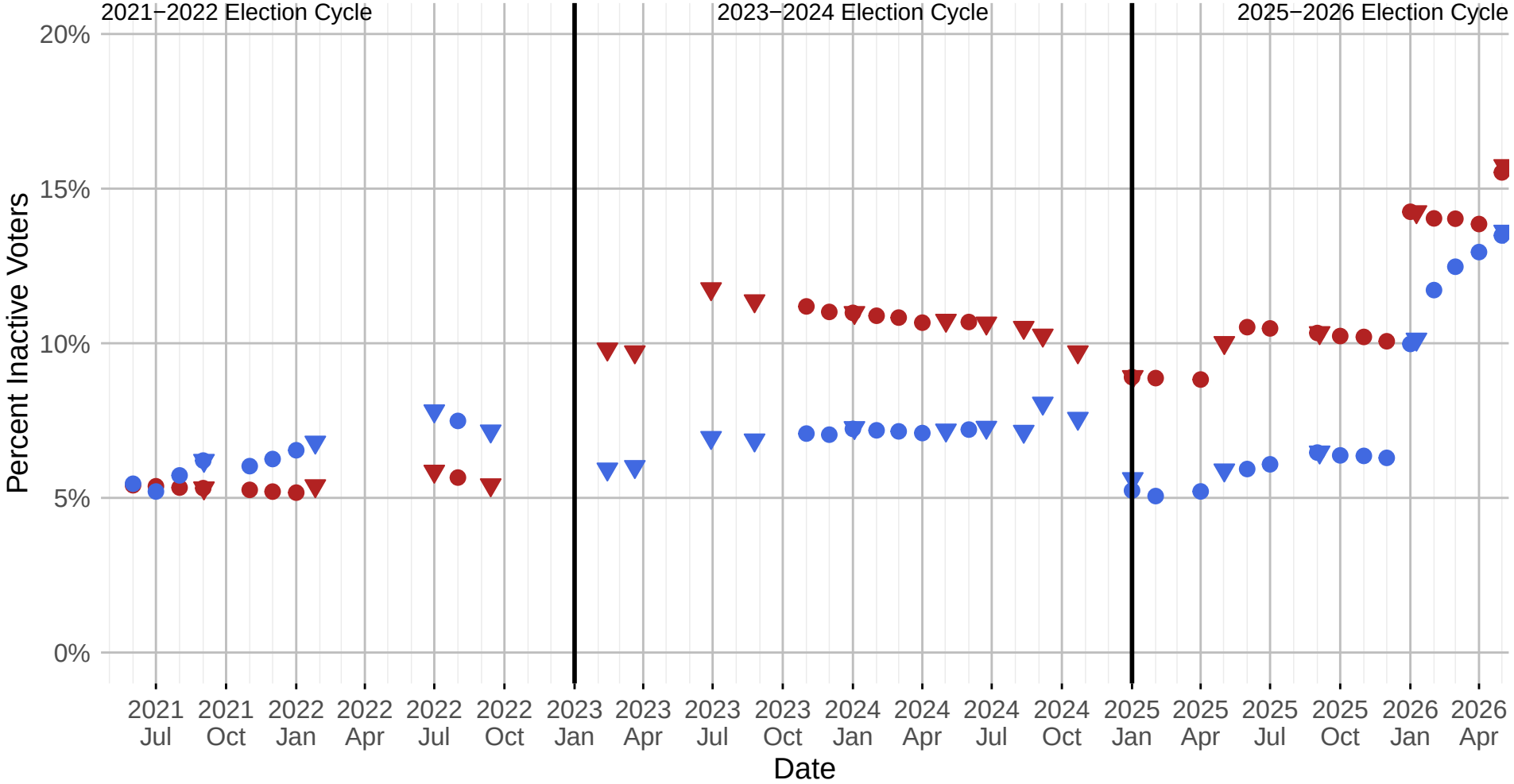

Source: Kansas Secretary of State Online Voter Registration Statistics Dashboard (circles); Voter Files (triangles)

efg 2026−05−21

Kansas Statewide Percent Inactive

Scott County Percent Inactive

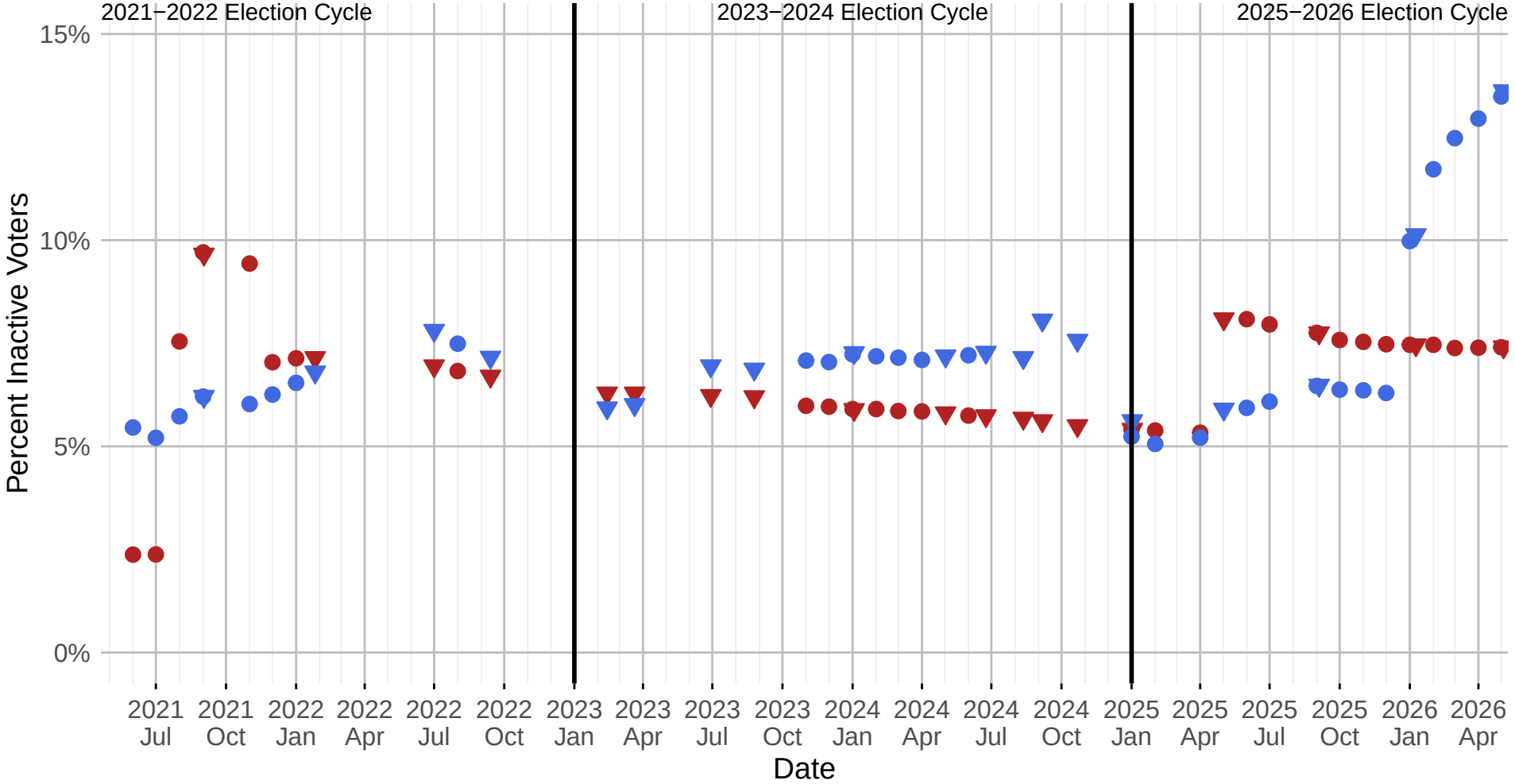

Source: Kansas Secretary of State Online Voter Registration Statistics Dashboard (circles); Voter Files (triangles)

efg 2026−05−21

Kansas Statewide Percent Inactive

Sedgwick County Percent Inactive

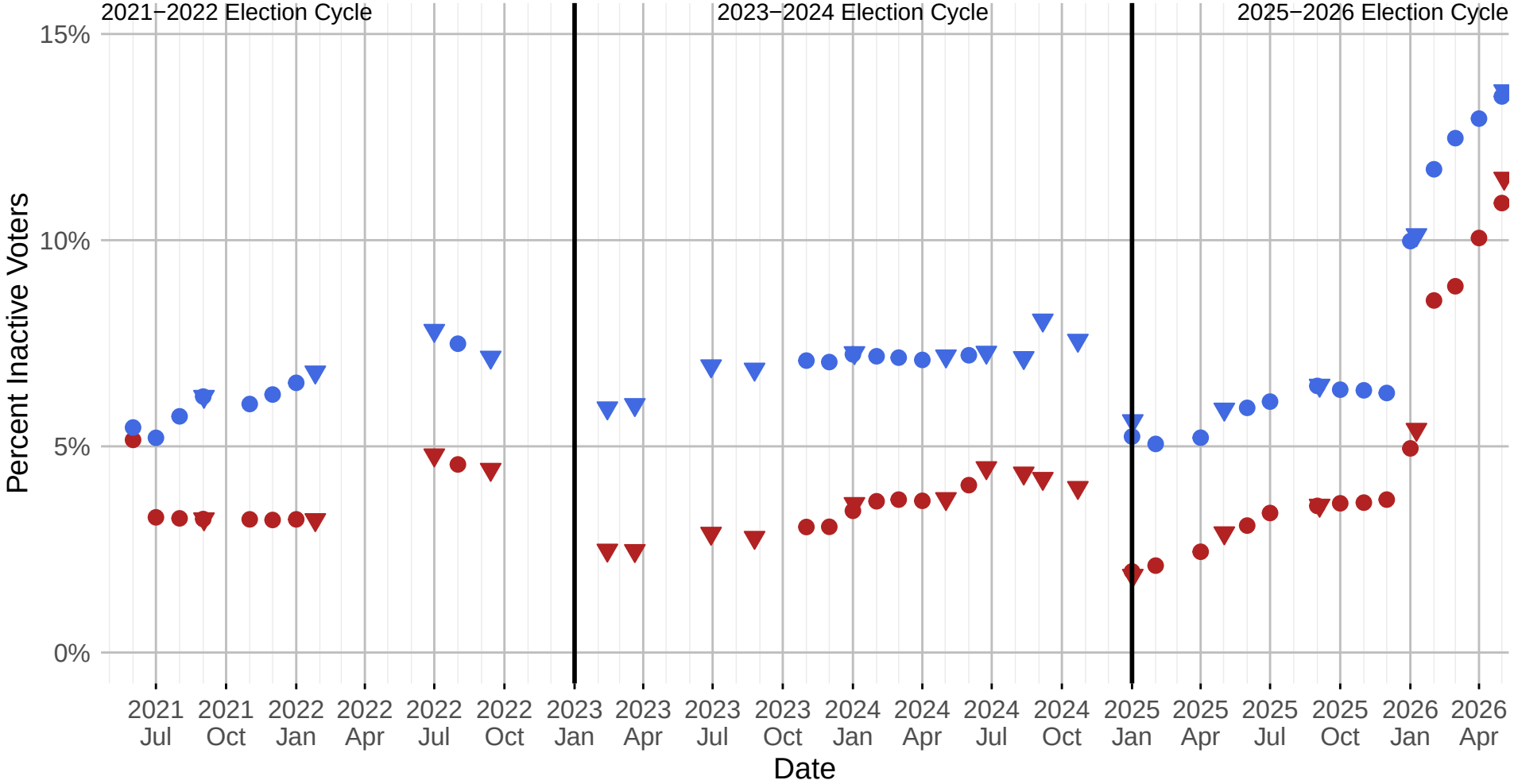

Source: Kansas Secretary of State Online Voter Registration Statistics Dashboard (circles); Voter Files (triangles)

efg 2026−05−21

Kansas Statewide Percent Inactive

Seward County Percent Inactive

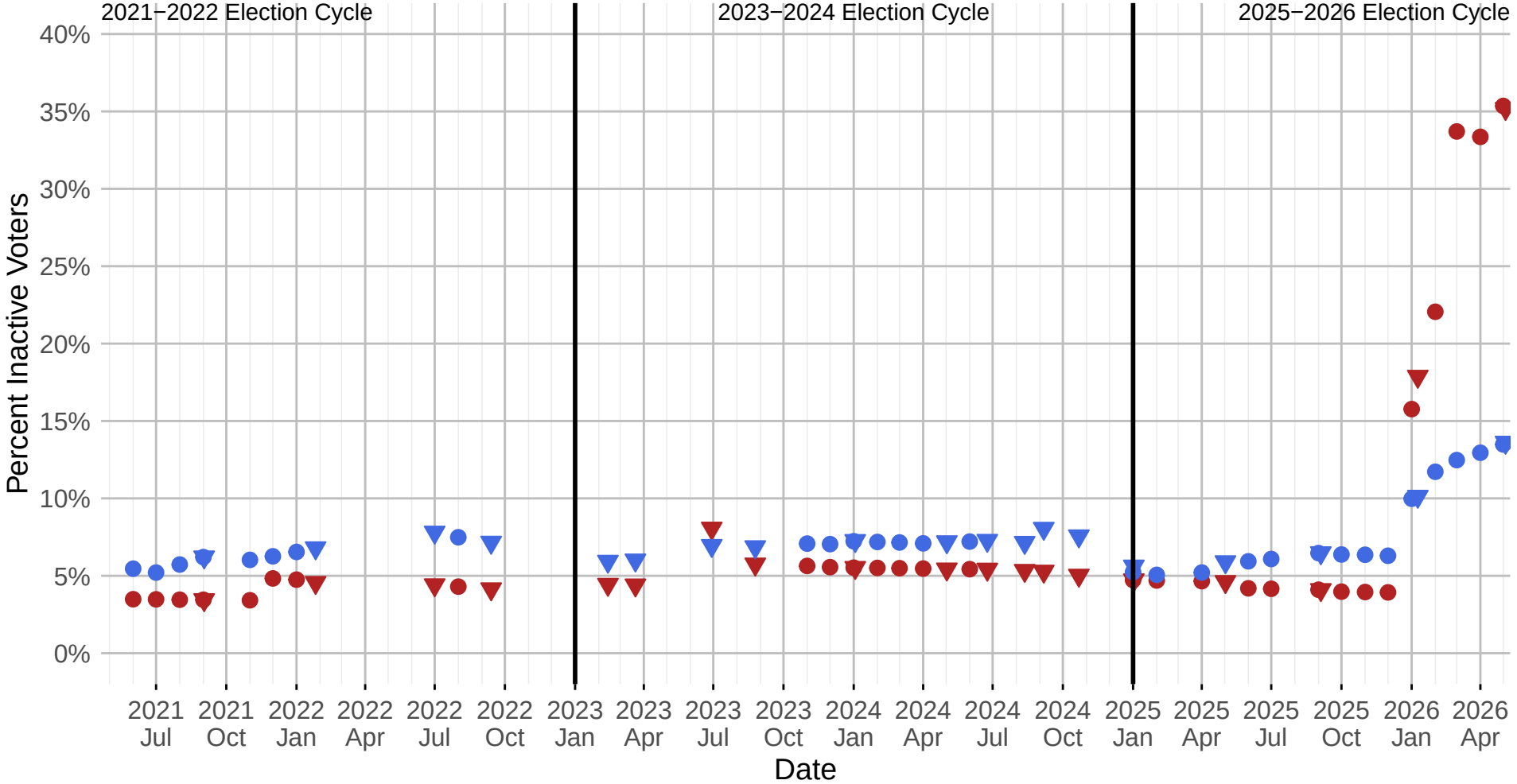

Source: Kansas Secretary of State Online Voter Registration Statistics Dashboard (circles); Voter Files (triangles)

efg 2026−05−21

Kansas Statewide Percent Inactive

Shawnee County Percent Inactive

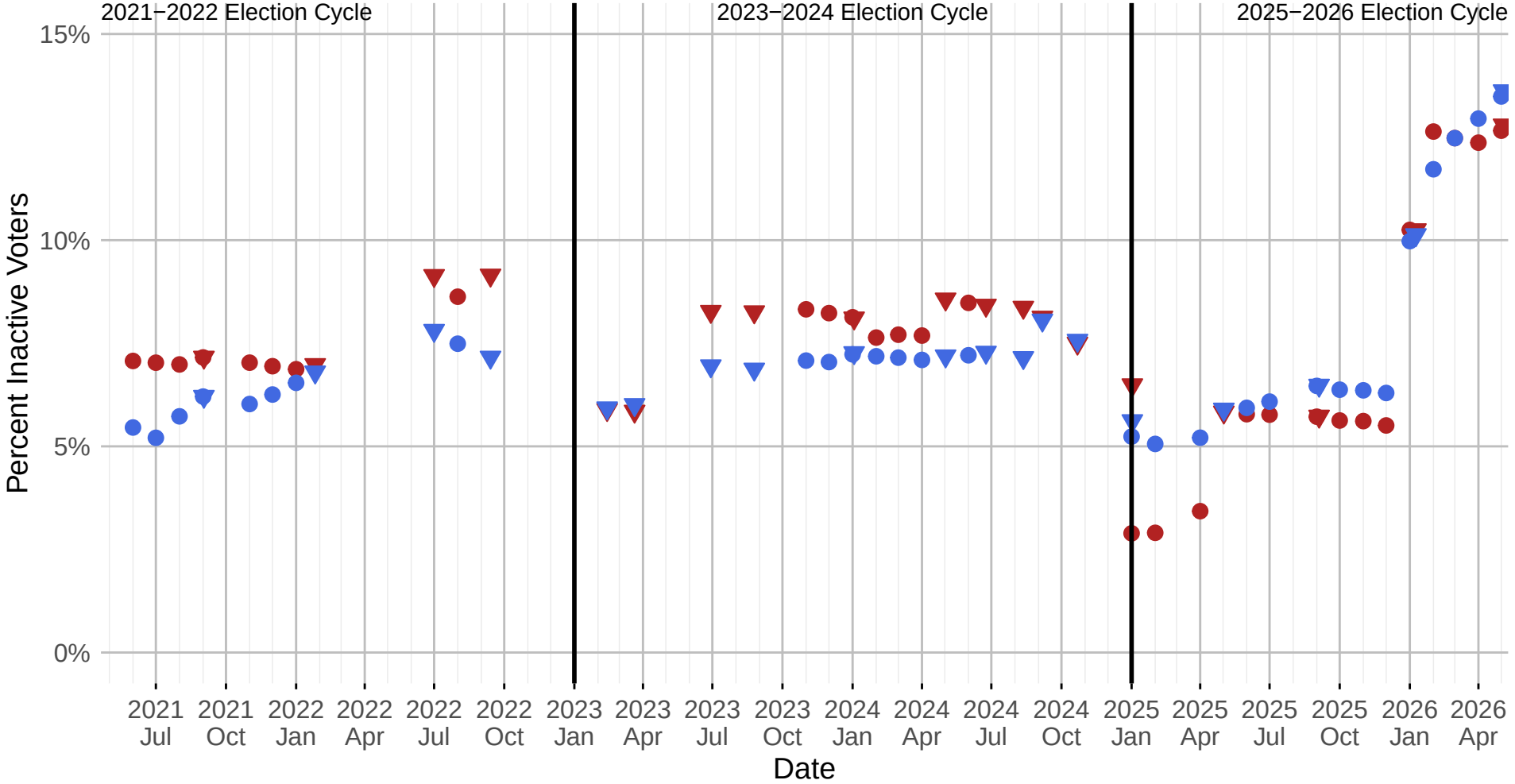

Source: Kansas Secretary of State Online Voter Registration Statistics Dashboard (circles); Voter Files (triangles)

efg 2026−05−21

Kansas Statewide Percent Inactive

Sheridan County Percent Inactive

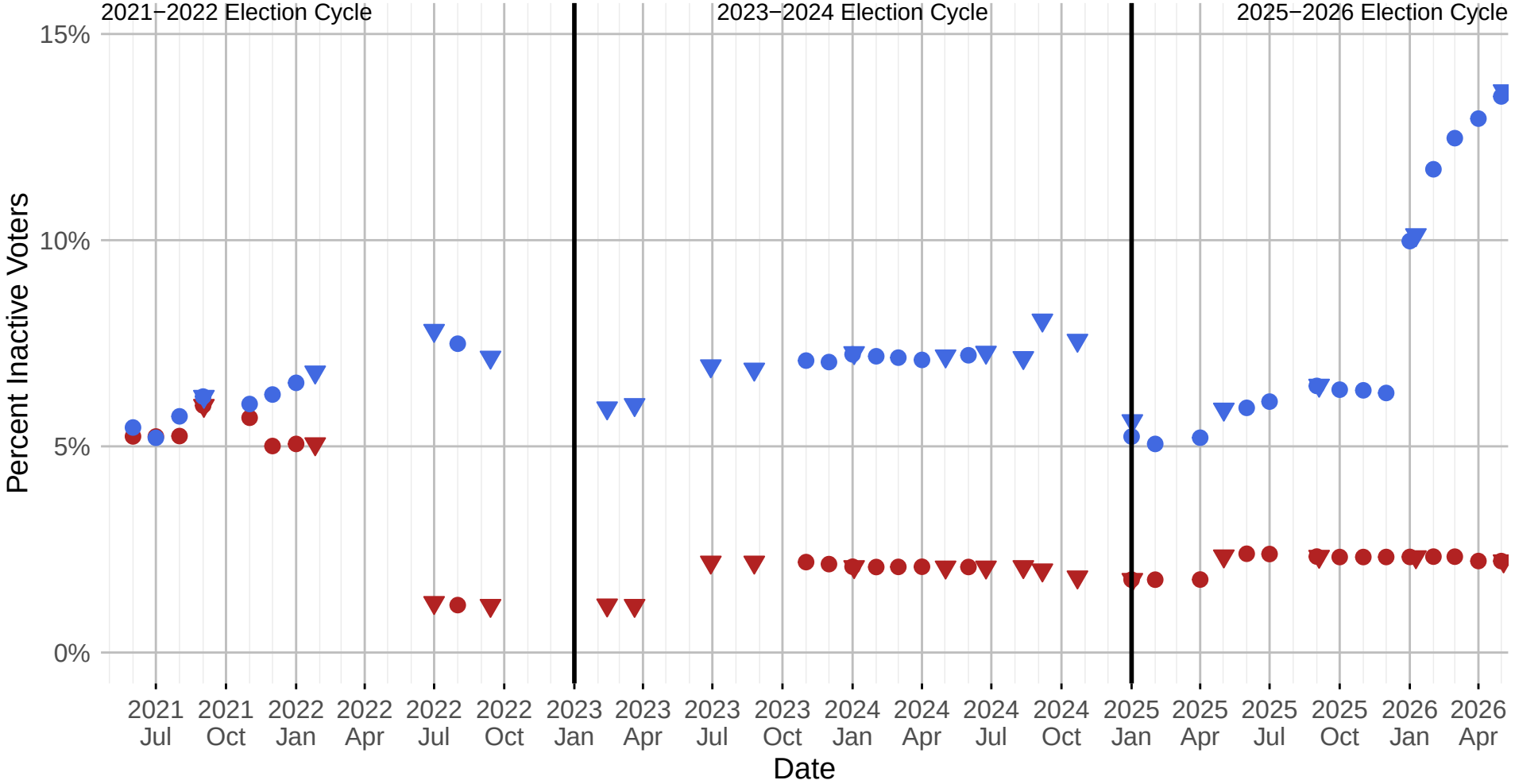

Source: Kansas Secretary of State Online Voter Registration Statistics Dashboard (circles); Voter Files (triangles)

efg 2026−05−21

Kansas Statewide Percent Inactive

Sherman County Percent Inactive

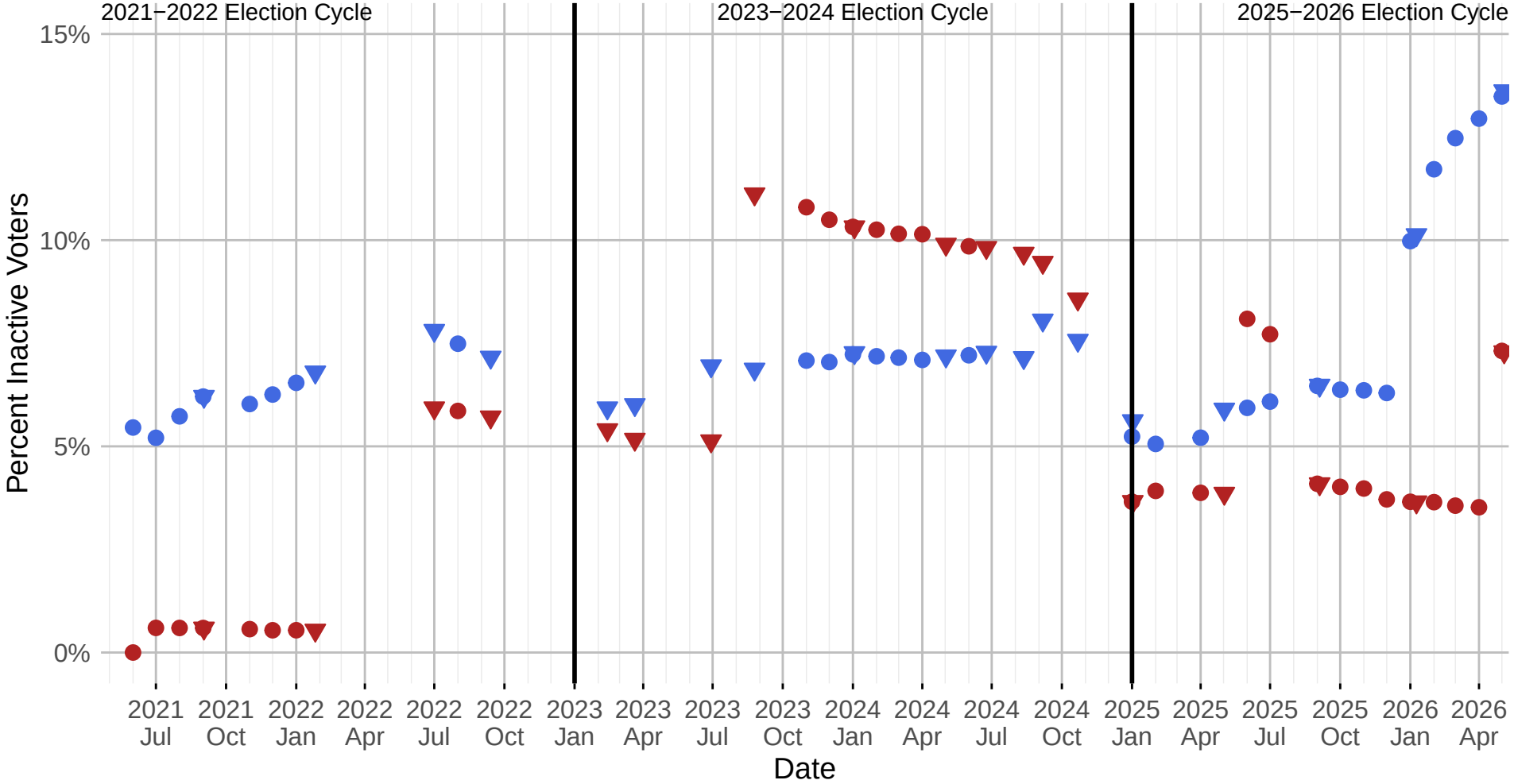

Source: Kansas Secretary of State Online Voter Registration Statistics Dashboard (circles); Voter Files (triangles)

efg 2026−05−21

Kansas Statewide Percent Inactive

Smith County Percent Inactive

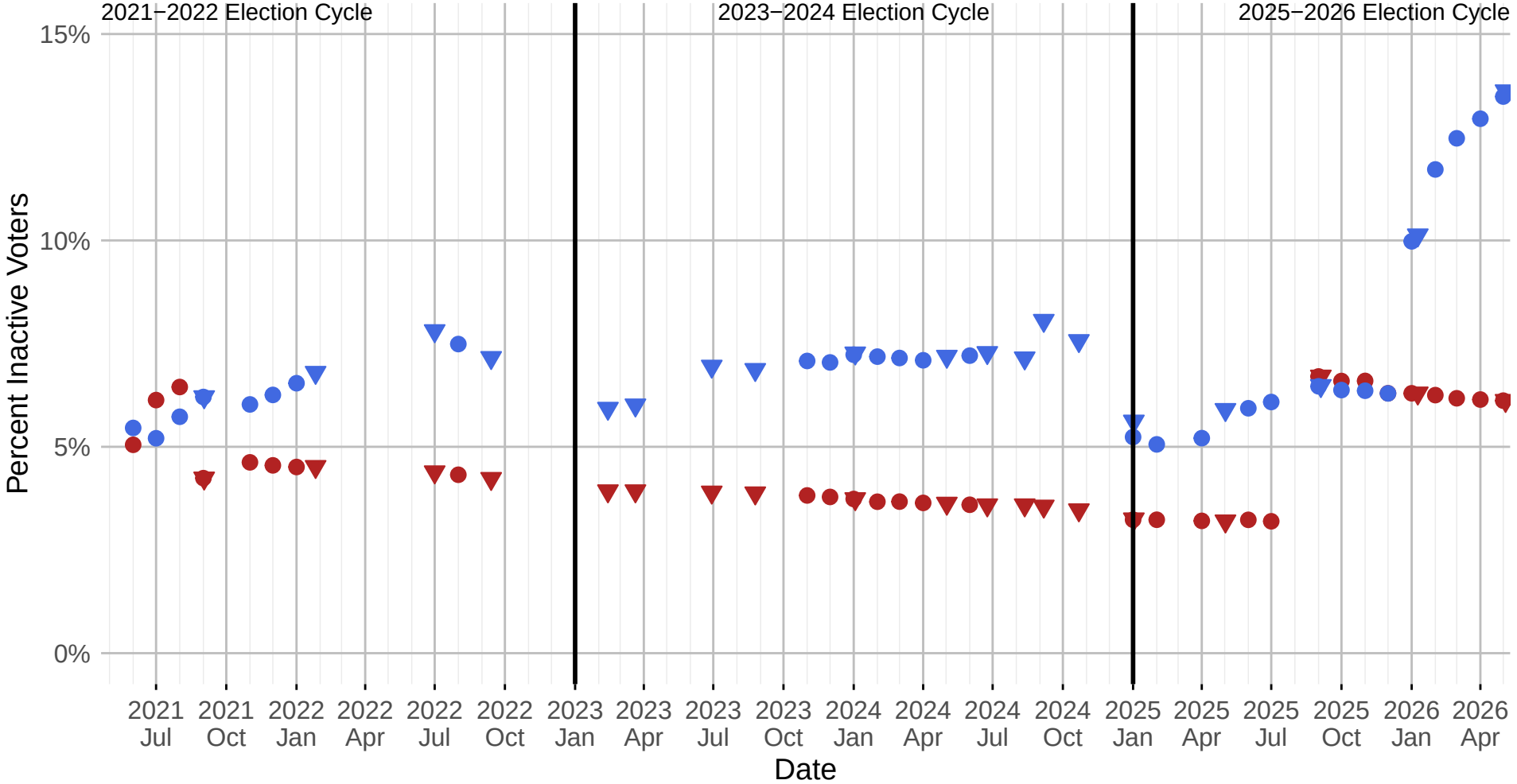

Source: Kansas Secretary of State Online Voter Registration Statistics Dashboard (circles); Voter Files (triangles)

efg 2026−05−21

Kansas Statewide Percent Inactive

Stafford County Percent Inactive

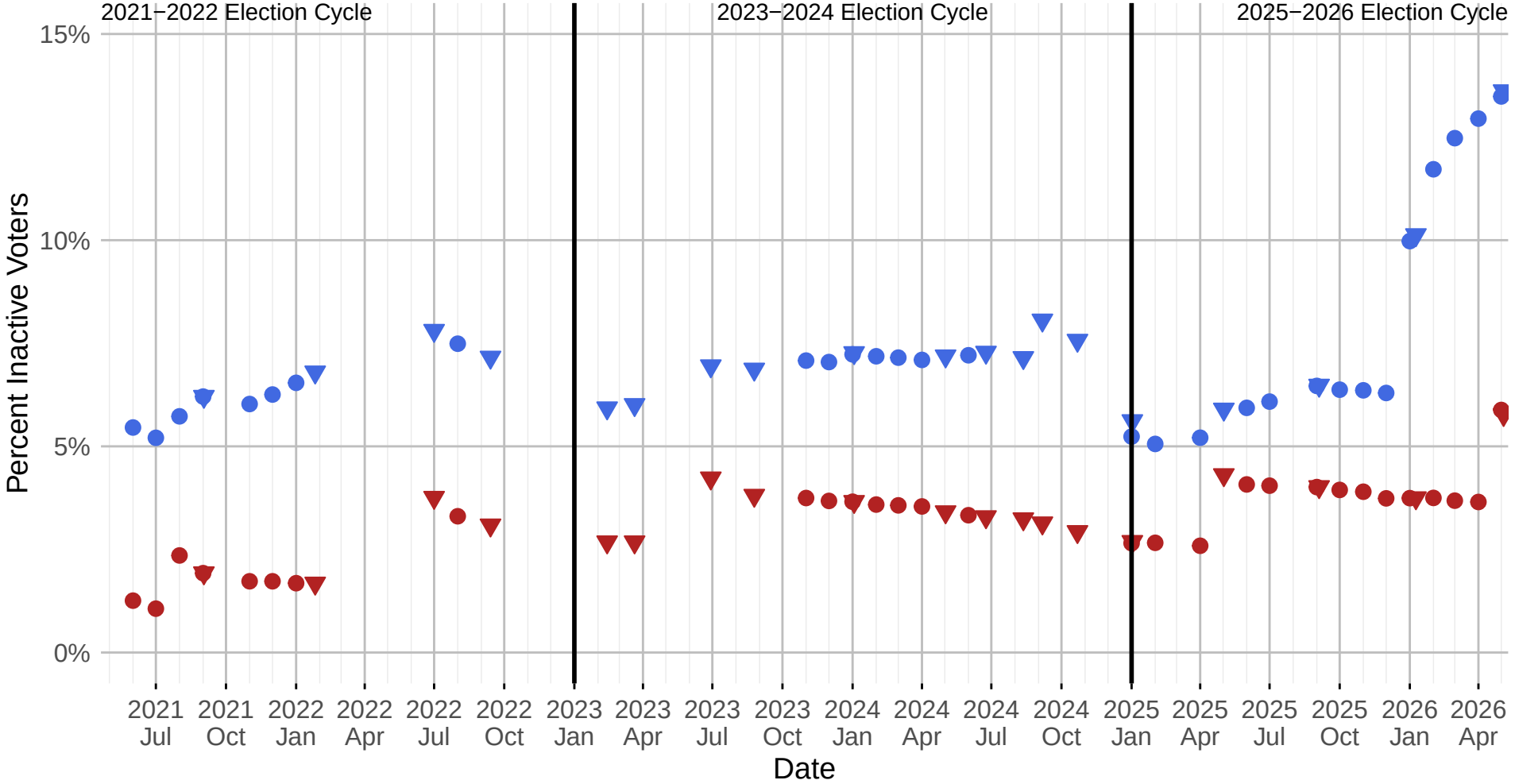

Source: Kansas Secretary of State Online Voter Registration Statistics Dashboard (circles); Voter Files (triangles)

efg 2026−05−21

Kansas Statewide Percent Inactive

Stanton County Percent Inactive

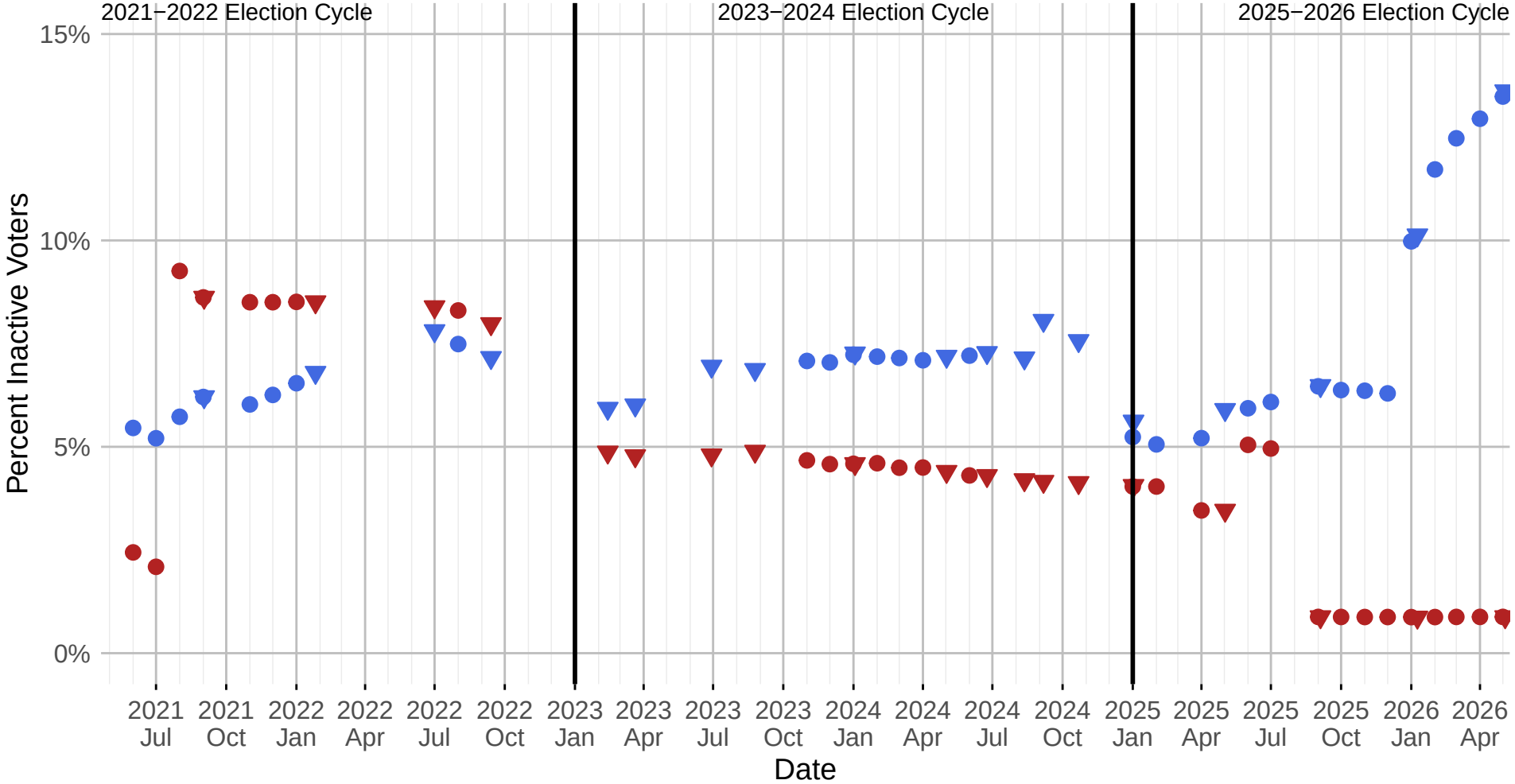

Source: Kansas Secretary of State Online Voter Registration Statistics Dashboard (circles); Voter Files (triangles)

efg 2026−05−21

Kansas Statewide Percent Inactive

Stevens County Percent Inactive

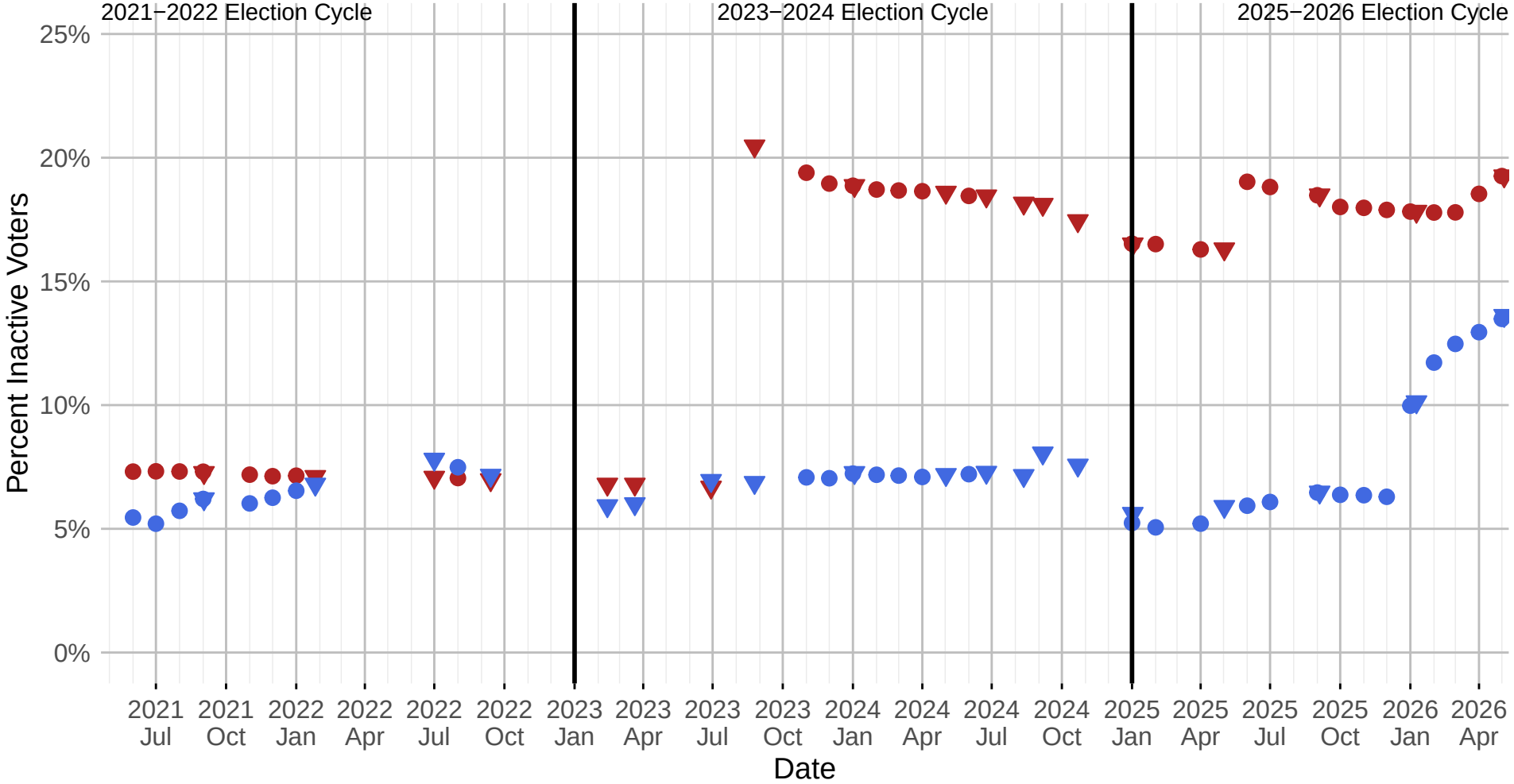

Source: Kansas Secretary of State Online Voter Registration Statistics Dashboard (circles); Voter Files (triangles)

efg 2026−05−21

Kansas Statewide Percent Inactive

Sumner County Percent Inactive

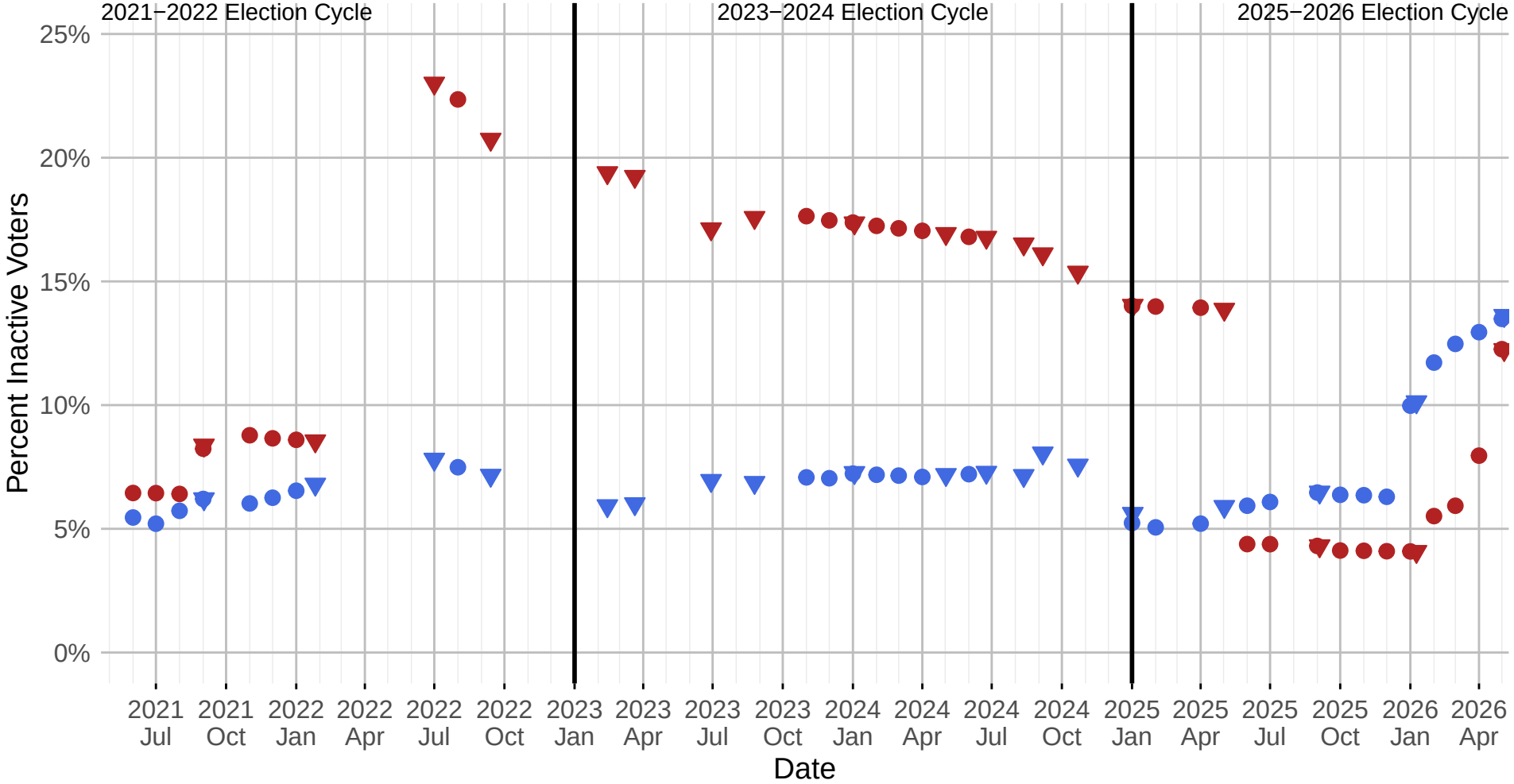

Source: Kansas Secretary of State Online Voter Registration Statistics Dashboard (circles); Voter Files (triangles)

efg 2026−05−21

Kansas Statewide Percent Inactive

Thomas County Percent Inactive

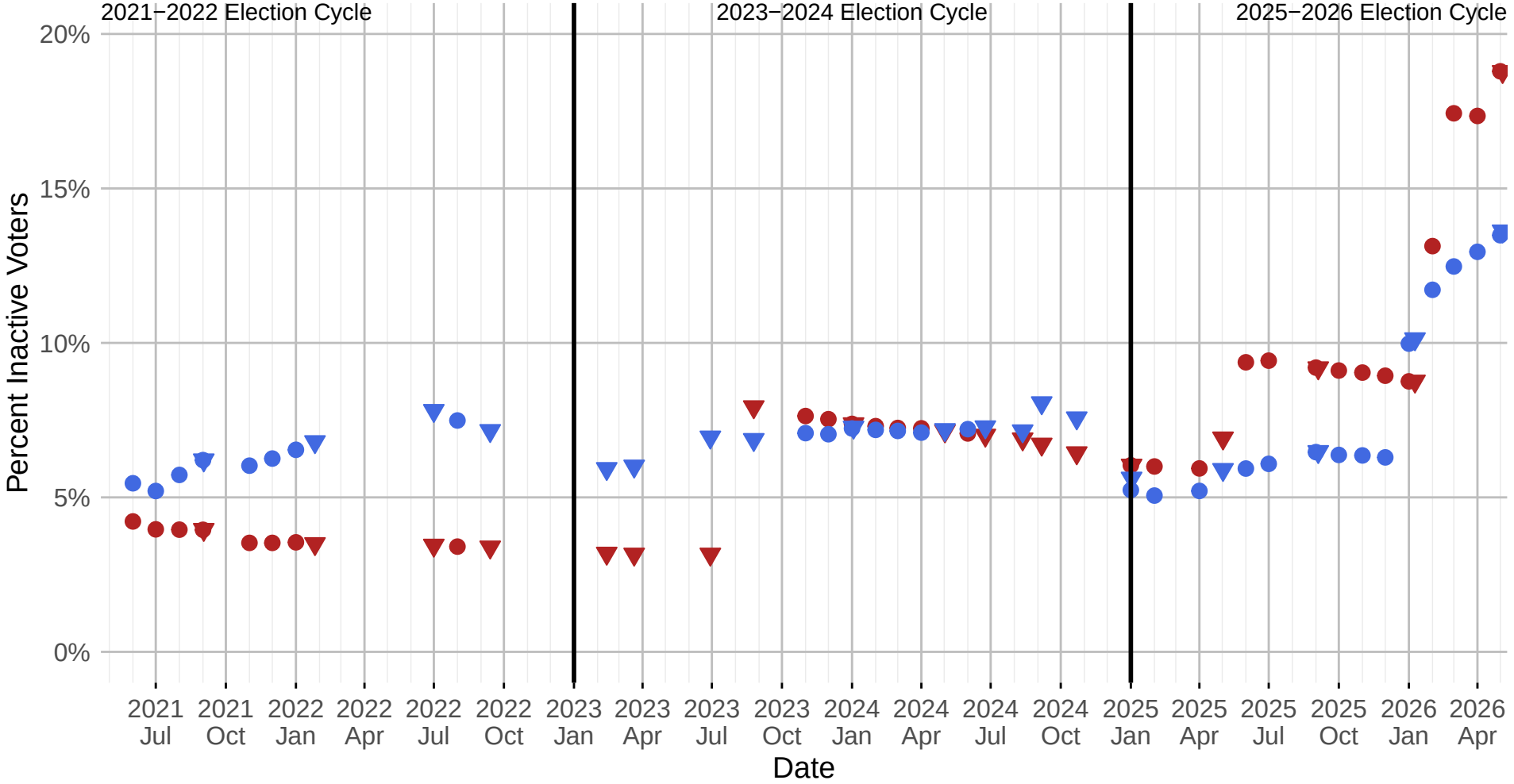

Source: Kansas Secretary of State Online Voter Registration Statistics Dashboard (circles); Voter Files (triangles)

efg 2026−05−21

Kansas Statewide Percent Inactive

Trego County Percent Inactive

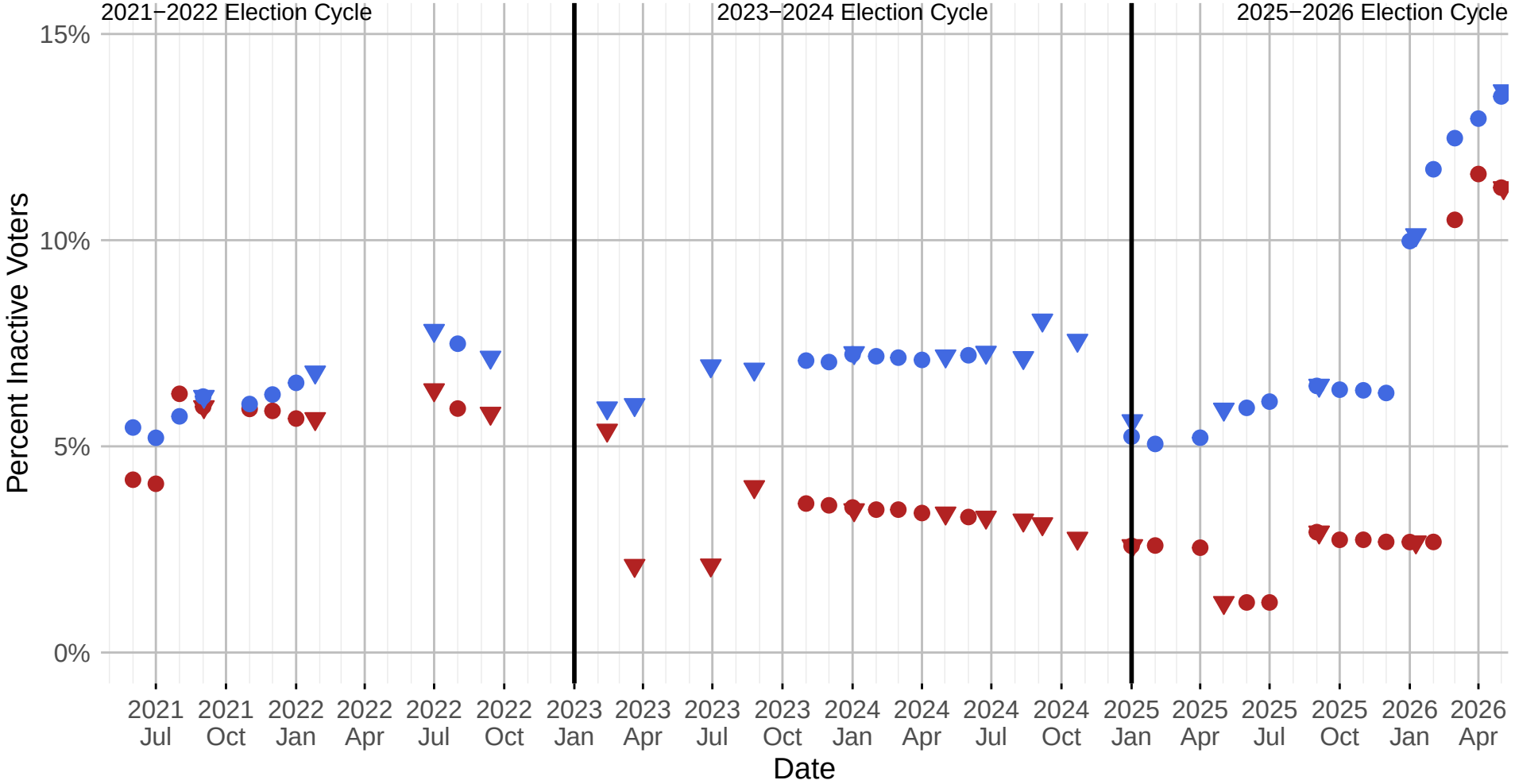

Source: Kansas Secretary of State Online Voter Registration Statistics Dashboard (circles); Voter Files (triangles)

efg 2026−05−21

Kansas Statewide Percent Inactive

Wabaunsee County Percent Inactive

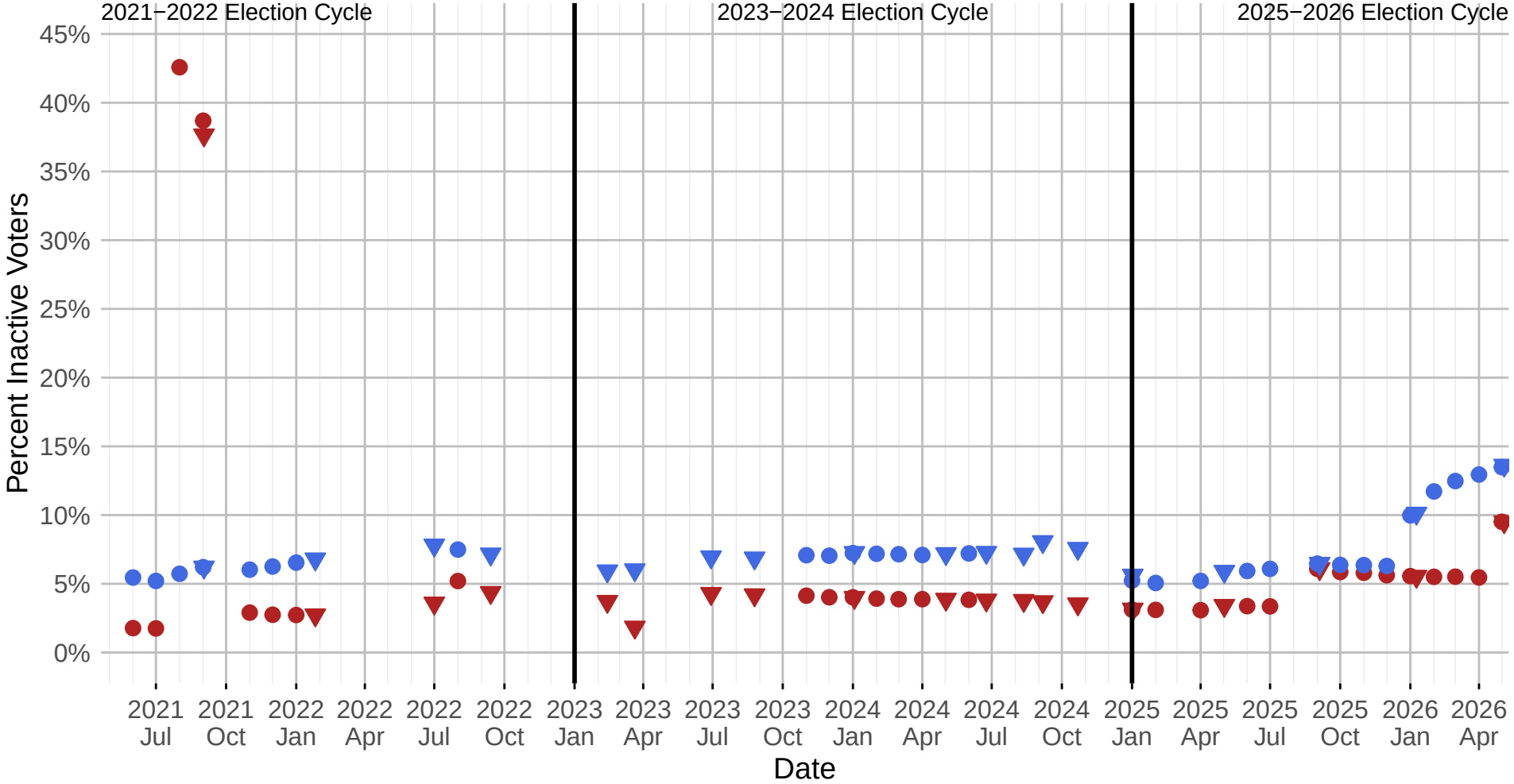

Source: Kansas Secretary of State Online Voter Registration Statistics Dashboard (circles); Voter Files (triangles)

efg 2026−05−21

Kansas Statewide Percent Inactive

Wallace County Percent Inactive

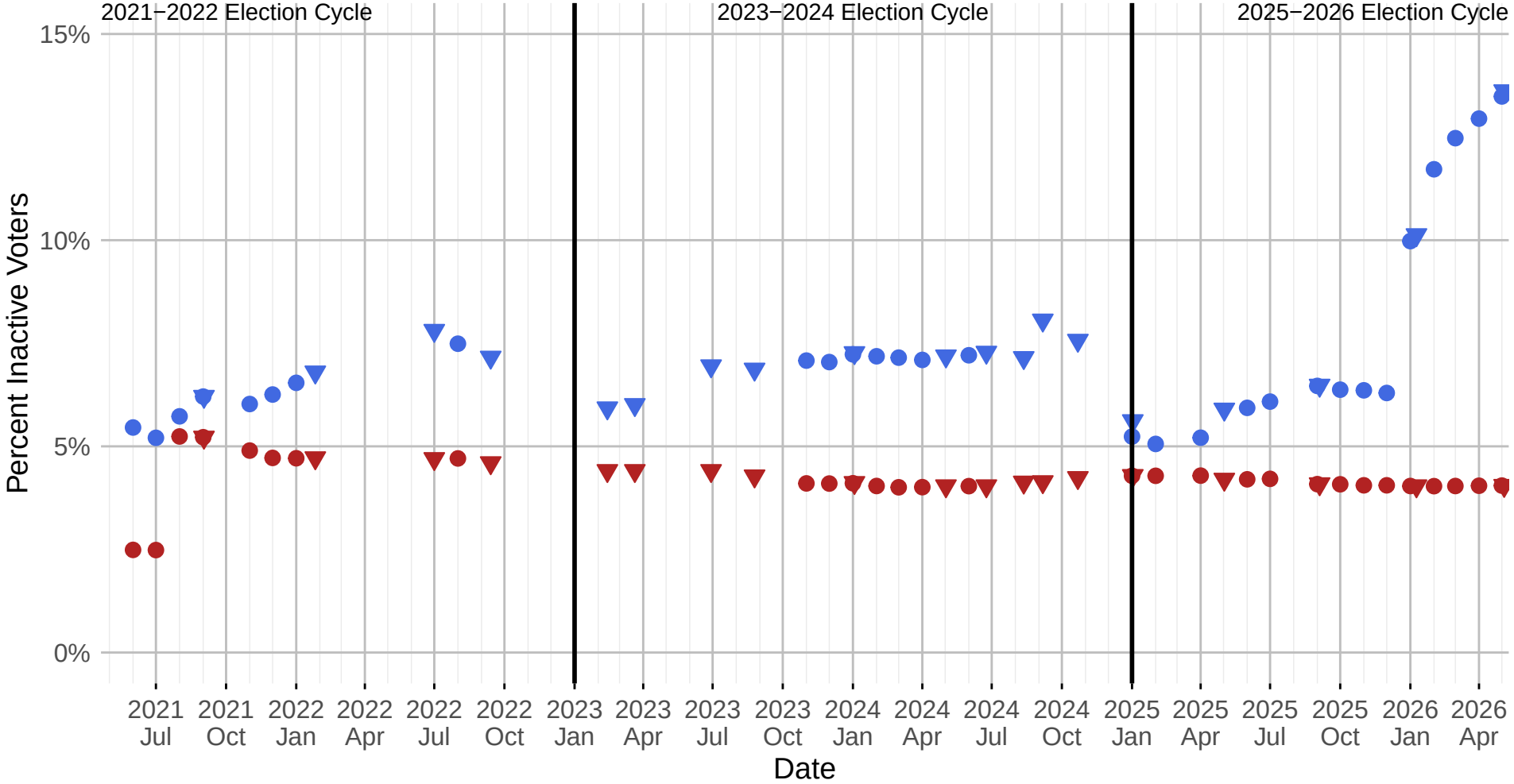

Source: Kansas Secretary of State Online Voter Registration Statistics Dashboard (circles); Voter Files (triangles)

efg 2026−05−21

Kansas Statewide Percent Inactive

Washington County Percent Inactive

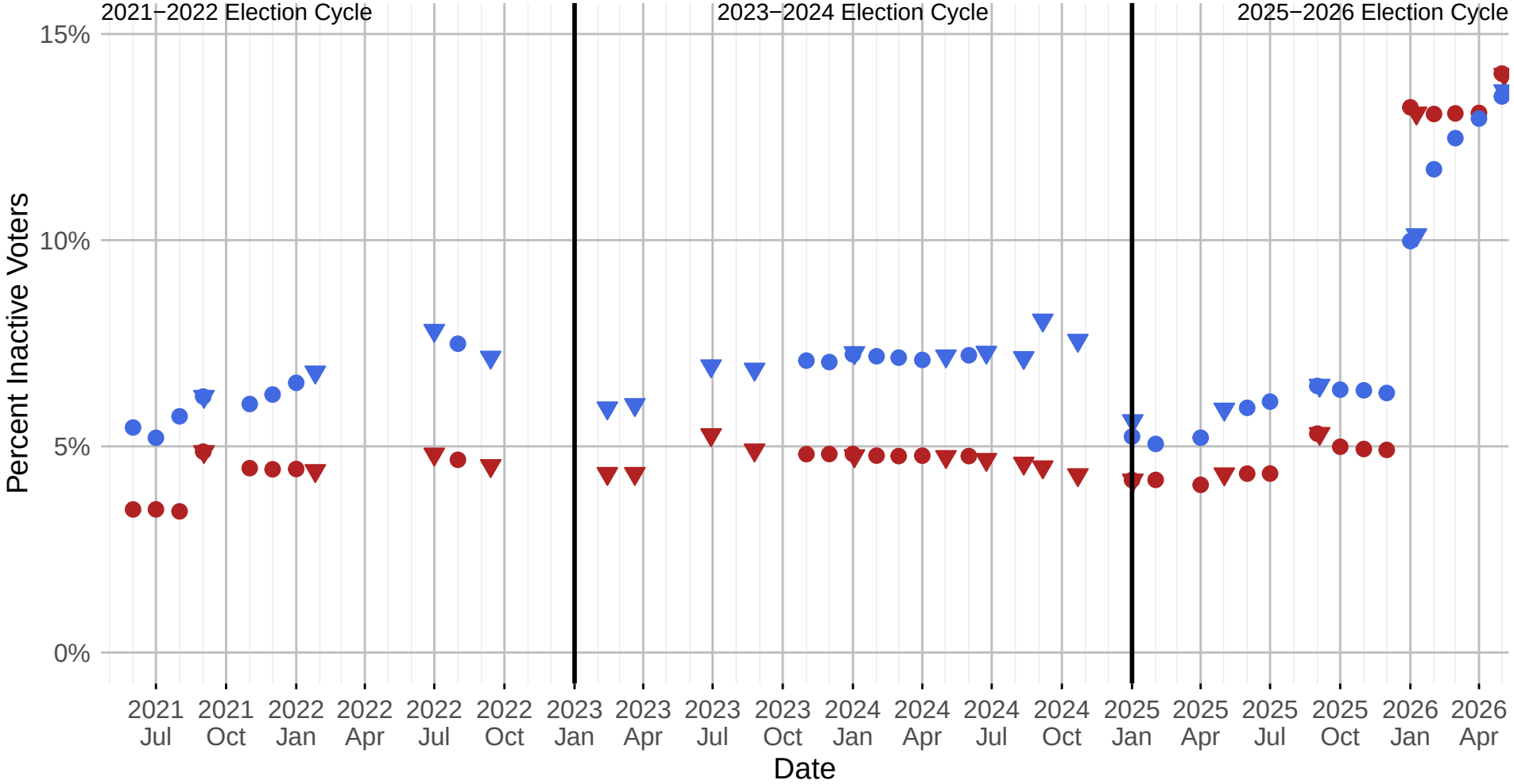

Source: Kansas Secretary of State Online Voter Registration Statistics Dashboard (circles); Voter Files (triangles)

efg 2026−05−21

Kansas Statewide Percent Inactive

Wichita County Percent Inactive

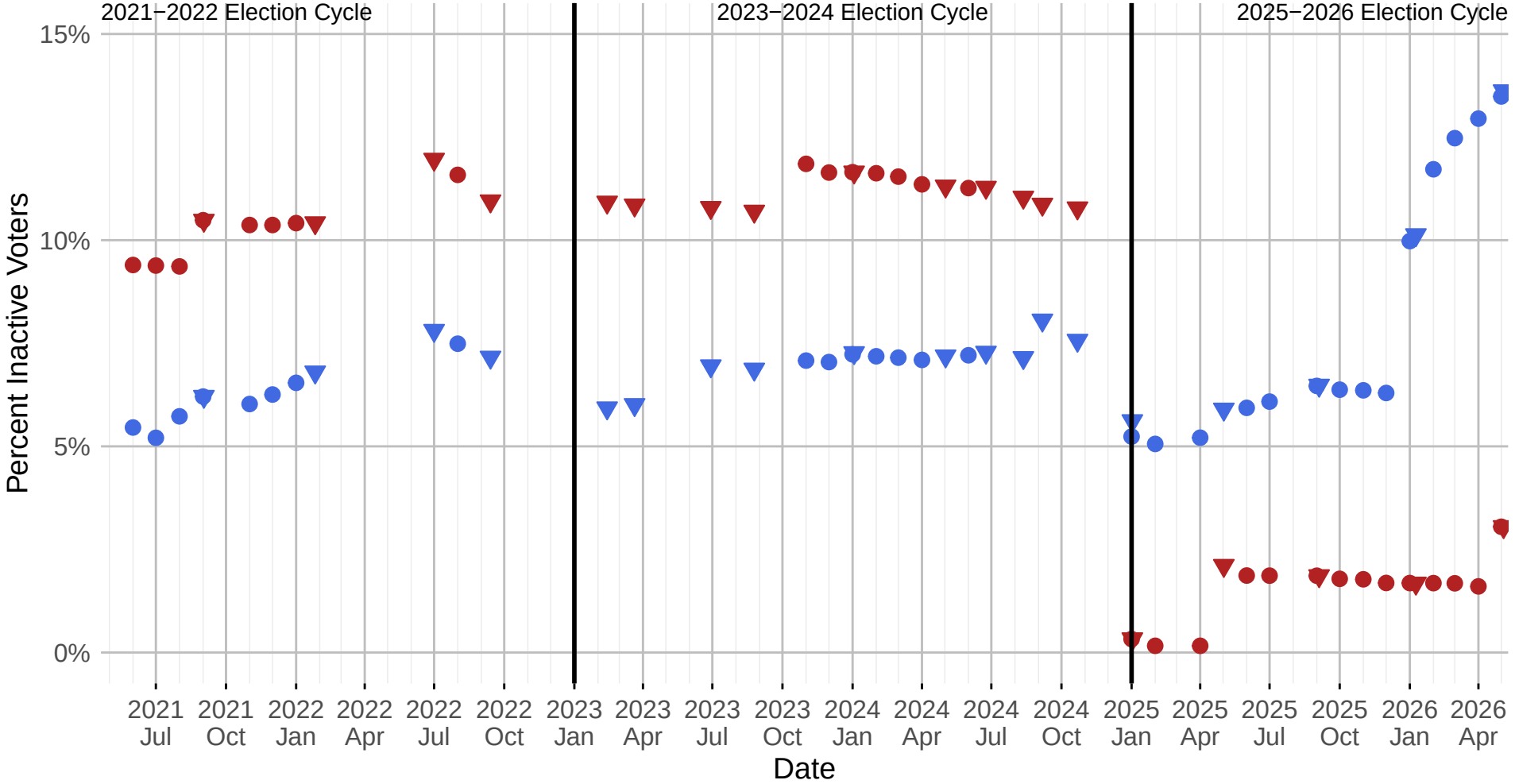

Source: Kansas Secretary of State Online Voter Registration Statistics Dashboard (circles); Voter Files (triangles)

efg 2026−05−21

Kansas Statewide Percent Inactive

Wilson County Percent Inactive

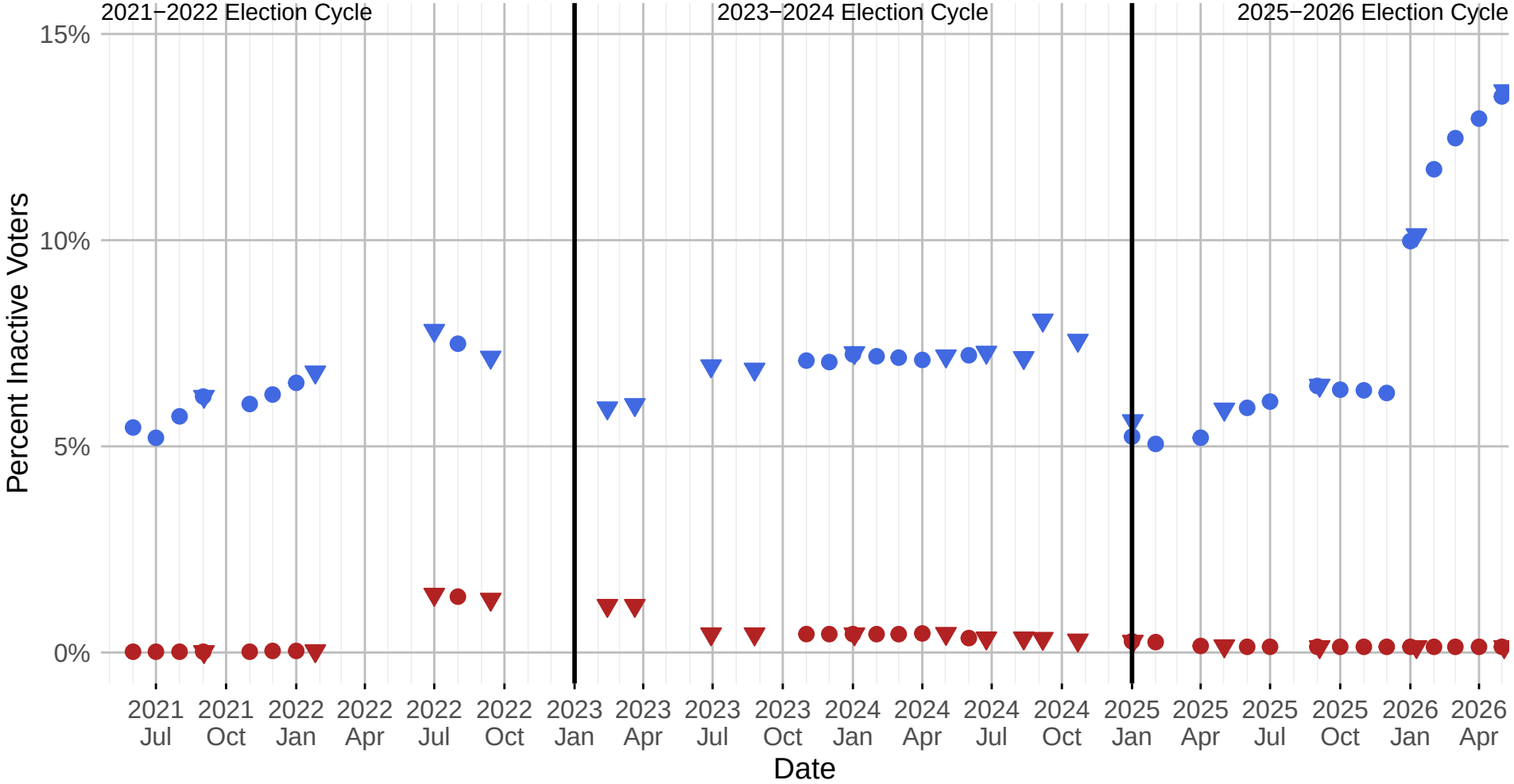

Source: Kansas Secretary of State Online Voter Registration Statistics Dashboard (circles); Voter Files (triangles)

efg 2026−05−21

Kansas Statewide Percent Inactive

Woodson County Percent Inactive

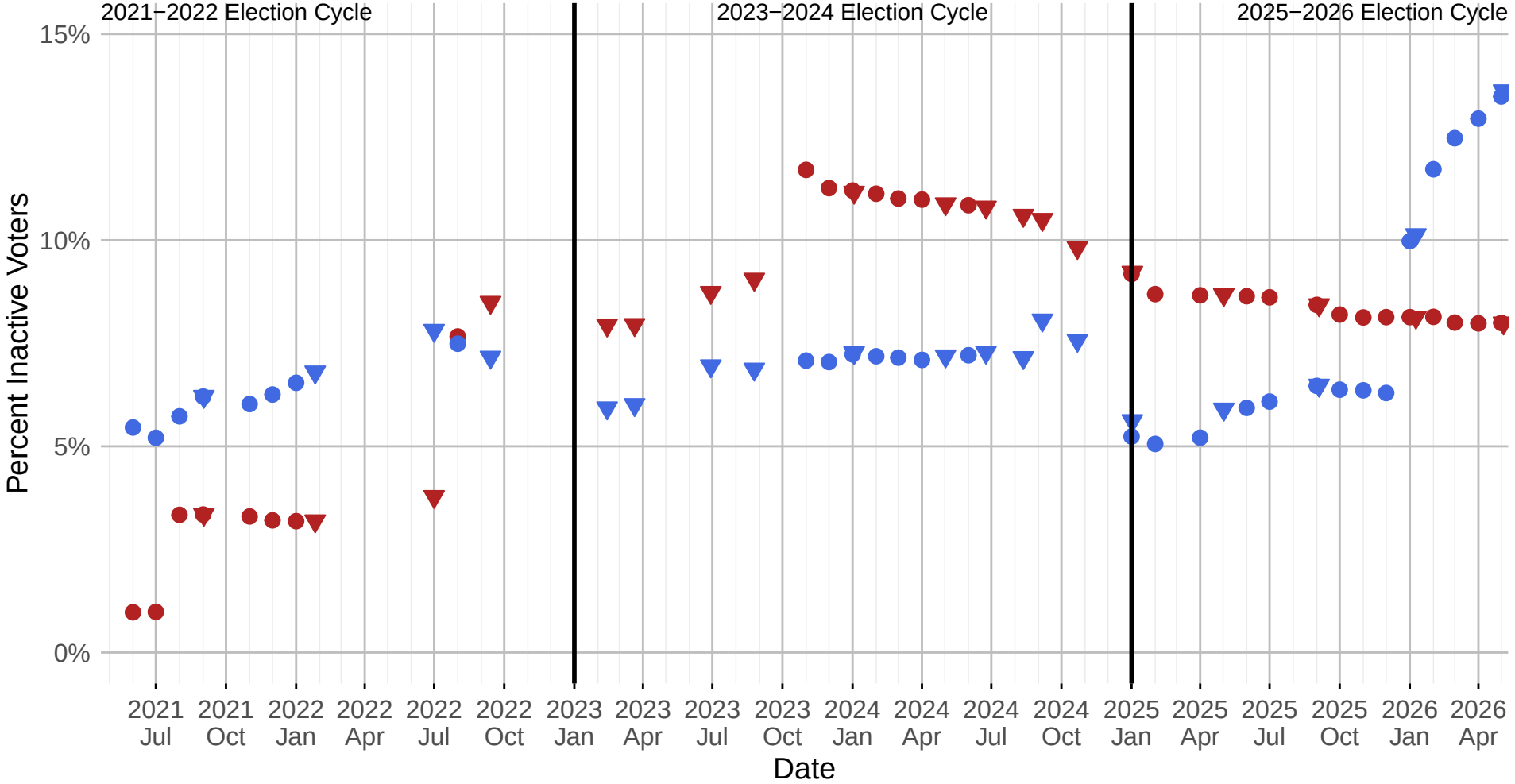

Source: Kansas Secretary of State Online Voter Registration Statistics Dashboard (circles); Voter Files (triangles)

efg 2026−05−21

Kansas Statewide Percent Inactive

Wyandotte County Percent Inactive

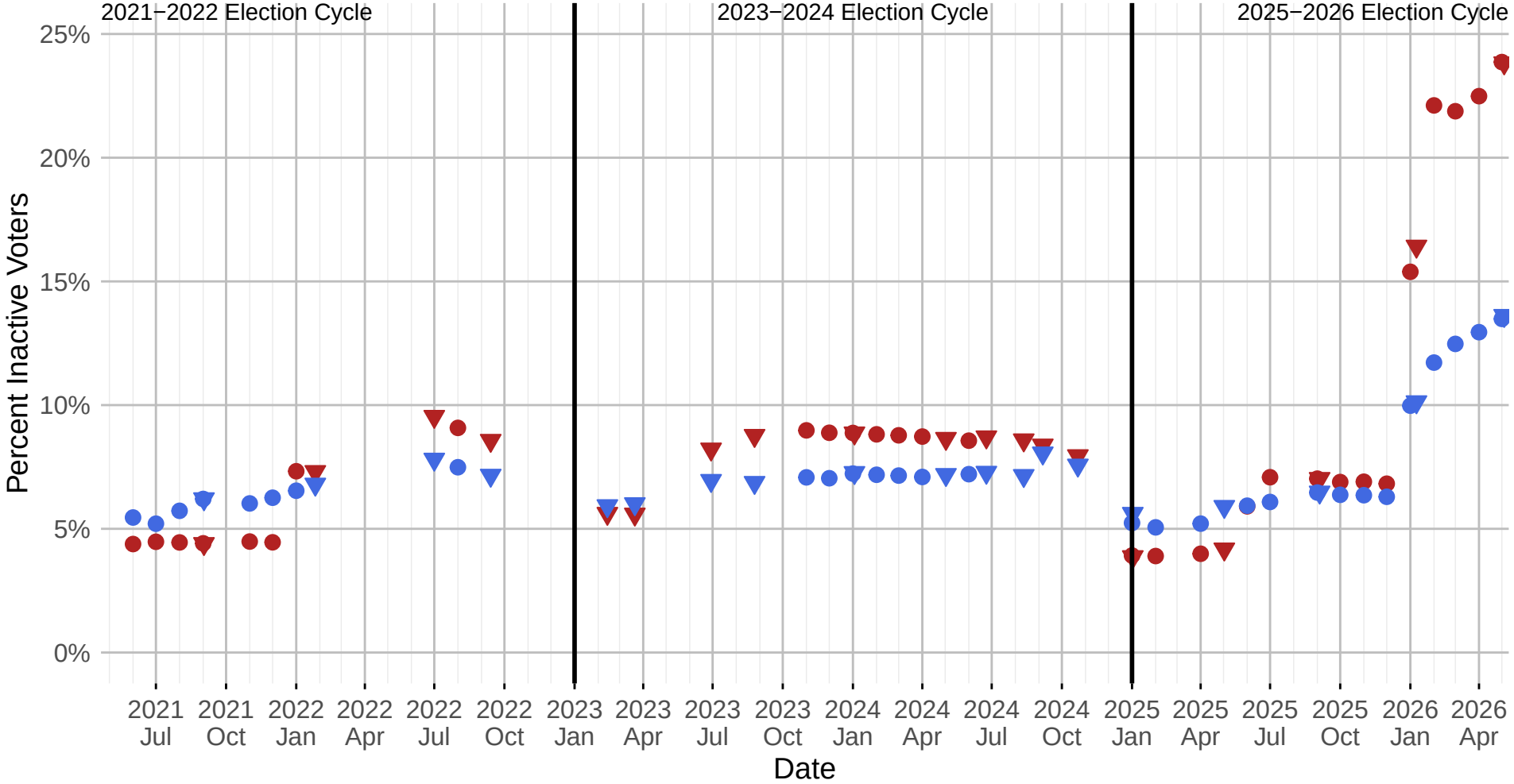

Source: Kansas Secretary of State Online Voter Registration Statistics Dashboard (circles); Voter Files (triangles)

efg 2026−05−21